1997

WILDFIRE ACTIVITY STATISTICS

RICHARD A. WILSON
DIRECTOR

TABLE OF CONTENTS

	PAGE
TABLE OF CONTENTS	1-2
FOREWORD - WILDFIRE ACTIVITY STATISTICS	3
GLOSSARY	4
AREAS PROTECTED	
SRA PROTECTION AREA MAP	5
SRA PROTECTION ACRES BY AGENCY	6
CDF DIRECT PROTECTION AREA MAP	7
CDF DIRECT PROTECTION ACRES BY AGENCY	8
GRAPHIC - DIRECT PROTECTION AREA - ACRES BY CONTRACT COUNTY	9
WILDFIRE STATISTICS - ALL AGENCIES	
1996 FIRE SEASON SUMMARY	10
LARGE DAMAGING FIRES, STATEWIDE	11-12
LARGE DAMAGING FIRE CRITERIA	13
LARGE DAMAGING FIRE CALENDAR	14-15
WILDFIRE STATISTICS - STATE RESPONSIBILITY - ALL AGENCIES	
CALIFORNIA WILDFIRES, ACRES BURNED - CDF PROTECTED, AND PROTECTED BY OTHERS	16
NUMBER OF WILDFIRES, ACRES BURNED, STATE RESPONSIBILITY - ALL AGENCIES	17
NUMBER OF WILDFIRES BY SIZE CLASS, STATE RESPONSIBILITY - ALL AGENCIES	18
ACRES BURNED BY SIZE CLASS, STATE RESPONSIBILITY - ALL AGENCIES	18
NUMBER OF WILDFIRES, SRA PROTECTED - BY CAUSE, BY AGENCY - OTHER AGENCIES	19
STATE RESPONSIBILITY, FIRES AND ACRES - BY CAUSE, BY SIZE CLASS BY CONTRACT COUNTY	20
WILDFIRE STATISTICS - STATE RESPONSIBILITY - CDF DIRECT PROTECTION	
GRAPHIC - NUMBER OF FIRES BY CAUSE - STATEWIDE SUMMARY	21
GRAPHIC - NUMBER OF FIRES BY CAUSE BY AREA	22
NUMBER OF FIRES BY CAUSE, BY RANGER UNIT - STATEWIDE	23
NUMBER OF FIRES BY CAUSE, BY COUNTY - COAST	24
NUMBER OF FIRES BY CAUSE, BY COUNTY - CASCADE	25
NUMBER OF FIRES BY CAUSE, BY COUNTY - SOUTH	26
NUMBER OF FIRES BY CAUSE, BY COUNTY - SIERRA	27
GRAPHIC - NUMBER OF FIRES BY SIZE CLASS - STATEWIDE SUMMARY	28
GRAPHIC - NUMBER OF FIRES BY SIZE CLASS BY AREA	29
NUMBER OF FIRES BY SIZE CLASS, BY RANGER UNIT - STATEWIDE	30
NUMBER OF FIRES BY SIZE CLASS, BY COUNTY - COAST	31
NUMBER OF FIRES BY SIZE CLASS, BY COUNTY - CASCADE	32
NUMBER OF FIRES BY SIZE CLASS, BY COUNTY - SOUTH	33
NUMBER OF FIRES BY SIZE CLASS, BY COUNTY - SIERRA	34
GRAPHIC - ACRES BURNED BY CAUSE - STATEWIDE SUMMARY	35
GRAPHIC - ACRES BURNED BY CAUSE BY AREA	36
ACRES BURNED BY CAUSE, BY RANGER UNIT - STATEWIDE	37
ACRES BURNED BY CAUSE, BY COUNTY - COAST	38
ACRES BURNED BY CAUSE, BY COUNTY - CASCADE	39
ACRES BURNED BY CAUSE, BY COUNTY - SOUTH	40
ACRES BURNED BY CAUSE, BY COUNTY - SIERRA	41
GRAPHIC - ACRES BURNED BY SIZE CLASS - STATEWIDE SUMMARY	42
GRAPHIC - ACRES BURNED BY SIZE CLASS BY AREA	43
ACRES BURNED BY SIZE CLASS, BY RANGER UNIT - STATEWIDE	44
ACRES BURNED BY SIZE CLASS, BY COUNTY - COAST	45
ACRES BURNED BY SIZE CLASS, BY COUNTY - CASCADE	46
ACRES BURNED BY SIZE CLASS, BY COUNTY - SOUTH	47
ACRES BURNED BY SIZE CLASS, BY COUNTY - SIERRA	48

TABLE OF CONTENTS

	PAGE
GRAPHIC - ACRES BURNED BY VEGETATION TYPE - STATEWIDE SUMMARY	49
GRAPHIC - ACRES BURNED BY VEGETATION TYPE BY AREA	50
ACRES BURNED BY VEGETATION TYPE, BY RANGER UNIT - STATEWIDE	51
ACRES BURNED BY VEGETATION TYPE, BY COUNTY - COAST	52
ACRES BURNED BY VEGETATION TYPE, BY COUNTY - CASCADE	53
ACRES BURNED BY VEGETATION TYPE, BY COUNTY - SOUTH	54
ACRES BURNED BY VEGETATION TYPE, BY COUNTY - SIERRA	55
GRAPHIC - DOLLAR DAMAGE BY CAUSE - STATEWIDE SUMMARY	56
GRAPHIC - DOLLAR DAMAGE BY CAUSE BY AREA	57
DOLLAR DAMAGE BY CAUSE, BY RANGER UNIT - STATEWIDE	58
DOLLAR DAMAGE BY CAUSE, BY COUNTY - COAST	59
DOLLAR DAMAGE BY CAUSE, BY COUNTY - CASCADE	60
DOLLAR DAMAGE BY CAUSE, BY COUNTY - SOUTH	61
DOLLAR DAMAGE BY CAUSE, BY COUNTY - SIERRA	62
GRAPHIC - DOLLAR DAMAGE BY SIZE CLASS - STATEWIDE SUMMARY	63
GRAPHIC - DOLLAR DAMAGE BY SIZE CLASS BY AREA	64
DOLLAR DAMAGE BY SIZE CLASS, BY RANGER UNIT - STATEWIDE	65
DOLLAR DAMAGE BY SIZE CLASS, BY COUNTY - COAST	66
DOLLAR DAMAGE BY SIZE CLASS, BY COUNTY - CASCADE	67
DOLLAR DAMAGE BY SIZE CLASS, BY COUNTY - SOUTH	68
DOLLAR DAMAGE BY SIZE CLASS, BY COUNTY - SIERRA	69
FIRE ACTIVITY	
GRAPHIC - PERCENT OF FIRES CONTROLLED AT 10 ACRES OR LESS	70
GRAPHIC - NUMBER OF FIRES BY CAUSE - STATEWIDE TOTALS	71
GRAPHIC - NUMBER OF WILDFIRES AND ACRES BURNED - 1988 TO 1997	72
GRAPHIC - FIRE AND ACRES - THIS YEAR, LAST YEAR AND 5-YEAR AVERAGES	73
GRAPHIC - NUMBER OF FIRES BY CAUSE - THIS YEAR, LAST YEAR AND 5-YEAR AVERAGES	74
GRAPHIC - NUMBER OF FIRES BY AREA - THIS YEAR, LAST YEAR AND 5-YEAR AVERAGES	75
GRAPHIC - ACRES BURNED BY AREA - THIS YEAR, LAST YEAR AND 5-YEAR AVERAGES	76
GRAPHIC - CDF DIRECT PROTECTION AREA - NUMBER OF WILDFIRES BY DAY	77
GRAPHIC - CDF DIRECT PROTECTION AREA - NUMBER OF FIRES BY MONTH	78
GRAPHIC - CDF DIRECT PROTECTION AREA - ACRES BURNED BY MONTH	78
GRAPHIC - CDF DIRECT PROTECTION AREA - NUMBER OF WILDFIRES BY TIME	79
GRAPHIC - CDF DIRECT PROTECTION AREA - ARSON FIRES AND ACRES	80
GRAPHIC - CDF DIRECT PROTECTION AREA - STRUCTURES DESTROYED	81
LOOKOUT ACTIVITY - STATEWIDE SUMMARY	82
LOOKOUT ACTIVITY - COAST- CASCADE	83
LOOKOUT ACTIVITY - SOUTH-SIERRA	84
TOTAL INCIDENTS - STATEWIDE - 1997	
TOTAL INCIDENTS BY TYPE, BY RANGER UNIT - STATEWIDE	85
GRAPHIC - TOTAL INCIDENTS BY TYPE - STATEWIDE	86
GRAPHIC - TOTAL INCIDENTS BY TYPE - BY AREA	87

WILDFIRE ACTIVITY STATISTICS

FOREWORD

The California Public Resources Code directs the State Board of Forestry to designate state and privately-owned forest, watershed, and rangeland as "State Responsibility Area." The department's fire protection mission is to protect natural resources on those lands from damage by wildfire. Land not designated as State Responsibility Area is the protection responsibility of federal or local agencies.

The Department of Forestry and Fire Protection provides direct protection for most State Responsibility Area. The remainder is protected by several agencies and counties under contract with the state. The Department of Forestry and Fire Protection also contracts to provide wildland fire protection on certain federal lands, and also provides contracted life and property protection for numerous local governments.

This annual report is primarily a statistical record of fires and damages on State Responsibility Area, and on other areas which the Department of Forestry and Fire Protection protects under contract.

The Emergency Activity Reporting System became effective July 1, 1989. Fire data is entered into the computer at the fire station level, then forwarded to the ranger unit headquarters via a modem and phone lines for storage in the ranger unit database. A copy of it is then forwarded to Sacramento Headquarters for storage in the state database.

GLOSSARY

CDF

California Department of Forestry and Fire Protection

CONTRACT COUNTY

Counties that protect State Responsibility Area with their fire departments. For providing that protection the counties receive payment from the state, and CDF support and reinforcement as needed for fire suppression. There are six contract counties: Kern, Los Angeles, Marin, Orange, Santa Barbara, and Ventura.

DIRECT PROTECTION

The area protected by an agency with its own fire protection force.

FEDERAL ZONE

The direct protection area of U.S. Forest Service, Bureau of Land Management, National Park Service, Department of Defense, and Bureau of Indian Affairs. State Responsibility Area within federal zone is protected by federal agencies.

LOCAL ZONE

Area in which there is no State Responsibility Area. In general, this is valley floor and desert land. Fire protection in local zone is provided by local government agencies; such as, cities, counties, and fire districts, or by the CDF under contract to local governments.

LOCAL RESPONSIBILITY FIRE

A fire that did not burn or threaten to burn natural resources.

STATE RESPONSIBILITY AREA (SRA)

The area designated by the State Board of Forestry on which the state assumes financial responsibility for protecting natural resources from damage by fire.

STATE RESPONSIBILITY WILDFIRE

A fire in SRA which burns or threatens to burn natural resources.

STATE ZONE

State Responsibility Area and intermingled islands of federal land protected by the CDF and contract counties. Most federal land in state zone is protected by the CDF under contracts with federal agencies.

WILDFIRE

Contraction of "wildland fire." This term is used by wildland fire protection agencies to indicate a vegetation fire. Wildfire generally replaces such terms as forest fire, brush fire, range fire, and grass fire.

AREA PROTECTED

California

State Responsibility Areas

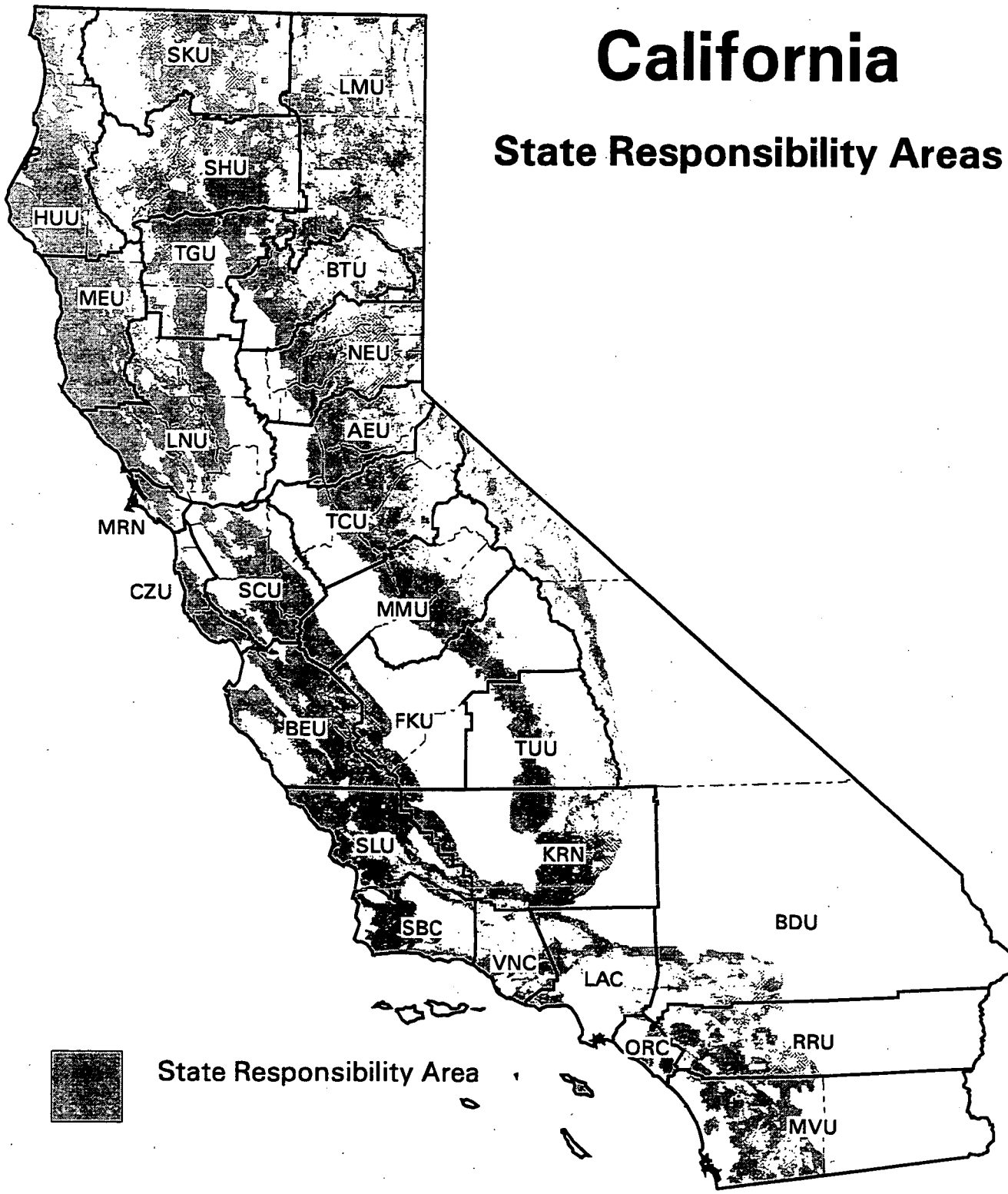

FIRE PROTECTION
STATE RESPONSIBILITY AREA

SRA PROTECTION ACRES, BY AGENCY

COUNTIES	CDF	FS	BLM	NPS	CC	SRA TOTAL
Alameda	242,810					242,810
Alpine	0	25,173	19,901			45,074
Amador	282,739	11,327				294,066
Butte	500,481	33,545				534,026
Calaveras	524,869	2,615				527,484
Colusa	264,707	5,066				269,773
Contra Costa	199,129					199,129
Del Norte	166,798	23,507		336		190,641
El Dorado	413,108	151,932				565,040
Fresno	769,859	25,692				795,551
Glenn	297,007	28,192				325,199
Humboldt	1,558,484	45,234		86		1,603,804
Imperial	2,145		504			2,649
Inyo	193,458	11,307	19,590			224,355
Kern	0	30,371	149,606		1,588,786	1,768,763
Kings	96,838					96,838
Lake	348,659	40,900				389,559
Lassen	602,250	116,941	345,028			1,064,219
Los Angeles	0	37,864			514,676	552,540
Madera	363,070	13,911				376,981
Marin	0			106	198,945	199,051
Mariposa	427,085	21,666				448,751
Mendocino	1,849,087	25,211				1,874,298
Merced	426,291					426,291
Modoc	423,352	166,371	63,028			652,751
Mono	2,284	50,957	156,192			209,433
Monterey	1,191,341	39,483	154			1,230,978
Napa	370,055					370,055
Nevada	303,107	104,097				407,204
Orange	148	12,416			126,811	139,375
Placer	269,760	136,243				406,003
Plumas	103,720	353,673				457,393
Riverside	731,204	59,138	535	7 *	2,814	793,698
Sacramento	117,924					117,924
San Benito	706,622			1,234		707,856
San Bernardino	307,885	84,797				392,682
San Diego	1,149,283	82,288		*	620	1,232,191
San Francisco	0					0
San Joaquin	146,839					146,839
San Luis Obispo	1,354,382	35,773	143,720			1,533,875
San Mateo	170,330					170,330
Santa Barbara	0	59,251	1		693,935	753,187
Santa Clara	524,797					524,797
Santa Cruz	235,263					235,263
Shasta	1,184,188	209,896		17		1,394,101
Sierra	0	160,747	1,185			161,932
Siskiyou	1,037,838	334,678				1,372,516
Solano	93,784					93,784
Sonoma	793,089					793,089
Stanislaus	447,325					447,325
Sutter	0					0
Tehama	1,156,203	137,832				1,294,035
Trinity	276,910	229,723				506,633
Tulare	583,742	12,585	15,707	284		612,318
Tuolumne	298,477	61,285		387		360,149
Ventura	0	50,020			333,816	383,836
Yolo	183,055					183,055
Yuba	187,256	28,591				215,847
	23,879,037	3,060,298	915,151	2,457	3,460,403	31,317,346

* PROTECTED BY ORANGE COUNTY

SRA protected by federal agencies	3,977,906
Federal acres protected by CDF	3,680,300
Difference	297,606

This data was calculated using GIS methodology.

SRA_DAT1.WK4

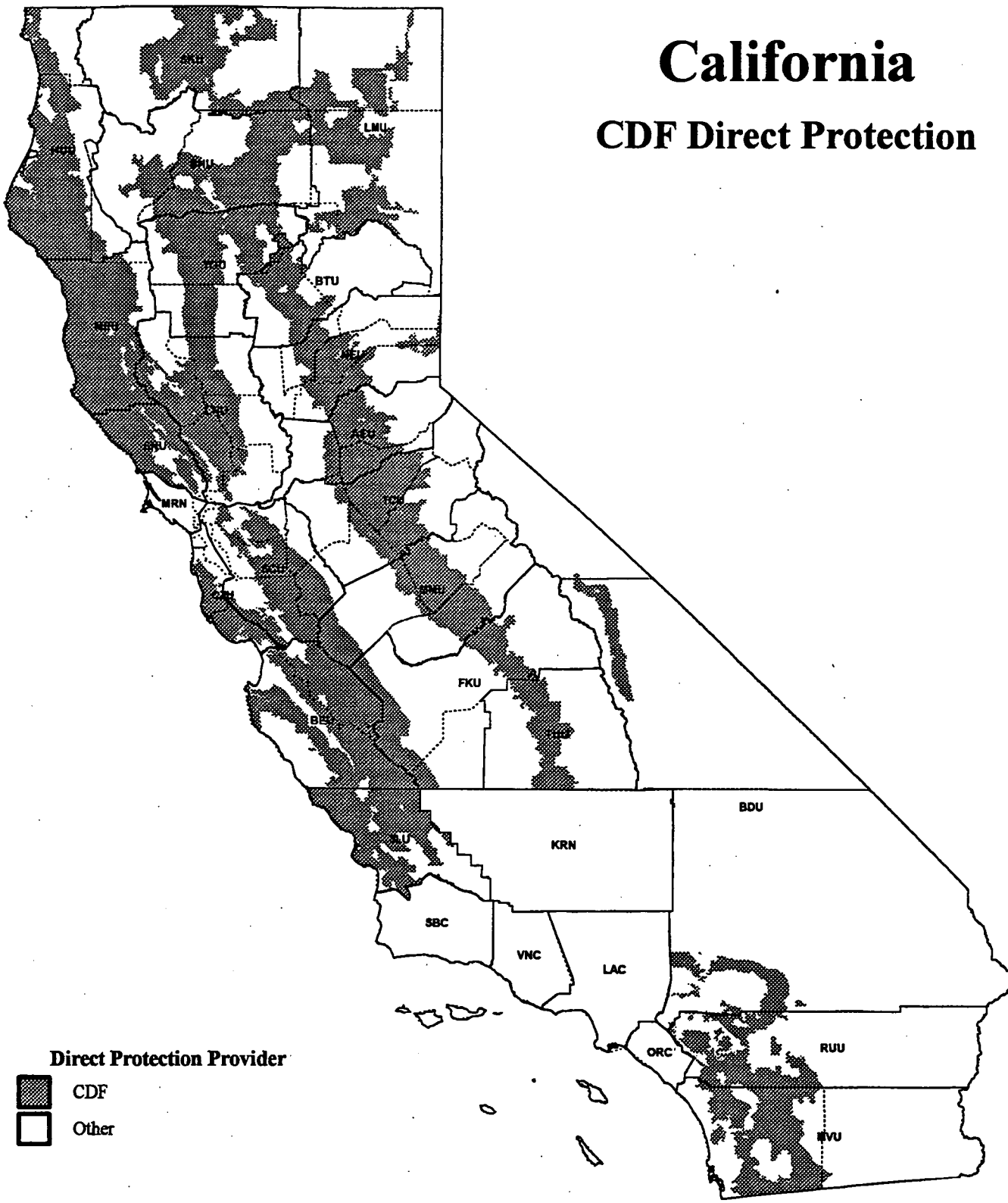
California
CDF Direct Protection
LMU
BTU
MRN
FKU
KRN
BDU
SBC
VNC
LAC
ORC
RUU
IVU
Direct Protection Provider
CDF
Other
Miles
0
50
100

FIRE PROTECTION
CDF DIRECT PROTECTION AREA

CDF DIRECT PROTECTION ACRES, BY AGENCY

COUNTIES	SRA	FS	BLM	BIA	NPS	BOR	F & WS	COE	DPA TOTAL
Alameda	253,178		620						253,798
Alpine	0								0
Amador	282,739	2,563	9,012	546					294,860
Butte	500,481	37,816	15,915	181					554,393
Calaveras	524,869	46,330	36,490	5				16,559	624,253
Colusa	264,707	3	31,507	1,110					297,327
Contra Costa	212,952		71					11	213,034
Del Norte	166,798	17,971	22	15,139	13				199,943
El Dorado	413,108	26,625	24,235	148		5,485			469,601
Fresno	769,859	23,849	128,329	505				877	923,419
Glenn	297,007	149	12,540	81				4,650	314,427
Humboldt	1,558,484	12,877	72,791	40,018	3				1,684,173
Imperial	2,145		13,814						15,959
Inyo	193,458	879	142,788	802					337,927
Kern	0								0
Kings	96,838		3,672						100,510
Lake	348,659	3,145	128,892	802					481,498
Lassen	602,250	196,513	169,564	1,440					969,767
Los Angeles	0	0							0
Madera	363,070	26,484	5,721	280	6,235	1,817			403,607
Marin	0								0
Mariposa	427,085	14,676	72,165		317				514,243
Mendocino	1,849,087	3,643	121,593	18,288				3,244	1,995,855
Merced	426,291		5,573						431,864
Modoc	423,352	54,092	81,489	9,531					568,464
Mono	2,284		3,924						6,208
Monterey	1,213,325	5,496	66,008						1,284,829
Napa	370,055		37,972			25,407			433,434
Nevada	303,107	17,169	17,500					1,047	338,823
Orange	148	0							148
Placer	269,760	15,801	13,293			28,022			326,876
Plumas	103,720	12,265	719						116,704
Riverside	740,839	8,658	162,983	71,787				1,131	985,398
Sacramento	117,924		186						118,110
San Benito	706,622		113,172						819,794
San Bernardino	307,885	2,117	170,968					3,489	484,459
San Diego	1,161,551	33,422	169,977	97,608				123	1,462,681
San Francisco	0								0
San Joaquin	146,839								146,839
San Luis Obispo	1,354,612	17,629	38,091						1,410,332
San Mateo	182,410		85		34				182,529
Santa Barbara	0								0
Santa Clara	548,097		7,430						555,527
Santa Cruz	235,622								235,622
Shasta	1,184,188	145,938	114,221	1,029					1,445,376
Sierra	5,078	1,995							7,073
Siskiyou	1,037,838	177,679	95,020	701					1,311,238
Solano	93,816		2,817						96,633
Sonoma	793,509		7,789	247				16,327	817,872
Stanislaus	447,325		5,112						452,437
Sutter	0								0
Tehama	1,156,203	24,652	44,394					4,114	1,229,363
Trinity	276,910	35,562	51,083	786					364,341
Tulare	583,742	43,553	35,181	184			852	5,887	669,399
Tuolumne	298,477	31,635	42,595	350				13,153	386,210
Ventura	0								0
Yolo	183,055		26,268	64					209,387
Yuba	187,256	3,719	2,287					782	194,044
	23,988,614	1,044,905	2,305,878	261,632	6,602	60,731	852	71,394	27,740,608

CDF California Department of Forestry and Fire Protection
FS Forest Service
BIA Bureau of Indian Affairs
BLM Bureau of Land Management
BOR Bureau of Reclamation
NPS National Parks Service
F & WS Fish and Wildlife Services
CC Contract Counties
COE Corps of Engineers
SRA State Responsibility Area
DPA Direct Protection Area
This data was calculated using GIS methodology.

sra2.1997

1997 DIRECT PROTECTION AREA

ACRES BY CONTRACT COUNTY

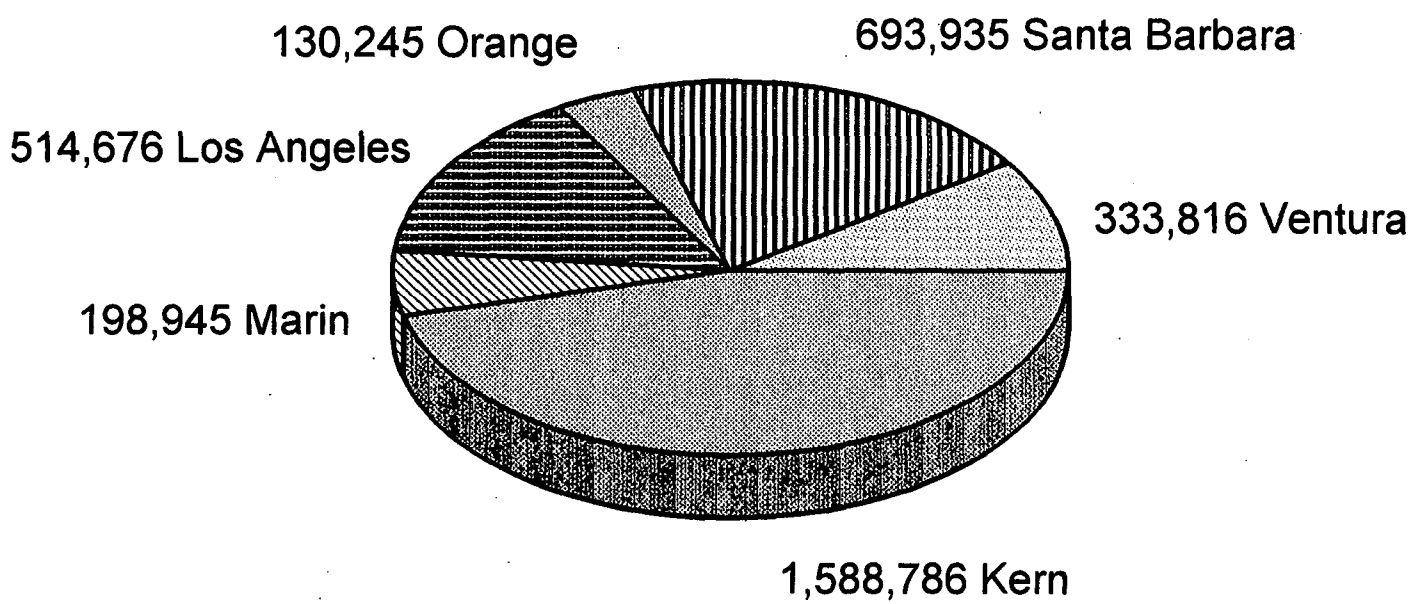

3,460,403

ORANGE COUNTY PROTECTS 2,814 ACRES IN RIVERSIDE AND 620 ACRES IN SAN DIEGO

WILDFIRE STATISTICS

ALL AGENCIES

1997 FIRE SEASON SUMMARY

The year began with CDF assisting in flood control throughout northern and central California. Many of CDF's hand crews assisted in sandbagging, shoring up levees, providing meals and other non-fire related duties during the January floods. CDF also provided Incident Management Teams to coordinate flood relief efforts along with various other resources.

Fire season officially opened in the San Diego, Riverside and San Bernardino Ranger Units on April 21 followed by San Luis Obispo declaring fire season on May 12. Even though northern and central California received significant rainfall throughout late 1996 and January 1997, fire season in the Coast-Cascade Region opened on May 19 for all units except Humboldt-Del Norte and Siskiyou which started on May 26, earlier than the 1996 fire season.

CDF handled over 294,000 incidents in 1997 which is a 7% increase above last year. Of that total, CDF responded to 6,835 vegetation fires which is 6% below last year and 5% below the 5-year average. Although wildfire incidents were only 6% below last year, acreage burned was significantly lower than last year's total and the 5-year average. A total of 57,788 acres in CDF direct protection area was burned which represents a decrease of 75% below last year and 64% below the 5-year average.

The top five fires in acreage burned in CDF direct protection area:

NAME	RANGER UNIT	START DATE	CDF ACRES BURNED	FIRE CAUSE	STRUCTURES DESTROYED
State, Pauba	Riverside	08/31	7,800	undetermined	10
William	Nevada-Yuba-Placer	09/27	5,810	vehicle	85
State (Jackrabbit)	Madera-Mariposa	09/24	2,500	smoking	0
Coffee	Tulare	09/24	2,420	vehicle	0
State Fire (Beach)	Riverside	05/09	2,400	Smoking	0

DIRECT PROTECTION AREA OF:	WILDFIRES	ACRES BURNED
California Department of Forestry and Fire Protection ------	6,835	57,788
United States Forest Service ----------	1,903	92,532
Contract Counties ----------	487	27,666
U.S. Bureau of Land Management ----------	179	104,238
National Park Service ----------	98	1,661
1997 TOTAL ----------	**9,502**	**283,885**
5-YEAR AVERAGE (1992-1996) ----------	**9,936**	**320,622**

97_SUM5.WK4

1997 LARGE DAMAGING FIRES
STATEWIDE

RANGER UNIT & AREA	FIRE NAME	DATE START	DATE CONT.	ORIGIN DPA	ACRES BURNED CDF	ACRES BURNED OTHER	ACRES BURNED TOTAL	VEG. TYPE	CAUSE	STRUCTURES DEST.	STRUCTURES DAM.	FATALITIES FIRE	FATALITIES CIVIL
COAST AREA													
CASCADE AREA													
LASSEN-MODOC	LIGHTNING #70	08/04/97	08/06/97	CDF	722		722	T	LIGHTNING	0	0	1	0
LASSEN NP	LASSEN NP 2225 (HUFFER)	08/06/97	08/12/97	NPS		2,290	2,290	NA	NA	NA	NA	0	0
NEVADA-YUBA-PLACER	WILLIAM	09/27/97	09/30/97	CDF	5,810		5,810	TGWAPB	VEHICLE	85	7	0	0
TEHAMA-GLENN	PONDEROSA	09/27/97	09/28/97	CDF	1,100		1,100	B	ARSON	0	0	0	0
SOUTH AREA													
SAN BERNARDINO	SHOOTING	05/01/97	05/02/97	USFS		4,500	4,500	B	SHOOTING	0	0	0	0
RIVERSIDE	STATE FIRE (BEACH)	05/09/97	05/09/97	CDF	2,400		2,400	GB	SMOKING	0	0	0	0
RIVERSIDE	STATE (BROWN)	05/10/97	05/10/97	CDF	320		320	G	ARSON	3	0	0	0
RIVERSIDE	CALIMESA	06/10/97	06/10/97	CDF	377		377	GB	LAWN MOWER	9	3	0	1
SAN BERNARDINO	HEMLOCK	07/05/97	07/05/97	USFS		3,750	3,750	NA	NA	NA	NA	0	0
SEQUOIA NF	CHOKE	08/05/97	08/13/97	USFS		4,100	4,100	NA	LIGHTNING	NA	NA	0	0
ANGELES NF	NARROWS	08/13/97	08/23/97	USFS		17,263	17,263	NA	NA	NA	NA	0	0
RIVERSIDE	STATE, PAUBA	08/31/97	09/02/97	CDF	7,800		7,800	B	UNDETERMINED	10	0	0	0
RIVERSIDE	POPPET	09/23/97	09/24/97	CDF	1,500		1,500	B	ARSON	5	0	0	0
RIVERSIDE	STATE (JACKRABBIT)	09/24/97	09/25/97	CDF	2,500		2,500	B	SMOKING	0	0	0	0
SAN BERNARDINO	WILDWOOD	09/22/97	09/22/97	CDF	940		940	B	ELEC. POWER	6	0	0	0
SAN DIEGO	WOHLFORD	08/01/97	08/02/97	CDF	457		457	B	ARSON	8	15	0	0
SAN DIEGO	LAUREL	08/01/97	08/03/97	CDF	723		723	B	ELEC. POWER	0	0	0	0
SAN DIEGO	MARGARITA	09/04/97	09/07/97	CDF	1,141		1,141	GAPB	ARSON	1	1	0	0

1997 LARGE DAMAGING FIRES
STATEWIDE

RANGER UNIT & AREA	FIRE NAME	DATE START	DATE CONT.	ORIGIN DPA	ACRES BURNED CDF	ACRES BURNED OTHER	ACRES BURNED TOTAL	VEG. TYPE	CAUSE	STRUCTURES DEST.	STRUCTURES DAM.	FATALITIES FIRE	FATALITIES CIVIL
SOUTH AREA (CONT.)													
SAN DIEGO	DEL DIOS	09/24/97	09/25/97	CDF	1,200		1,200	B	ARSON	2	0	0	0
LOS PADRES NP/SLU	LOGAN	08/05/97	08/11/97	USFS		50,000	50,000		UNDER INV.				
LOS PADRES NF	HOPPER	08/05/97	08/13/97	USFS		24,800	24,800	NA	NA	NA	NA	0	0
SAN LUIS OBISPO	ASSIST 84 (MILITARY AFV)	09/27/97	09/27/97	MIL		1,620	1,620	NA	NA	NA	NA	0	0
SAN LUIS OBISPO	MONTANA	11/01/97	11/02/97	CDF	375		375	B	CAMPFIRE	0	0	0	0
SIERRA AREA													
FRESNO-KINGS	GROVE	05/19/97	05/19/97	CDF	1,235	160	1,395	G	ELEC. POWER	3	26	0	0
SAN BENITO-MONTEREY	METZ #4	05/18/97	05/18/97	CDF	1,900		1,900	G	UNDETERMINED	0	0	0	0
SAN BENITO-MONTEREY	COPPERHEAD	06/11/97	06/12/97	CDF	1,400		1,400	GWB	ESCAPE	0	0	0	0
MADERA-MARIPOSA	MILLSTREAM	07/05/97	07/05/97	CDF	325		325		SMOKING	1	0	0	0
MADERA-MARIPOSA	CORREIA	11/07/97	11/07/97	LOCAL		2,000	2,000		EQUIPMENT USE	0	0	0	0
SEQUOIA NF	BLM #1 (JACKS)	08/09/97	08/14/98	USFS		5,693	5,693	NA	LIGHTNING	NA	NA	0	0
KERN COUNTY	KERN #17 (CHOCKTAW)	08/19/97	08/19/97	CC		4,000	4,000	NA	UNDETERMINED	NA	NA	0	0
TUOLUMNE-CALAVERAS	PRIEST #2	09/08/97	09/09/97	CDF	500		500		ARSON	0	0	0	0
TULARE/SEQUOIA NF	COFFEE	09/24/97	09/24/97	CDF	2,420		2,420	B	VEHICLE	0	0	0	0
TULARE	FERNANDEZ	10/24/97	10/25/97	LOCAL		43,700	43,700	AP	MISCELLANEOUS	0	0	0	0
33 LARGE DAMAGING FIRES - 21 LARGE DAMAGING FIRES ARE CDF DPA					35,145	163,876	199,021			133	52	1	1

N/A = INFORMATION NOT AVAILABLE - OTHER AGENCIES ARE NOT REQUIRED TO REPORT THESE FIELDS.

LFDAM97.WK4

California Department Of Forestry and Fire Protection

Emergency Activity Reporting System

LARGE DAMAGING FIRE CRITERIA:

The above list includes fires 300 acres or larger that burned at least:

30 acres of timber, or
300 acres of brush, or
1500 acres of woodland, or
1500 acres of grass, or
1500 acres agricultural products, or
3 or more structures destroyed, or
$300,000 or more dollar damage loss

Abbreviations used in this list ARE:

ORIGIN D.P.A.	=	The agency on whose Direct Protection Area (D.P.A.) the fire started.
ACRES BURNED	=	Acres burned in direct protection area of CDF, other agencies, and total area burned.
VEGETATION TYPE	=	Type of vegetation burned
T	=	Timber
B	=	Brush
W	=	Woodland
G	=	Grass
AP	=	Agricultural Products
STRUCTURES	=	Number of dwellings or structures destroyed or damaged. Dwellings and structures destroyed or damaged by fires not included on this list have not been tabulated.

DAM_FIR2.WK4

1997 LARGE DAMAGING FIRE CALENDAR [1]

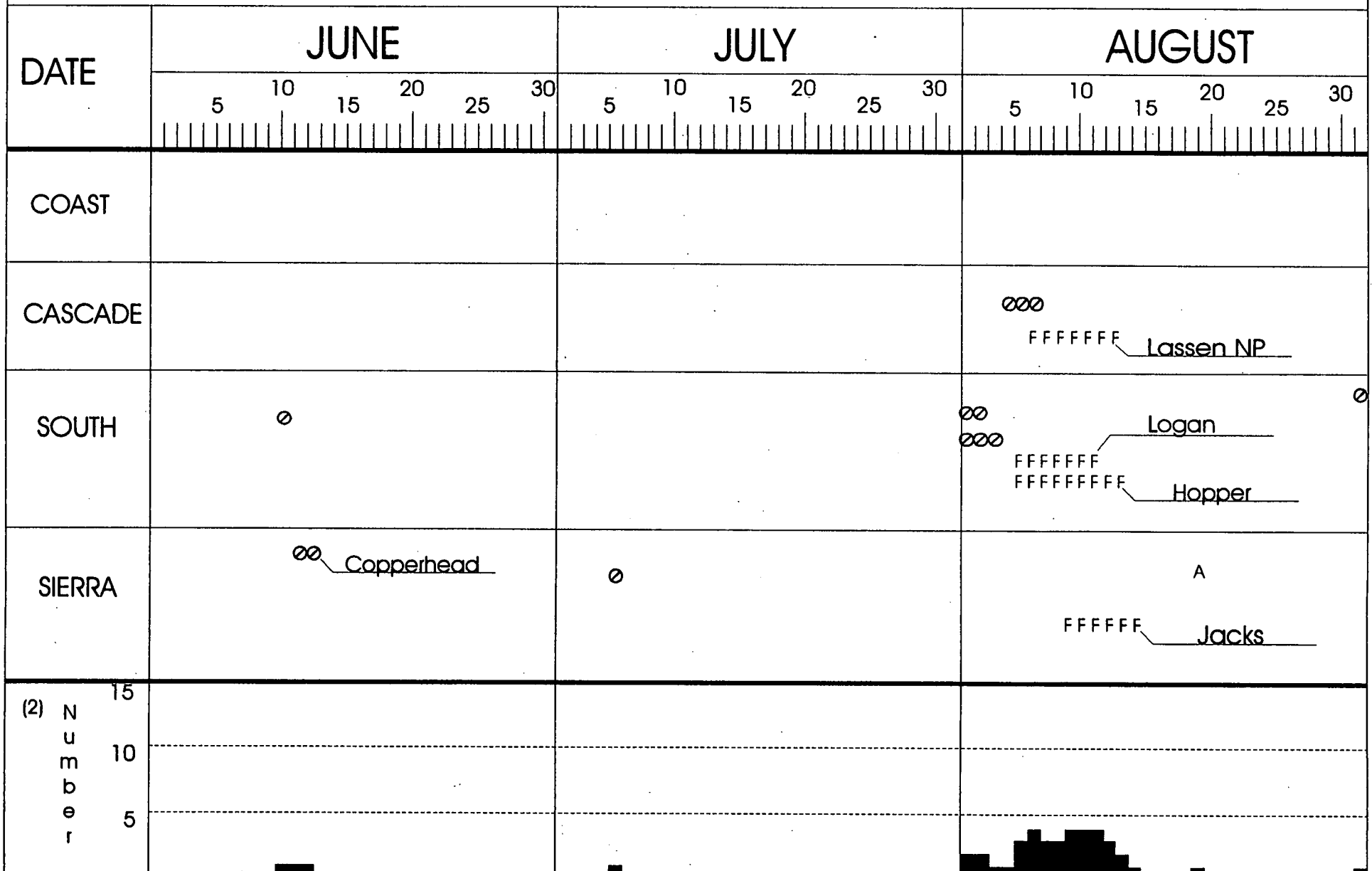

LEGEND		ORIGIN
⊘	=	CDF
F	=	FEDERAL AGENCY
A	=	OTHER AGENCY (City, Contract Co.)

J = JOINT (CDF/FEDERAL).

[1] Listed in the "LARGE DAMAGING FIRE SUMMARY" Table

[2] Number of large damaging fires uncontained on date shown

1997 LARGE DAMAGING FIRE CALENDAR (1)

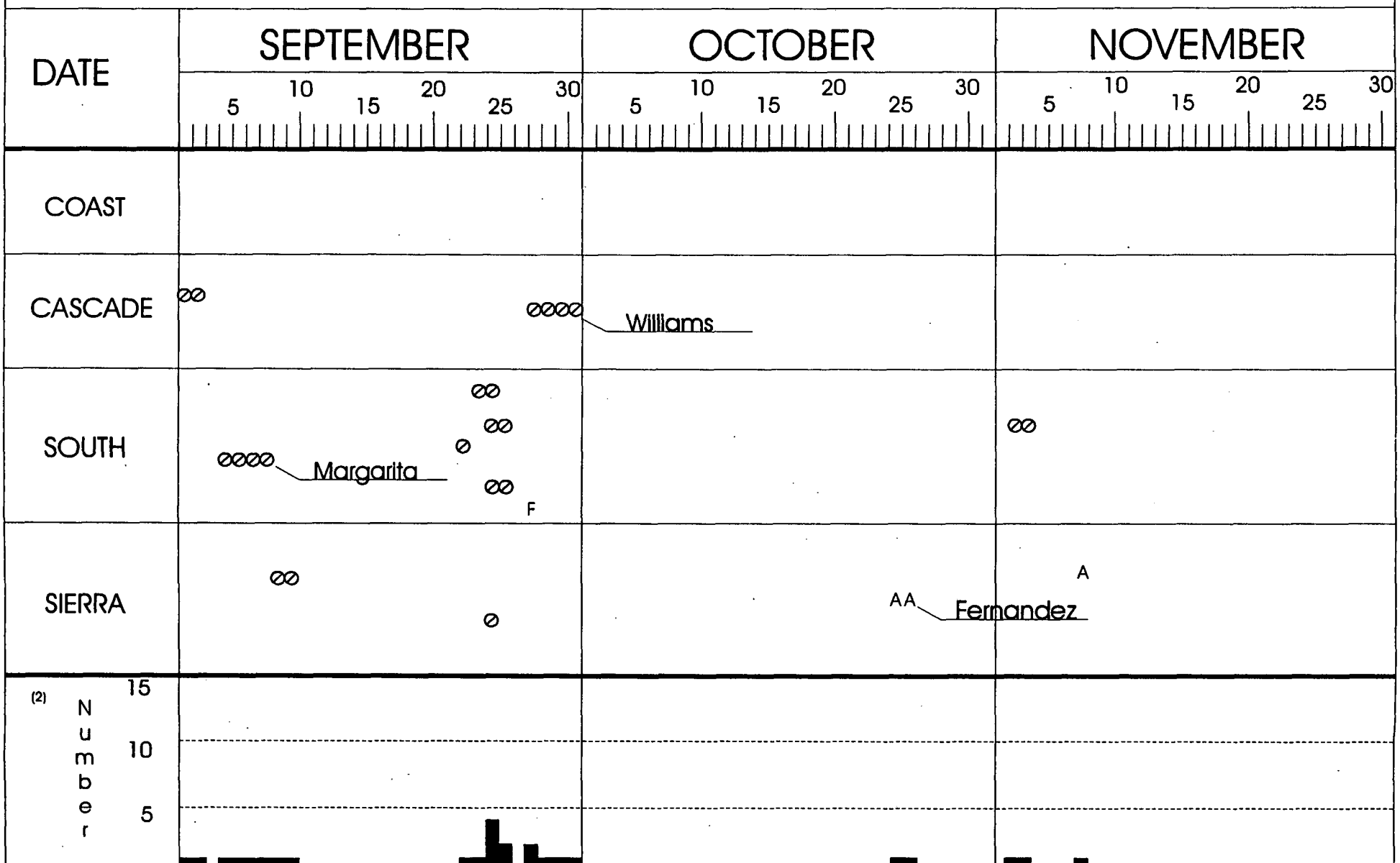

LEGEND		ORIGIN
⊘	=	CDF
F	=	Federal Agency
A	=	OTHER AGENCY (City, Contract Co.)

(1) Listed in the "LARGE DAMAGING FIRE SUMMARY" Table

(2) Number of large damaging fires uncontained on date shown

WILDFIRE STATISTICS

STATE RESPONSIBILITY

ALL AGENCIES

LANDS DIRECTLY PROTECTED BY CALIFORNIA DEPARTMENT OF FORESTRY AND FIRE PROTECTION	WILDFIRES	ACRES BURNED
STATE RESPONSIBILITY	6,637	56,978
UNITED STATES FOREST SERVICE	67	88
BUREAU OF LAND MANAGEMENT	46	584
BUREAU OF INDIAN AFFAIRS	59	124
NATIONAL PARK SERVICE	7	3
BUREAU OF RECLAMATION	4	4
OTHER FEDERAL	0	0
OTHER PROTECTION RESPONSIBILITY	15	7
TOTAL	**6,835**	**57,788**

LANDS DIRECTLY PROTECTED BY OTHER AGENCIES	WILDFIRES	ACRES BURNED
CONTRACT COUNTIES	487	27,666
UNITED STATES FOREST SERVICE STATE AND PRIVATE	371	5,442
BUREAU OF LAND MANAGEMENT	39	714
TOTAL	**897**	**33,822**

STATE TOTAL	**7,732**	**91,610**

California Department of Forestry and Fire Protection - Direct Protection Area
Emergency Activity Report

CA_WFIRW.WK4

NUMBER OF WILDFIRES - BY CAUSE, BY AGENCY
STATE RESPONSIBILITY - ALL AGENCIES

LANDS DIRECTLY PROTECTED BY CALIFORNIA DEPARTMENT OF FORESTRY AND FIRE PROTECTION	TOTAL	UNDET.	LTNG.	CAMP-FIRE	SMOKING	DEBRIS BURNING	ARSON	EQUIP. USE	PLAY W/FIRE	VEHICLE	RAILROAD	ELEC. POWER	MISC.
STATE RESPONSIBILITY	6,637	858	217	365	180	804	375	1,457	172	1,186	35	225	763
UNITED STATES FOREST SERVICE	67	8	24	8	5	3	2	6	0	6	0	0	5
BUREAU OF LAND MANAGEMENT	46	18	9	2	0	0	7	5	0	2	1	0	2
BUREAU OF INDIAN AFFAIRS	59	18	1	2	3	3	7	10	2	5	0	1	7
NATIONAL PARK SERVICE	7	0	0	0	0	1	0	2	0	2	0	0	2
BUREAU OF RECLAMATION	4	0	0	1	0	0	0	1	0	1	0	0	1
OTHER FEDERAL	0	0	0	0	0	0	0	0	0	0	0	0	0
OTHER PROTECTION RESPONSIBILITY	15	4	0	1	0	1	1	4	0	1	0	0	3
TOTAL	6,835	906	251	379	188	812	392	1,485	174	1,203	36	226	783

ACRES BURNED - BY CAUSE BY AGENCY
STATE RESPONSIBILITY - ALL AGENCIES

LANDS DIRECTLY PROTECTED BY CALIFORNIA DEPARTMENT OF FORESTRY AND FIRE PROTECTION	TOTAL	UNDET.	LTNG.	CAMP-FIRE	SMOKING	DEBRIS BURNING	ARSON	EQUIP. USE	PLAY W/FIRE	VEHICLE	RAILROAD	ELEC. POWER	MISC.
STATE RESPONSIBILITY	56,978	3,744	953	1,154	3,007	1,300	8,126	8,040	222	9,820	439	4,559	15,614
UNITED STATES FOREST SERVICE	88	1	35	26	3	1	3	3	0	16	0	0	0
BUREAU OF LAND MANAGEMENT	584	2	13	1	0	0	500	26	0	2	40	0	0
BUREAU OF INDIAN AFFAIRS	124	97	0	1	8	1	13	2	0	1	0	0	1
NATIONAL PARK SERVICE	3	0	0	0	0	0	0	3	0	0	0	0	0
BUREAU OF RECLAMATION	4	0	0	4	0	0	0	0	0	0	0	0	0
OTHER FEDERAL	0	0	0	0	0	0	0	0	0	0	0	0	0
OTHER PROTECTION RESPONSIBILITY	7	5	0	0	0	0	0	0	0	0	0	0	2
TOTAL	57,788	3,849	1,001	1,186	3,018	1,302	8,642	8,074	222	9,839	479	4,559	15,617

NUMBER OF WILDFIRES - BY SIZE CLASS, BY AGENCY
STATE RESPONSIBILITY - ALL AGENCIES

LANDS DIRECTLY PROTECTED BY CALIFORNIA DEPARTMENT OF FORESTRY AND FIRE PROTECTION	TOTAL	A	B	C	D	E	F	G
STATE RESPONSIBILITY	6,637	4,790	1,568	207	39	20	11	2
UNITED STATES FOREST SERVICE	67	50	13	4	0	0	0	0
BUREAU OF LAND MANAGEMENT	46	34	9	2	0	1	0	0
BUREAU OF INDIAN AFFAIRS	59	36	21	2	0	0	0	0
NATIONAL PARK SERVICE	7	6	1	0	0	0	0	0
BUREAU OF RECLAMATION	4	3	1	0	0	0	0	0
OTHER FEDERAL	0	0	0	0	0	0	0	0
OTHER PROTECTION RESPONSIBILITY	15	12	3		0	0	0	0
TOTAL	6,835	4,931	1,616	215	39	21	11	2

ACRES BURNED - BY SIZE CLASS, BY AGENCY
STATE RESPONSIBILITY - ALL AGENCIES

LANDS DIRECTLY PROTECTED BY CALIFORNIA DEPARTMENT OF FORESTRY AND FIRE PROTECTION	TOTAL	A	B	C	D	E	F	G
STATE RESPONSIBILITY	56,978	166	2,593	6,515	6,481	9,617	17,996	13,610
UNITED STATES FOREST SERVICE	88	3	16	69	0	0	0	0
BUREAU OF LAND MANAGEMENT	584	3	21	60	0	500	0	0
BUREAU OF INDIAN AFFAIRS	124	1	18	105	0	0	0	0
NATIONAL PARK SERVICE	3	0	3	0	0	0	0	0
BUREAU OF RECLAMATION	4	0	4	0	0	0	0	0
OTHER FEDERAL	0	0	0	0	0	0	0	0
OTHER PROTECTION RESPONSIBILITY	7	0	7	0	0	0	0	0
TOTAL	57,788	173	2,662	6,749	6,481	10,117	17,996	13,610

NUMBER OF WILDFIRES - BY CAUSE, BY AGENCY
STATE RESPONSIBILITY - ALL AGENCIES

SRA PROTECTED BY OTHER AGENCIES	TOTAL	UNDET.	LTNG.	CAMP-FIRE	SMOKING	DEBRIS BURNING	ARSON	EQUIP. USE	PLAY W/FIRE	VEHICLE	RAILROAD	ELEC. POWER	MISC.
CONTRACT COUNTIES	487	0	7	5	13	4	75	101	16	0	0	0	266
UNITED STATES FOREST SERVICE	371	0	87	25	9	47	27	33	20	0	5	0	118
BUREAU OF LAND MANAGEMENT	39	0	12	1	1	10	2	11	2	0	0	0	0
TOTAL	897	0	106	31	23	61	104	145	38	0	5	0	384

ACRES BURNED - BY CAUSE, BY AGENCY
STATE RESPONSIBILITY - ALL AGENCIES

SRA PROTECTED BY OTHER AGENCIES	TOTAL	UNDET.	LTNG.	CAMP-FIRE	SMOKING	DEBRIS BURNING	ARSON	EQUIP. USE	PLAY W/FIRE	VEHICLE	RAILROAD	ELEC. POWER	MISC.
CONTRACT COUNTIES	27,666	0	203	21	5	1	6,811	1,126	24	0	0	0	19,475
UNITED STATES FOREST SERVICE	5,442	0	260	16	4	275	195	40	52	0	1	0	4,599
BUREAU OF LAND MANAGEMENT	714	0	3	16	0	14	8	670	3	0	0	0	0
TOTAL	33,822	0	466	53	9	290	7,014	1,836	79	0	1	0	24,074

NUMBER OF FIRES BY SIZE CLASS, BY AGENCY
STATE RESPONSIBILITY - ALL AGENCIES

SRA PROTECTED BY OTHER AGENCIES	TOTAL	A	B	C	D	E	F	G
CONTRACT COUNTIES	487	269	154	39	10	9	5	1
UNITED STATES FOREST SERVICE	371	270	74	14	5	4	2	2
BUREAU OF LAND MANAGEMENT	39	22	14	2	0	1	0	0
TOTAL	897	561	242	55	15	14	7	3

CA_WFIRY.WK4

STATE RESPONSIBILITY WILDFIRES
NUMBER OF FIRES BY CAUSE, BY CONTRACT COUNTY

CONTRACT COUNTIES	TOTAL	LTNG.	CAMP-FIRE	SMOKING	DEBRIS BURNING	ARSON	EQUIP. USE	RAILROAD	PLAY. W/FIRE	ELEC. POWER	MISC.
NUMBER OF FIRES BY CAUSE											
KERN	108	3	0	7	2	20	37	0	2	0	37
MARIN	27	0	1	0	2	3	12	0	8	0	1
LOS ANGELES	7	0	0	0	0	1	1	0	0	0	5
ORANGE	37	0	0	0	0	6	1	0	0	0	30
SANTA BARBARA	193	4	0	0	0	13	37	0	4	0	135
VENTURA	115	0	4	6	0	32	13	0	2	0	58
TOTALS	487	7	5	13	4	75	101	0	16	0	266

ACRES BURNED BY CAUSE, BY CONTRACT COUNTY

CONTRACT COUNTIES	TOTAL	LTNG.	CAMP-FIRE	SMOKING	DEBRIS BURNING	ARSON	EQUIP. USE	RAILROAD	PLAY. W/FIRE	ELEC. POWER	MISC.
ACRES BURNED BY CAUSE											
KERN	9,293	186	0	4	1	4,006	652	0	0	0	4,444
MARIN	160	0	0	0	0	14	120	0	23	0	3
LOS ANGELES	1,620	0	0	0	0	214	184	0	0	0	1,222
ORANGE	6,428	0	0	0	0	2	0	0	0	0	6,426
SANTA BARBARA	7,444	17	0	0	0	33	121	0	1	0	7,272
VENTURA	2,721	0	21	1	0	2,542	49	0	0	0	108
TOTALS	27,666	203	21	5	1	6,811	1,126	0	24	0	19,475

NUMBER OF FIRES BY SIZE CLASS, BY CONTRACT COUNTY

CONTRACT COUNTIES	TOTAL	A	B	C	D	E	F	G
NUMBER OF FIRES BY SIZE CLASS								
KERN	108	57	33	11	2	2	3	0
MARIN	27	17	7	2	1	0	0	0
LOS ANGELES	7	0	1	3	2	1	0	0
ORANGE	37	23	10	1	1	1	0	1
SANTA BARBARA	193	117	51	15	4	5	1	0
VENTURA	115	55	52	7	0	0	1	0
TOTALS	487	269	154	39	10	9	5	1

ACRES BURNED BY VEGETATION TYPE

CONTRACT COUNTIES	TOTAL	COMMERCIAL FOREST	NON-COMMERCIAL FOREST	NON- FORESTED WATERSHED
ACRES BURNED BY VEGETATION TYPE				
KERN	9,293	1	0	9,292
MARIN	160	0	0	160
LOS ANGELES	1,620	0	0	1,620
ORANGE	6,428	0	0	6,428
SANTA BARBARA	7,444	0	0	7,444
VENTURA	2,721	0	0	2,721
TOTALS	27,666	1	0	27,665

*LOS ANGELES DATA MISSING

CONTR_C2.WK4

WILDFIRE STATISTICS

STATE RESPONSIBILITY

CDF DIRECT PROTECTION

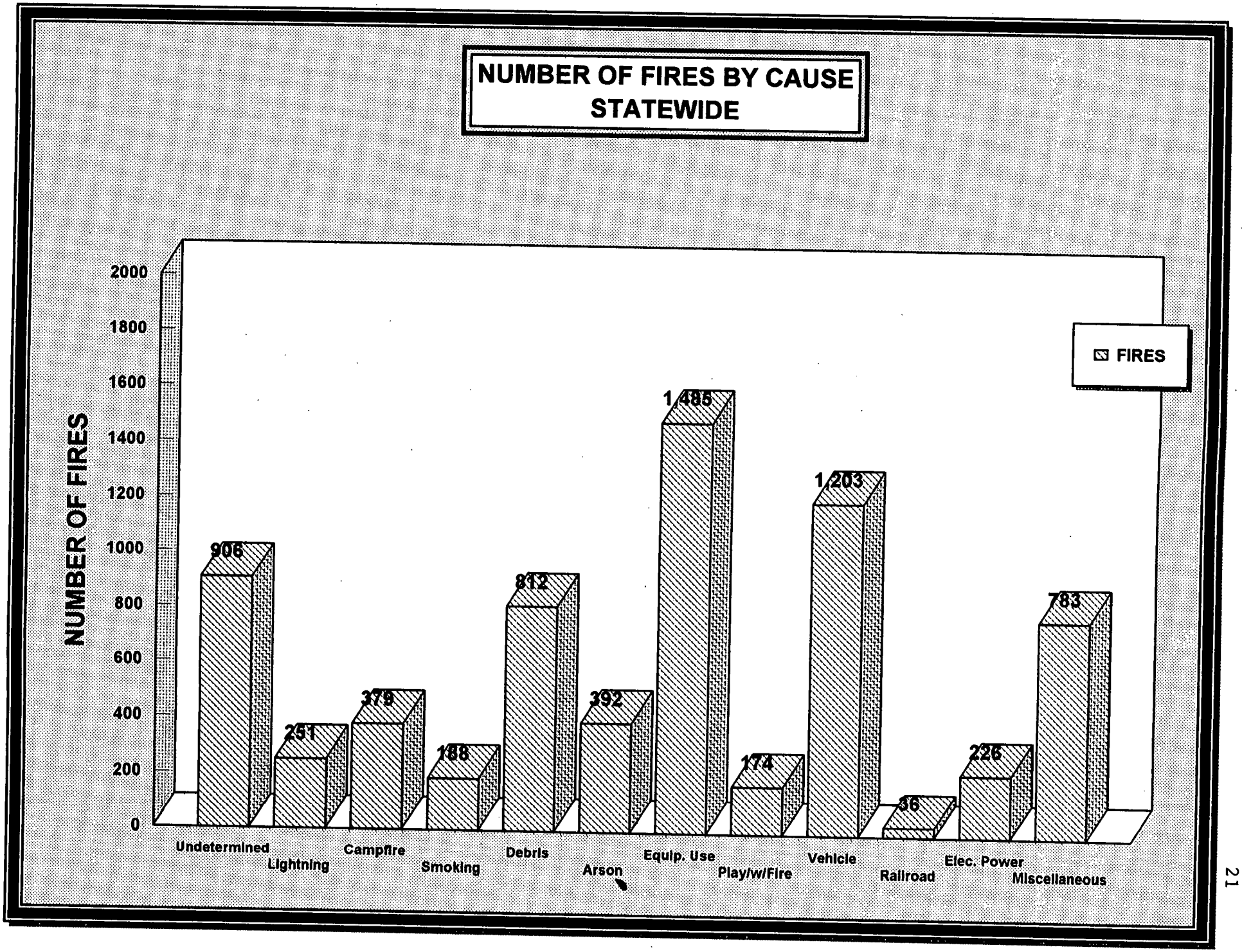
NUMBER OF FIRES BY CAUSE
STATEWIDE
NUMBER OF FIRES
2000
1800
1600
1400
1200
1000
800
600
400
200
0
FIRES
906
251
379
188
812
392
1,485
174
1,203
36
226
783
Undetermined
Lightning
Campfire
Smoking
Debris
Arson
Equip. Use
Play/w/Fire
Vehicle
Railroad
Elec. Power
Miscellaneous

NUMBER OF FIRES BY CAUSE BY AREA

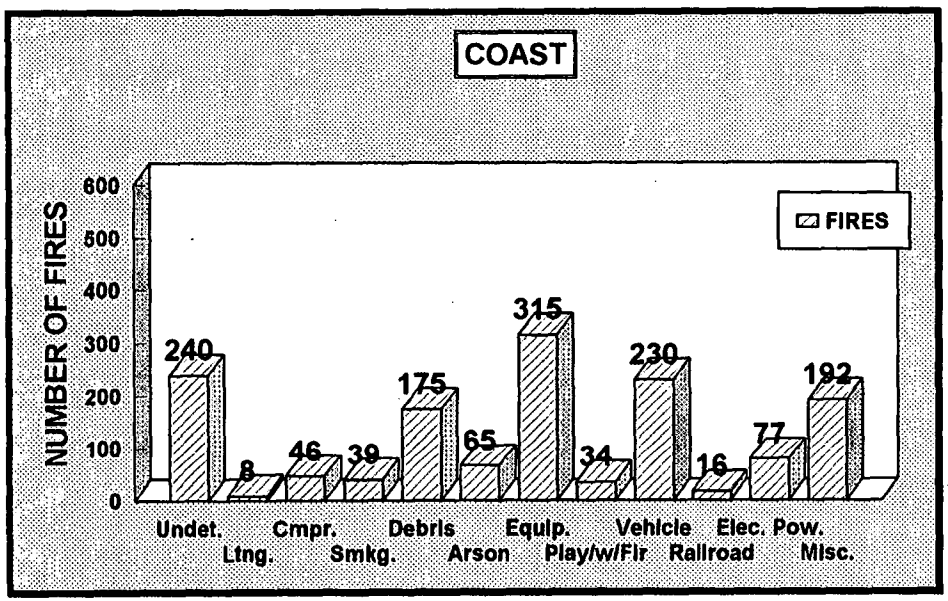

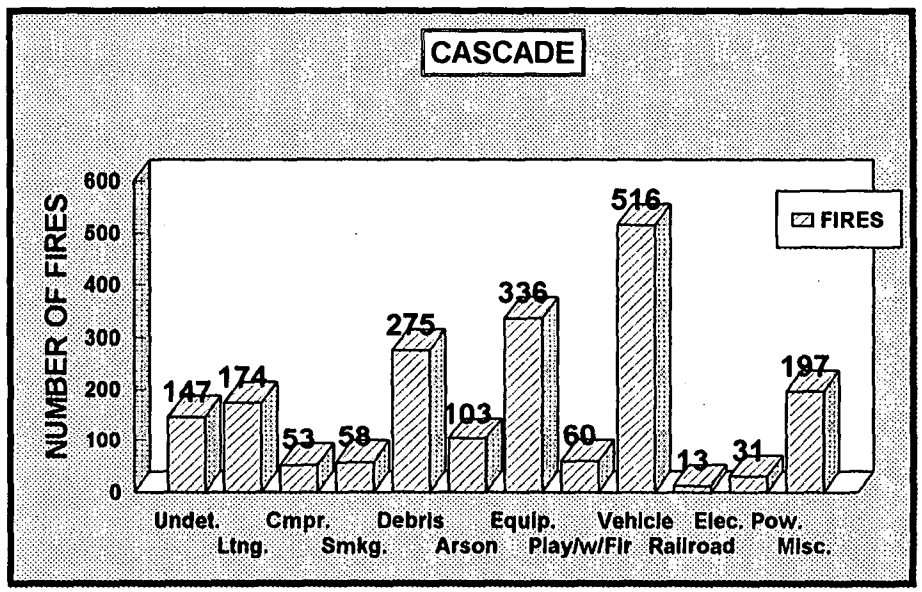

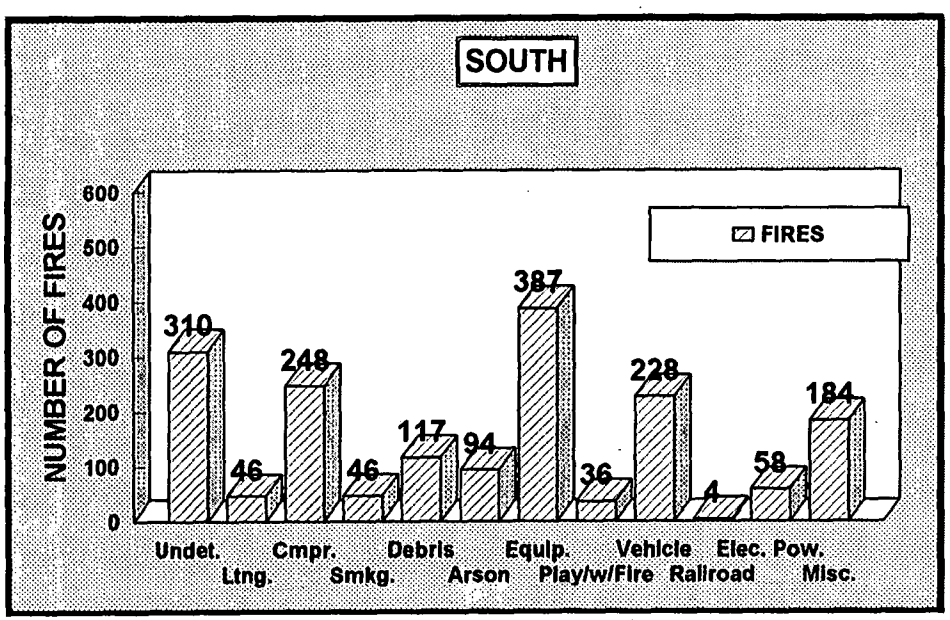

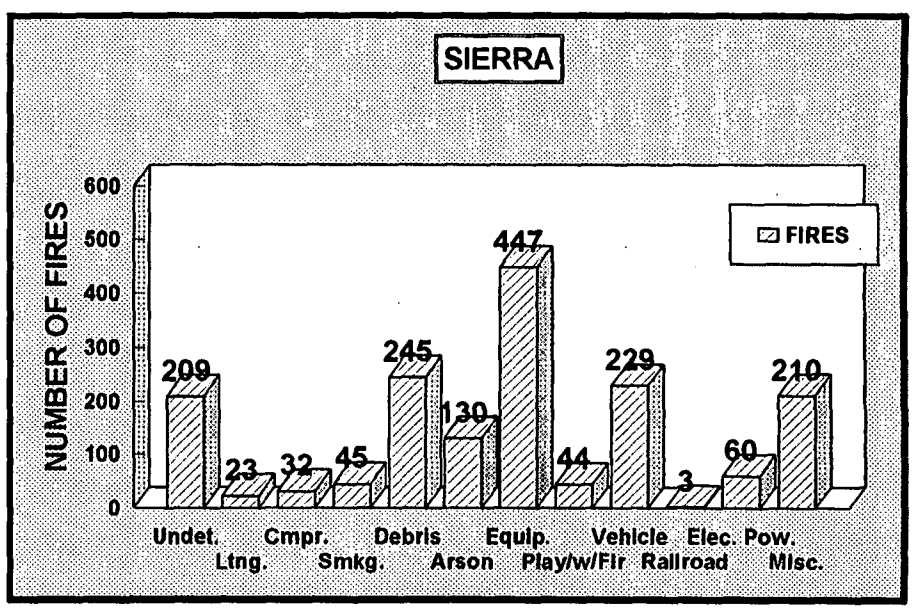

NUMBER OF FIRES - BY CAUSE, BY RANGER UNIT
STATEWIDE

AREA AND RANGER UNIT	TOTAL	UNDET.	LTNG.	CAMP-FIRE	SMOKING	DEBRIS BURNING	ARSON	EQUIP. USE	PLAY. W/FIRE	VEHICLE	RAILROAD	ELEC. POWER	MISC.
COAST													
HUMBOLDT - DEL NORTE	271	50	1	18	9	45	23	54	7	21	0	4	39
LAKE NAPA	277	39	2	5	7	36	8	64	11	35	3	20	47
MENDOCINO	214	34	1	10	9	43	7	36	9	28	7	9	21
SAN MATEO - SANTA CRUZ	172	34	0	5	2	15	4	38	2	35	0	18	19
SANTA CLARA	300	52	1	4	8	5	14	83	3	81	6	7	36
SONOMA	203	31	3	4	4	31	9	40	2	30	0	19	30
COAST TOTAL	1,437	240	8	46	39	175	65	315	34	230	16	77	192
CASCADE													
BUTTE	337	26	7	14	8	69	22	60	6	55	2	8	60
LASSEN - MODOC	166	17	68	14	4	23	1	14	1	6	0	1	17
NEVADA - YUBA - PLACER	719	59	4	6	6	103	25	113	11	333	4	7	48
SHASTA - TRINITY	400	21	38	7	29	51	41	72	30	66	0	8	37
SISKIYOU	162	10	52	9	6	18	3	16	5	18	5	4	16
TEHAMA - GLENN	179	14	5	3	5	11	11	61	7	38	2	3	19
CASCADE TOTAL	1,963	147	174	53	58	275	103	336	60	516	13	31	197
SOUTH													
RIVERSIDE	384	49	7	10	25	13	36	94	13	61	0	8	68
SAN BERNARDINO	167	26	10	8	10	13	14	40	6	11	2	6	21
SAN DIEGO	916	188	26	221	6	74	40	158	12	97	1	22	71
SAN LUIS OBISPO	291	47	3	9	5	17	4	95	5	59	1	22	24
SOUTH TOTAL	1,758	310	46	248	46	117	94	387	36	228	4	58	184
SIERRA													
AMADOR - EL DORADO	309	45	4	10	11	81	19	63	13	19	0	6	38
FRESNO - KINGS	196	23	6	0	6	18	21	57	3	26	0	12	24
MADERA - MARIPOSA	306	38	1	6	6	31	16	83	6	70	0	7	42
SAN BENITO - MONTEREY	199	19	2	5	3	15	5	70	7	32	0	16	25
TULARE	108	6	3	4	2	7	41	26	1	7	0	5	6
TUOLUMNE - CALAVERAS	559	78	7	7	17	93	28	148	14	75	3	14	75
SIERRA TOTAL	1,677	209	23	32	45	245	130	447	44	229	3	60	210
STATEWIDE TOTALS	6,835	906	251	379	188	812	392	1,485	174	1,203	36	226	783

NUMBER OF FIRES - BY CAUSE, BY COUNTY
COAST AREA

RANGER UNIT / COUNTY	TOTAL	UNDET.	LTNG.	CAMP-FIRE	SMOKING	DEBRIS BURNING	ARSON	EQUIP. USE	PLAY. W/FIRE	VEHICLE	RAILROAD	POWER ELEC.	MISC.
HUMBOLDT - DEL NORTE													
HUMBOLDT	218	40	0	8	8	39	21	49	5	19	0	4	25
DEL NORTE	53	10	1	10	1	6	2	5	2	2	0	0	14
TRINITY	0	0	0	0	0	0	0	0	0	0	0	0	0
RANGER UNIT TOTAL	**271**	50	1	18	9	45	23	54	7	21	0	4	39
LAKE NAPA													
LAKE	122	17	1	2	5	25	5	19	10	14	0	5	19
NAPA	114	10	0	2	2	8	2	34	0	18	3	13	22
COLUSA	6	0	0	0	0	2	0	4	0	0	0	0	0
SOLANO	21	6	0	1	0	0	1	4	1	2	0	2	4
YOLO	14	6	1	0	0	1	0	3	0	1	0	0	2
RANGER UNIT TOTAL	**277**	39	2	5	7	36	8	64	11	35	3	20	47
MENDOCINO													
MENDOCINO	214	34	1	10	9	43	7	36	9	28	7	9	21
RANGER UNIT TOTAL	**214**	34	1	10	9	43	7	36	9	28	7	9	21
SAN MATEO - SANTA CRUZ													
SAN MATEO	37	16	0	0	0	1	0	6	0	8	0	3	3
SANTA CRUZ	135	18	0	5	2	14	4	32	2	27	0	15	16
RANGER UNIT TOTAL	**172**	34	0	5	2	15	4	38	2	35	0	18	19
SANTA CLARA													
SANTA CLARA	120	22	1	3	3	4	5	33	3	27	1	3	15
ALAMEDA	98	12	0	1	2	0	7	26	0	30	5	3	12
CONTRA COSTA	43	17	0	0	0	1	1	13	0	4	0	1	6
SAN JOAQUIN	11	1	0	0	2	0	1	3	0	3	0	0	1
STANISLAUS	28	0	0	0	1	0	0	8	0	17	0	0	2
RANGER UNIT TOTAL	**300**	52	1	4	8	5	14	83	3	81	6	7	36
SONOMA													
SONOMA	203	31	3	4	4	31	9	40	2	30	0	19	30
RANGER UNIT TOTAL	**203**	31	3	4	4	31	9	40	2	30	0	19	30
COAST TOTAL	**1,437**	240	8	46	39	175	65	315	34	230	16	77	192

NUMBER OF FIRES - BY CAUSE, BY COUNTY
CASCADE AREA

RANGER UNIT COUNTY	TOTAL	UNDET.	LTNG.	CAMP-FIRE	SMOKING	DEBRIS BURNING	ARSON	EQUIP. USE	PLAY. W/FIRE	VEHICLE	RAILROAD	ELEC. POWER	MISC.
BUTTE													
BUTTE	337	26	7	14	8	69	22	60	6	55	2	8	60
RANGER UNIT TOTAL	**337**	26	7	14	8	69	22	60	6	55	2	8	60
LASSEN-MODOC													
LASSEN	117	13	52	4	2	18	1	10	1	4	0	0	12
MODOC	23	4	7	0	0	4	0	3	0	2	0	0	3
PLUMAS	26	0	9	10	2	1	0	1	0	0	0	1	2
RANGER UNIT TOTAL	**166**	17	68	14	4	23	1	14	1	6	0	1	17
NEVADA-YUBA-PLACER													
NEVADA	126	12	0	3	4	40	6	27	3	15	0	1	15
YUBA	375	17	2	1	0	16	5	37	5	282	2	2	6
PLACER	218	30	2	2	2	47	14	49	3	35	3	4	27
SIERRA	0	0	0	0	0	0	0	0	0	0	0	0	0
RANGER UNIT TOTAL	**719**	59	4	6	6	103	25	113	11	332	5	7	48
SHASTA-TRINITY													
SHASTA	358	17	32	7	27	43	39	68	22	62	0	7	34
TRINITY	42	4	6	0	2	8	2	4	8	4	0	1	3
RANGER UNIT TOTAL	**400**	21	38	7	29	51	41	72	30	66	0	8	37
SISKIYOU													
SISKIYOU	162	10	52	9	6	18	3	16	5	18	5	4	16
RANGER UNIT TOTAL	**162**	10	52	9	6	18	3	16	5	18	5	4	16
TEHEMA-GLENN													
TEHEMA	169	13	4	3	5	11	11	55	7	37	2	3	18
GLENN	10	1	1	0	0	0	0	6	0	1	0	0	1
RANGER UNIT TOTAL	**179**	14	5	3	5	11	11	61	7	38	2	3	19
CASCADE TOTAL	**1,963**	147	174	53	58	275	103	336	60	515	14	31	197

California Department of Forestry and Fire Protection - Direct Protection Area
Emergency Activity Report

F_RUR02.WK

NUMBER OF FIRES - BY CAUSE, BY COUNTY
SOUTH AREA

RANGER UNIT COUNTY	TOTAL	UNDET.	LTNG.	CAMP-FIRE	SMOKING	DEBRIS BURNING	ARSON	EQUIP. USE	PLAY. W/FIRE	VEHICLE	RAILROAD	ELEC. POWER	MISC.
RIVERSIDE													
RIVERSIDE	384	49	7	10	25	13	36	94	13	61	0	8	68
RANGER UNIT TOTAL	**384**	49	7	10	25	13	36	94	13	61	0	8	68
SAN BERNARDINO													
SAN BERNARDINO	145	24	8	5	9	9	14	39	6	6	2	5	18
INYO	21	2	2	3	1	4	0	1	0	4	0	1	3
MONO	1	0	0	0	0	0	0	0	0	1	0	0	0
RANGER UNIT TOTAL	**167**	26	10	8	10	13	14	40	6	11	2	6	21
SAN DIEGO													
SAN DIEGO	916	188	26	221	6	74	40	158	12	97	1	22	71
IMPERIAL	0	0	0	0	0	0	0	0	0	0	0	0	0
RANGER UNIT TOTAL	**916**	188	26	221	6	74	40	158	12	97	1	22	71
SAN LUIS OBISPO													
SAN LUIS OBISPO	291	47	3	9	5	17	4	95	5	59	1	22	24
RANGER UNIT TOTAL	**291**	47	3	9	5	17	4	95	5	59	1	22	24
SOUTH TOTAL	**1,758**	310	46	248	46	117	94	387	36	228	4	58	184

California Department of Forestry and Fire Protection - Direct Protection Area
Emergency Activity Report

F_RUR03.WK4

NUMBER OF FIRES - BY CAUSE, BY COUNTY
SIERRA AREA

RANGER UNIT COUNTY	TOTAL	UNDET.	LTNG.	CAMP-FIRE	SMOKING	DEBRIS BURNING	ARSON	EQUIP. USE	PLAY. W/FIRE	VEHICLE	RAILROAD	ELEC. POWER	MISC.
AMADOR - EL DORADO													
AMADOR	90	15	0	1	2	27	9	17	1	3	0	2	13
EL DORADO	210	28	4	9	9	53	10	42	12	16	0	4	23
SACRAMENTO	2	1	0	0	0	0	0	1	0	0	0	0	0
SAN JOAQUIN	7	1				1		3					2
RANGER UNIT TOTAL	**309**	**45**	**4**	**10**	**11**	**81**	**19**	**63**	**13**	**19**	**0**	**6**	**38**
FRESNO - KINGS													
FRESNO	195	23	6	0	6	17	21	57	3	26	0	12	24
KINGS	1	0	0	0	0	1	0	0	0	0	0	0	0
RANGER UNIT TOTAL	**196**	23	6	0	6	18	21	57	3	26	0	12	24
MADERA - MARIPOSA													
MADERA	174	22	0	4	3	14	10	50	4	44	0	3	20
MARIPOSA	86	13	1	1	1	17	2	27	1	11	0	2	10
MERCED	46	3	0	1	2	0	4	6	1	15	0	2	12
RANGER UNIT TOTAL	**306**	38	1	6	6	31	16	83	6	70	0	7	42
SAN BENITO - MONTEREY													
SAN BENITO	35	6	0	1	1	1	1	14	0	5	0	1	5
MONTEREY	164	13	2	4	2	14	4	56	7	27	0	15	20
RANGER UNIT TOTAL	**199**	19	2	5	3	15	5	70	7	32	0	16	25
TULARE													
TULARE	108	6	3	4	2	7	41	26	1	7	0	5	6
RANGER UNIT TOTAL	**108**	6	3	4	2	7	41	26	1	7	0	5	6
TUOLUMNE-CALAVERAS													
TUOLUMNE	269	37	0	3	9	30	19	77	4	34	3	8	45
CALAVERAS	276	38	7	4	8	62	9	68	10	35	0	5	30
STANISLAUS	11	2	0	0	0	1	0	2	0	6	0	0	0
SAN JOAQUIN	3	1	0	0	0	0	0	1	0	0	0	1	0
ALPINE	0	0	0	0	0	0	0	0	0	0	0	0	0
RANGER UNIT TOTAL	**559**	78	7	7	17	93	28	148	14	75	3	14	75
SIERRA TOTAL	**1,677**	209	23	32	45	245	130	447	44	229	3	60	210

NUMBER OF FIRES BY SIZE CLASS
STATEWIDE

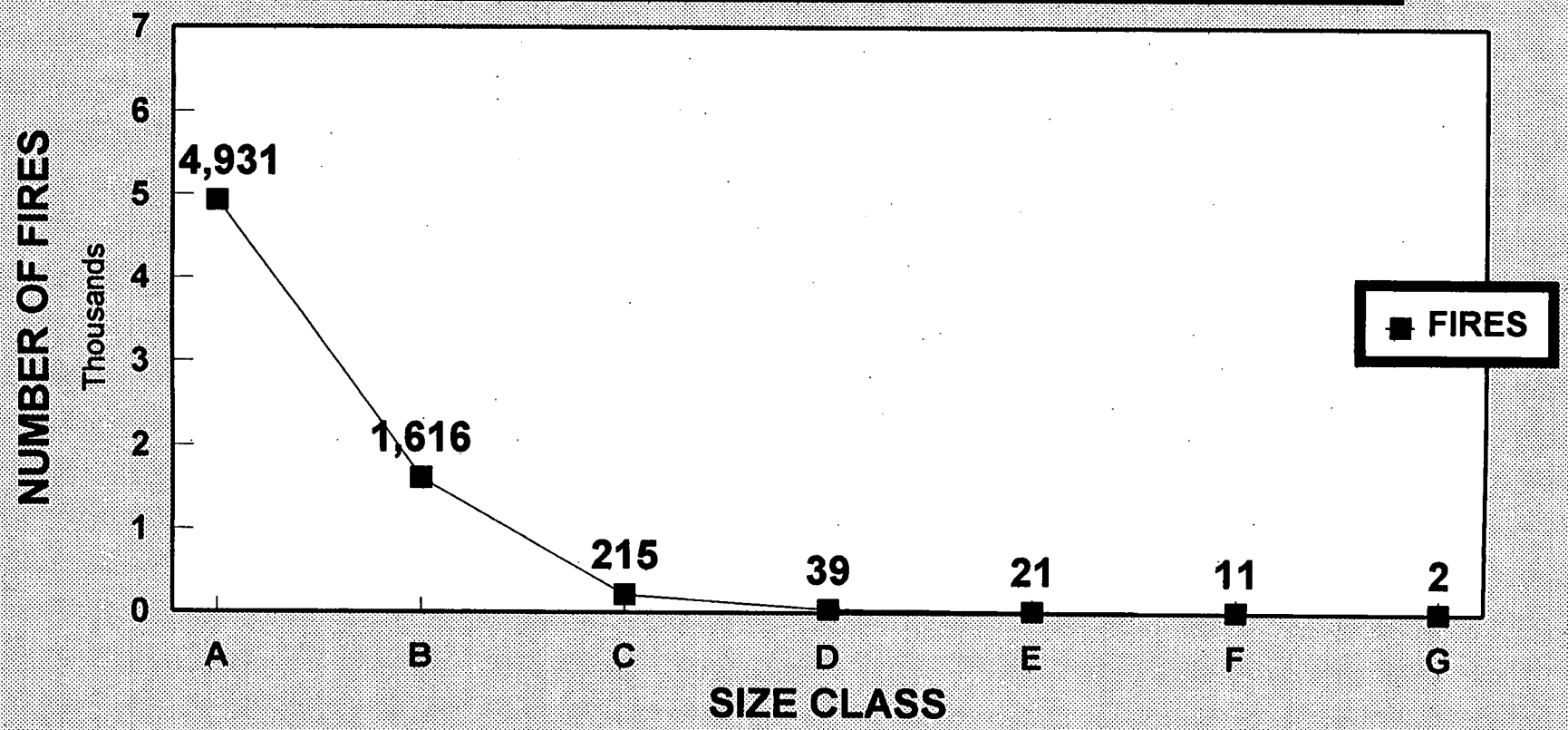

NUMBER OF FIRES BY SIZE CLASS BY AREA

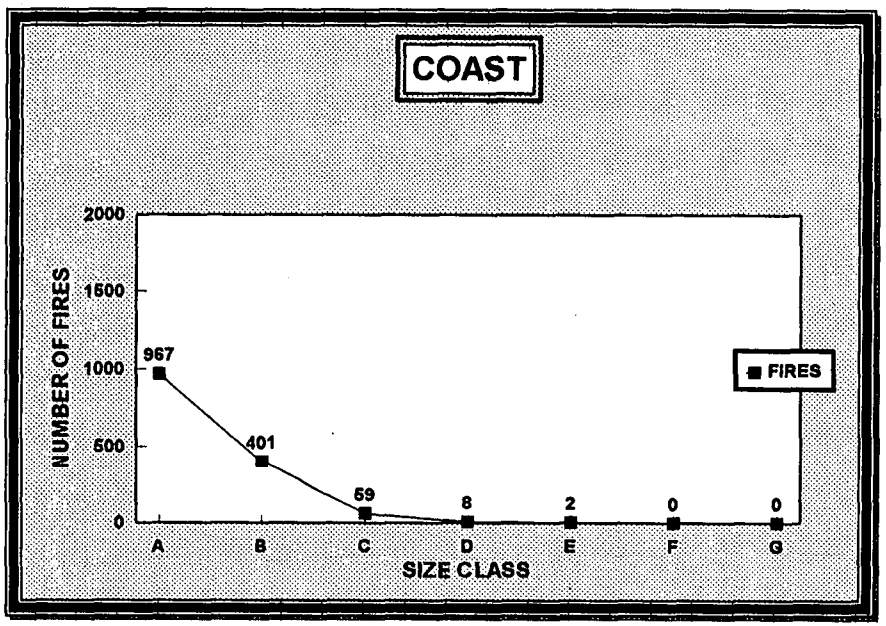

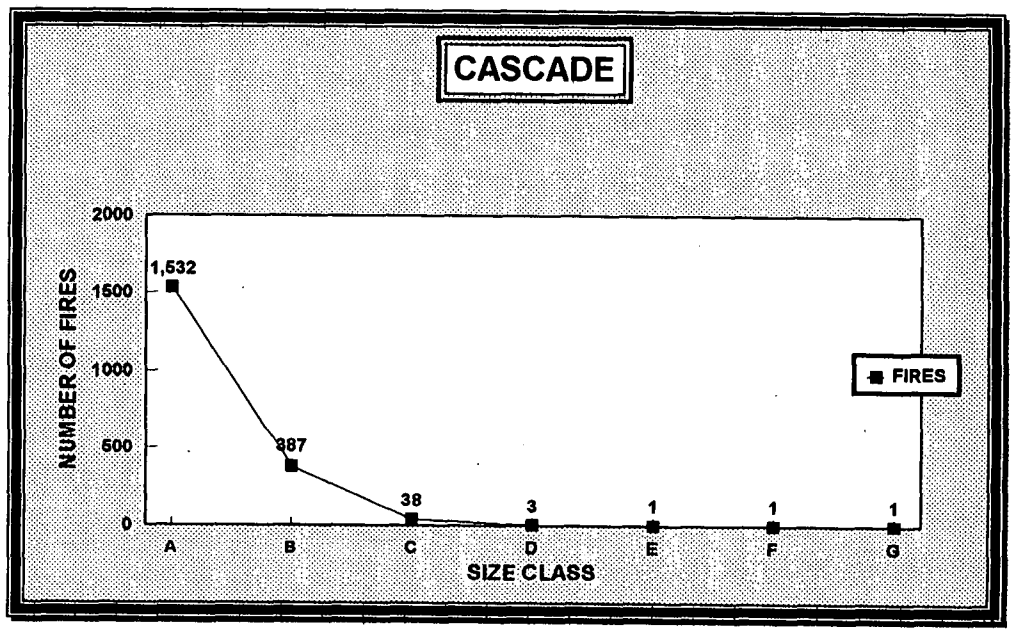

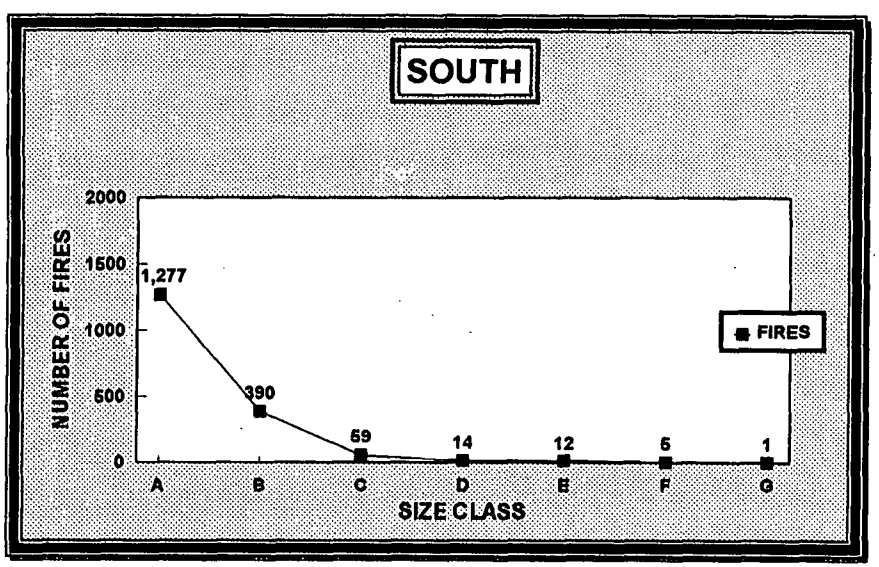

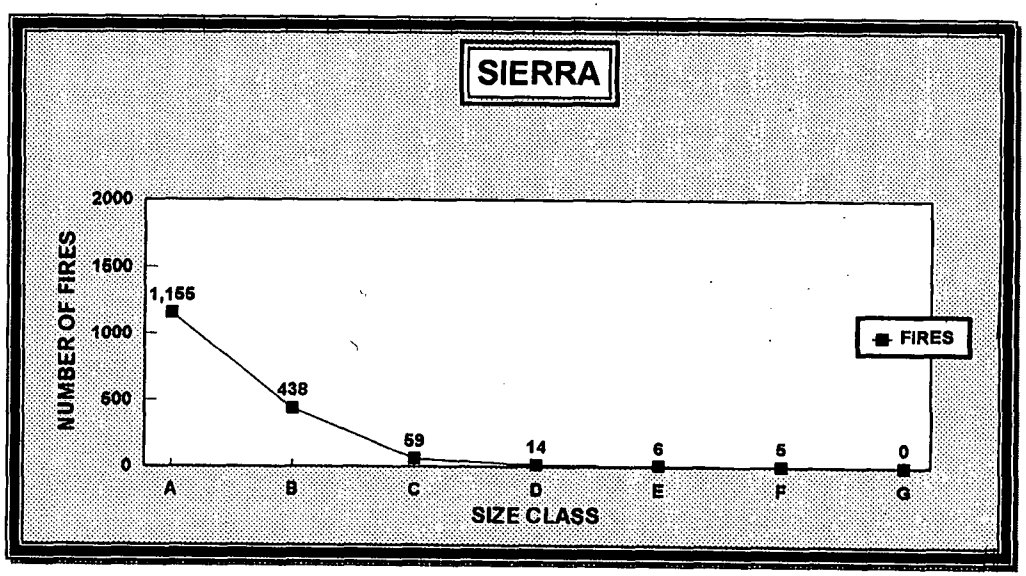

NUMBER OF FIRES - BY SIZE CLASS, BY RANGER UNIT
STATEWIDE

AREA AND RANGER UNIT	TOTAL	A	B	C	D	E	F	G
COAST								
HUMBOLDT - DEL NORTE	271	202	62	6	1	0	0	0
LAKE NAPA	277	175	80	20	1	1	0	0
MENDOCINO	214	142	63	8	1	0	0	0
SAN MATEO - SANTA CRUZ	172	141	30	1	0	0	0	0
SANTA CLARA	300	167	106	22	4	1	0	0
SONOMA	203	140	60	2	1	0	0	0
COAST TOTALS	1,437	967	401	59	8	2	0	0
CASCADE								
BUTTE	337	274	56	6	1	0	0	0
LASSEN - MODOC	166	133	28	4	0	1	0	0
NEVADA - YUBA - PLACER	719	609	101	8	0	0	0	1
SHASTA - TRINITY	400	295	99	5	1	0	0	0
SISKIYOU	162	117	42	3	0	0	0	0
TEHAMA - GLENN	179	104	61	12	1	0	1	0
CASCADE TOTALS	1,963	1,532	387	38	3	1	1	1
SOUTH								
RIVERSIDE	384	285	61	19	2	3	3	1
SAN BERNARDINO	167	124	30	6	3	4	0	0
SAN DIEGO	916	668	214	22	7	3	2	0
SAN LUIS OBISPO	291	190	85	12	2	2	0	0
SOUTH TOTALS	1,758	1,277	390	59	14	12	5	1
SIERRA								
AMADOR - EL DORADO	309	196	106	5	2	0	0	0
FRESNO - KINGS	196	133	51	10	1	0	1	0
MADERA - MARIPOSA	306	230	63	10	2	0	1	0
SAN BENITO - MONTEREY	199	113	66	12	4	2	2	0
TULARE	108	74	25	4	2	2	1	0
TUOLUMNE - CALAVERAS	559	409	127	18	3	2	0	0
SIERRA TOTALS	1,677	1,155	438	59	14	6	5	0
STATEWIDE TOTALS	6,835	4,931	1,616	215	39	21	11	2

FS_STATE.WK4

SIZE CLASS DEFINITIONS

A - .25 ACRE OR LESS
B - .26 ACRE THROUGH 9 ACRES
C - 10 ACRES THROUGH 99 ACRES
D - 100 ACRES THROUGH 299 ACRES
E - 300 ACRES THROUGH 999 ACRES
F - 1000 ACRES THROUGH 4999 ACRES
G - 5000 ACRES AND OVER

California Department of Forestry and Fire Protection - Direct Protection Area
Emergency Activity Report

NUMBER OF FIRES - BY SIZE CLASS, BY COUNTY
COAST AREA

RANGER UNIT / COUNTY	TOTAL	A	B	C	D	E	F	G
HUMBOLDT - DEL NORTE								
HUMBOLDT	218	158	53	6	1	0	0	0
DEL NORTE	53	44	9	0	0	0	0	0
TRINITY	0	0	0	0	0	0	0	0
RANGER UNIT TOTAL	271	202	62	6	1	0	0	0
LAKE NAPA								
LAKE	122	79	38	4	1	0	0	0
NAPA	114	82	25	6	0	0	1	0
COLUSA	6	1	3	2	0	0	0	0
SOLANO	21	7	8	6	0	0	0	0
YOLO	14	6	6	2	0	0	0	0
RANGER UNIT TOTAL	277	175	80	20	1	0	1	0
MENDOCINO								
MENDOCINO	214	142	63	8	1	0	0	0
RANGER UNIT TOTAL	214	63	63	8	1	0	0	0
SAN MATEO - SANTA CRUZ								
SAN MATEO	37	32	5	0	0	0	0	0
SANTA CRUZ	135	109	25	1	0	0	0	0
RANGER UNIT TOTAL	172	0	30	1	0	0	0	0
SANTA CLARA								
SANTA CLARA	120	87	27	5	1	0	0	0
ALAMEDA	98	44	46	7	1	0	0	0
CONTRA COSTA	43	19	19	3	1	1	0	0
SAN JOAQUIN	11	3	4	3	1	0	0	0
STANISLAUS	28	14	10	4	0	0	0	0
RANGER UNIT TOTAL	300	167	108	22	4	1	0	0
SONOMA								
SONOMA	203	140	60	2	1	0	0	0
RANGER UNIT TOTAL	203	140	60	2	1	0	0	0
COAST TOTAL	1,437	747	401	59	8	1	1	0

SIZE CLASS DEFINITIONS

A - .25 ACRE OR LESS
B - .26 ACRE THROUGH 9 ACRES
C - 10 ACRES THROUGH 99 ACRES
D - 100 ACRES THROUGH 299 ACRES
E - 300 ACRES THROUGH 999 ACRES
F - 1000 ACRES THROUGH 4999 ACRES
G - 5000 ACRES AND OVER

FS_RUR01.WK4

NUMBER OF FIRES - BY SIZE CLASS, BY COUNTY
CASCADE AREA

RANGER UNIT / COUNTY	TOTAL	A	B	C	D	E	F	G
BUTTE								
BUTTE	337	274	56	6	1	0	0	0
RANGER UNIT TOTAL	**337**	274	56	6	1	0	0	0
LASSEN - MODOC								
LASSEN	117	96	17	3	0	1	0	0
MODOC	23	15	7	1	0	0	0	0
PLUMAS	26	22	4	0	0	0	0	0
RANGER UNIT TOTAL	**166**	133	28	4	0	1	0	0
NEVADA - YUBA - PLACER								
NEVADA	130	98	30	2	0	0	0	0
YUBA	371	337	31	2	0	0	0	1
PLACER	218	174	40	4	0	0	0	0
SIERRA	0	0	0	0	0	0	0	0
RANGER UNIT TOTAL	**719**	609	101	8	0	0	0	1
SHASTA - TRINITY								
SHASTA	358	268	84	5	1	0	0	0
TRINITY	42	27	15	0	0	0	0	0
RANGER UNIT TOTAL	**400**	295	99	5	1	0	0	0
SISKIYOU								
SISKIYOU	162	118	42	2	0	0	0	0
RANGER UNIT TOTAL	**162**	118	42	2	0	0	0	0
TEHAMA - GLENN								
TEHAMA	169	102	56	9	1	0	1	0
GLENN	10	2	5	3	0	0	0	0
RANGER UNIT TOTAL	**179**	104	61	12	1	0	1	0
CASCADE TOTAL	**1,963**	1,533	387	37	3	1	1	1

SIZE CLASS DEFINITIONS

A - .25 ACRE OR LESS
B - .26 ACRE THROUGH 9 ACRES
C - 10 ACRES THROUGH 99 ACRES
D - 100 ACRES THROUGH 299 ACRES
E - 300 ACRES THROUGH 999 ACRES
F - 1000 ACRES THROUGH 4999 ACRES
G - 5000 ACRES AND OVER

FS_RUR02.WK4

California Department of Forestry and Fire Protection - Direct Protection Area
Emergency Activity Report

NUMBER OF FIRES - BY SIZE CLASS, BY COUNTY
SOUTH AREA

RANGER UNIT / COUNTY	TOTAL	A	B	C	D	E	F	G
RIVERSIDE								
RIVERSIDE	384	295	61	19	2	3	3	1
RANGER UNIT TOTAL	**384**	295	61	19	2	3	3	1
SAN BERNARDINO								
SAN BERNARDINO	145	107	27	6	1	4	0	0
INYO	21	17	2	0	2	0	0	0
MONO	1	0	1	0	0	0	0	0
RANGER UNIT TOTAL	**167**	124	30	6	3	4	0	0
SAN DIEGO								
SAN DIEGO	916	669	213	22	7	3	2	0
IMPERIAL	0	0	0	0	0	0	0	0
RANGER UNIT TOTAL	**916**	669	213	22	7	3	2	0
SAN LUIS OBISPO								
SAN LUIS OBISPO	291	190	85	12	2	2	0	0
RANGER UNIT TOTAL	**291**	190	85	12	2	2	0	0
SOUTH TOTAL	**1,758**	1,278	389	59	14	12	5	1

SIZE CLASS DEFINITIONS

A - .25 ACRE OR LESS
B - .26 ACRE THROUGH 9 ACRES
C - 10 ACRES THROUGH 99 ACRES
D - 100 ACRES THROUGH 299 ACRES
E - 300 ACRES THROUGH 999 ACRES
F - 1000 ACRES TTHROUGH 4999 ACRES
G - 5000 ACRES AND OVER

FS_RUR03.WK4

California Department of Forestry and Fire Protection - Direct Protection Area
Emergency Activity Report

NUMBER OF FIRES - BY SIZE CLASS, BY COUNTY
SIERRA AREA

RANGER UNIT / COUNTY	TOTAL	A	B	C	D	E	F	G
AMADOR - EL DORADO								
AMADOR	90	48	39	3	0	0	0	0
EL DORADO	210	143	64	2	1	0	0	0
SACRAMENTO	2	0	2	0	0	0	0	0
SAN JOAQUIN	7	5	1	0	1	0	0	0
RANGER UNIT TOTAL	309	196	106	5	2	0	0	0
FRESNO - KINGS								
FRESNO	195	132	51	10	1	0	1	0
KINGS	1	1	0	0	0	0	0	0
RANGER UNIT TOTAL	196	133	51	10	1	0	1	0
MADERA - MARIPOSA								
MADERA	174	133	33	6	1	0	1	0
MARIPOSA	86	66	18	2	0	0	0	0
MERCED	46	31	12	2	1	0	0	0
RANGER UNIT TOTAL	306	230	63	10	2	0	1	0
SAN BENITO - MONTEREY								
SAN BENITO	35	22	8	5	0	0	0	0
MONTEREY	164	91	58	7	4	2	2	0
RANGER UNIT TOTAL	199	113	66	12	4	2	2	0
TULARE								
TULARE	108	74	25	4	2	2	1	0
RANGER UNIT TOTAL	108	74	25	4	2	2	1	0
TUOLUMNE - CALAVERAS								
TUOLUMNE	269	212	48	5	3	1	0	0
CALAVERAS	276	188	75	12	0	1	0	0
STANISLAUS	11	8	2	1	0	0	0	0
SAN JOAQUIN	3	1	2	0	0	0	0	0
ALPINE	0	0	0	0	0	0	0	0
RANGER UNIT TOTAL	559	409	127	18	3	2	0	0
SIERRA TOTAL	1,677	1,155	438	59	14	6	5	0

SIZE CLASS DEFINITIONS

A - .25 ACRES OR LESS
B - .26 ACRE THROUGH 9 ACRES
C - 10 ACRES THROUGH 99 ACRES
D - 100 ACRES THROUGH 299 ACRES
E - 300 ACRES THROUGH 999 ACRES
F - 1000 ACRES THROUGH 4999 ACRES
G - 5000 ACRES AND OVER

FS_RUR04.WK4

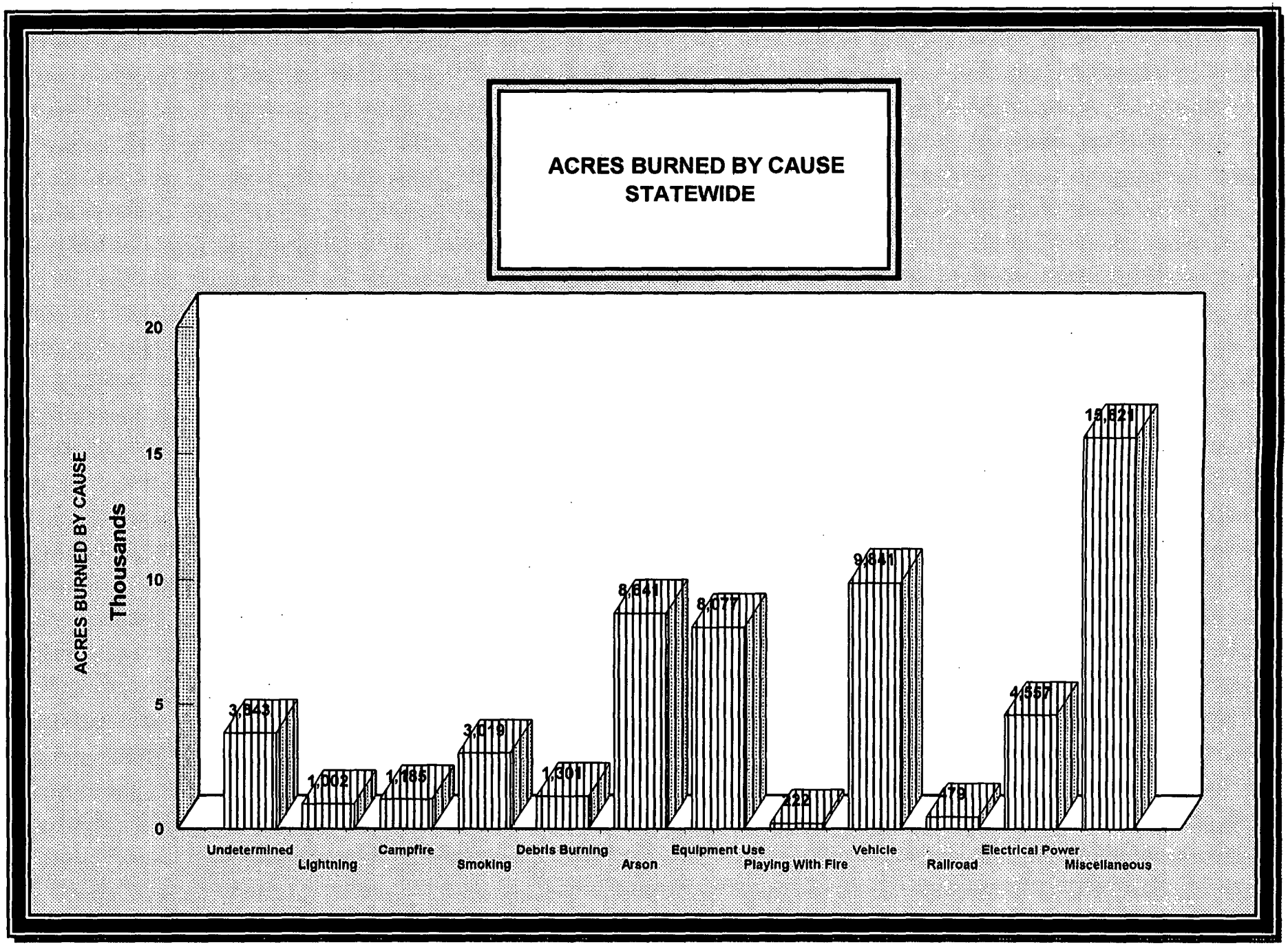
ACRES BURNED BY CAUSE
STATEWIDE
ACRES BURNED BY CAUSE
Thousands
20
15
10
5
0
3,843
1,002
1,185
3,019
1,301
8,841
8,077
220
9,841
179
4,557
15,821
Undetermined
Lightning
Campfire
Smoking
Debris Burning
Arson
Equipment Use
Playing With Fire
Vehicle
Railroad
Electrical Power
Miscellaneous

ACRES BURNED BY CAUSE BY CAUSE BY AREA

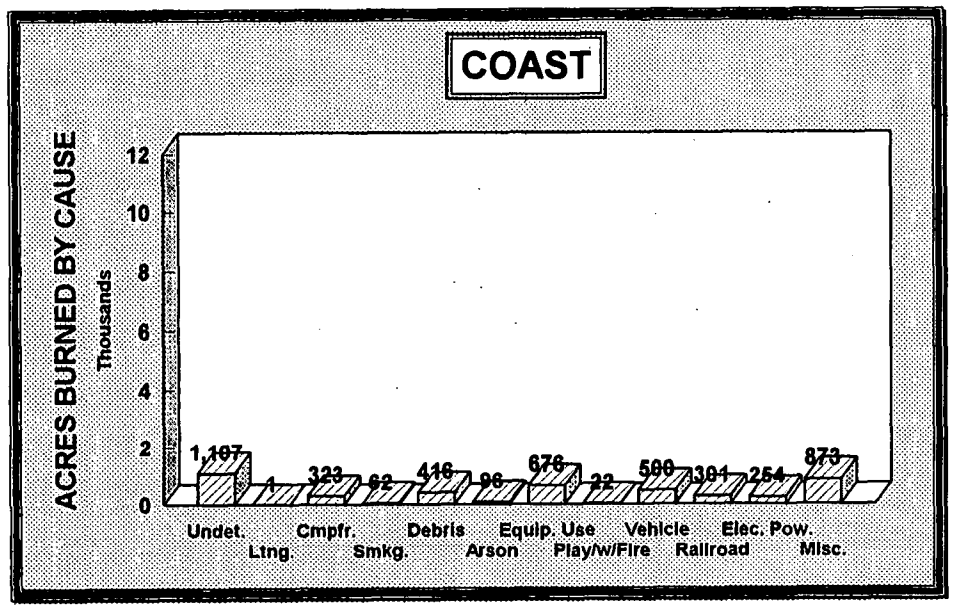

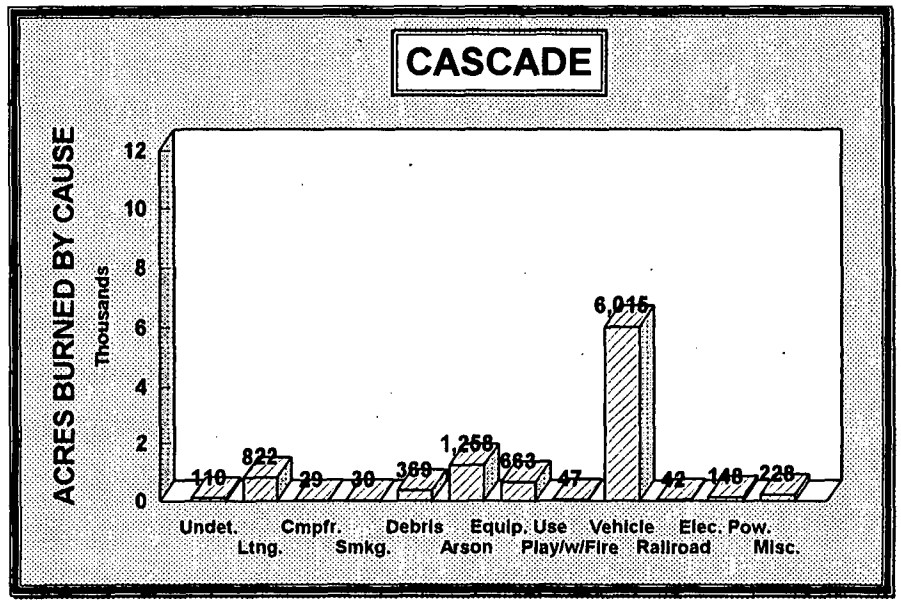

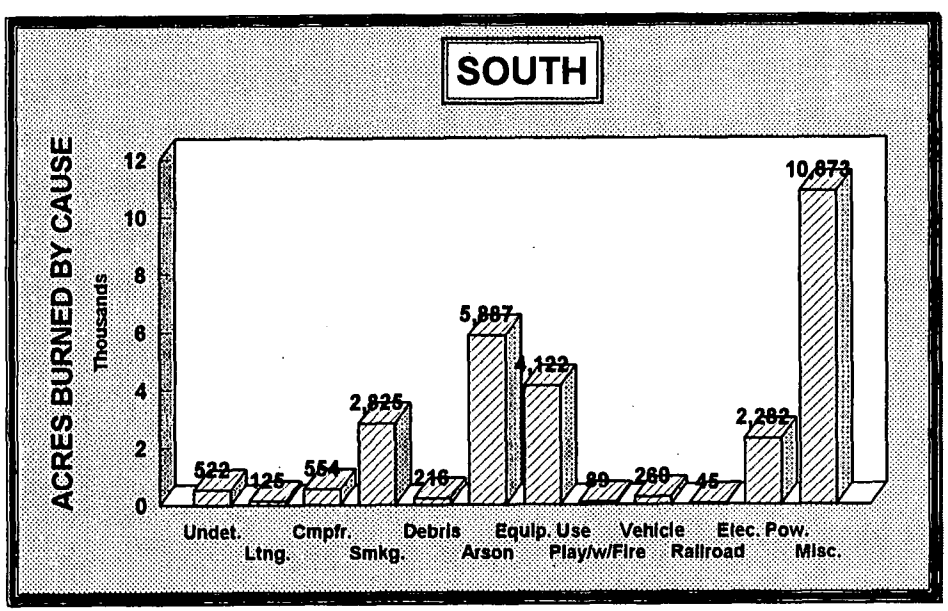

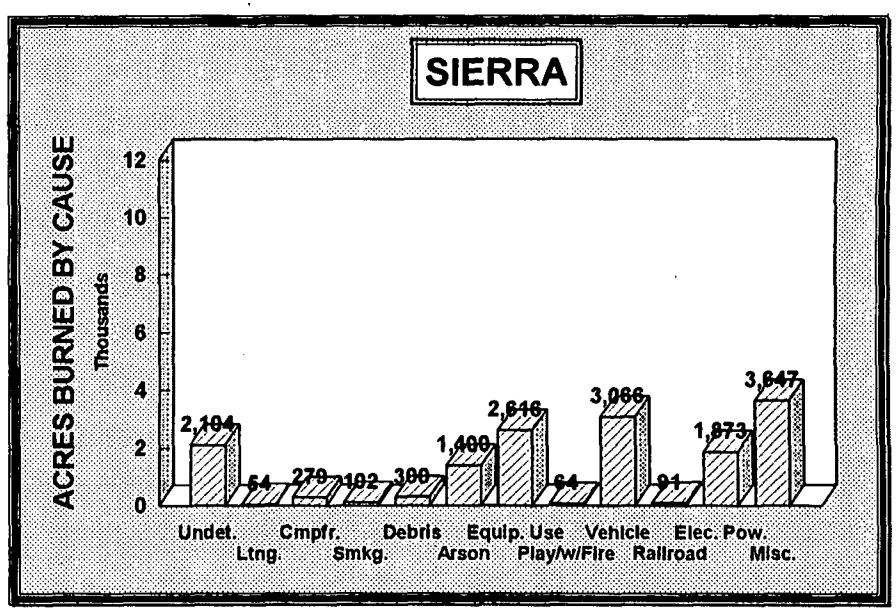

ACRES BURNED - BY CAUSE, BY RANGER UNIT
STATEWIDE

AREA / RANGER UNIT	TOTAL	UNDET.	LTNG.	CAMP-FIRE	SMOKING	DEBRIS BURNING	ARSON	EQUIP. USE	PLAY. W/FIRE	VEHICLE	RAILROAD	ELEC. POWER	MISC.
COAST													
HUMBOLDT - DEL NORTE	**508**	262	0	2	2	72	20	51	1	10	0	1	87
LAKE NAPA	**1,291**	232	1	318	0	165	41	170	4	15	100	80	165
MENDOCINO	**513**	28	0	1	1	141	2	121	16	21	154	10	18
SAN MATEO - SANTA CRUZ	**83**	7	0	1	1	5	1	27	1	1	0	5	34
SANTA CLARA	**1,952**	528	0	0	57	9	9	281	0	447	47	20	554
SONOMA	**284**	50	0	1	1	24	23	26	0	6	0	138	15
COAST TOTAL	**4,631**	1,107	1	323	62	416	96	676	22	500	301	254	873
CASCADE													
BUTTE	**400**	8	6	2	2	36	11	117	6	8	7	127	70
LASSEN - MODOC	**848**	4	781	1	0	28	0	15	0	17	0	0	2
NEVADA - YUBA - PLACER	**6,153**	13	2	4	1	46	7	90	2	5,864	0	1	123
SHASTA - TRINITY	**420**	8	9	1	20	169	76	21	23	83	0	3	7
SISKIYOU	**120**	1	19	1	2	12	0	29	12	0	35	7	2
TEHAMA - GLENN	**1,820**	76	5	20	5	78	1,164	391	4	43	0	10	24
CASCADE TOTAL	**9,761**	110	822	29	30	369	1,258	663	47	6,015	42	148	228
SOUTH													
RIVERSIDE	**16,991**	86	19	5	2,511	3	1,894	1,832	81	17	0	31	10,512
SAN BERNARDINO	**3,200**	22	2	3	4	130	538	1,241	4	10	0	1,071	175
SAN DIEGO	**6,101**	318	78	170	3	14	3,451	499	1	176	40	1,173	178
SAN LUIS OBISPO	**1,508**	96	26	376	307	69	4	550	3	57	5	7	8
SOUTH TOTAL	**27,800**	522	125	554	2,825	216	5,887	4,122	89	260	45	2,282	10,873
SIERRA													
AMADOR - EL DORADO	**786**	39	2	6	5	40	109	254	5	5	0	8	313
FRESNO - KINGS	**1,661**	21	16	0	0	14	30	311	3	6	0	1,242	18
MADERA - MARIPOSA	**1,985**	29	1	218	15	24	86	296	2	6	0	12	1,296
SAN BENITO - MONTEREY	**5,011**	1,929	27	50	0	21	1	501	5	456	0	55	1,966
TULARE	**3,753**	1	5	0	60	1	96	640	1	2,427	0	509	13
TUOLUMNE - CALAVERAS	**2,400**	85	3	5	22	200	1,078	614	48	166	91	47	41
SIERRA TOTAL	**15,596**	2,104	54	279	102	300	1,400	2,616	64	3,066	91	1,873	3,647
STATEWIDE TOTALS	**57,788**	3,843	1,002	1,185	3,019	1,301	8,641	8,077	222	9,841	479	4,557	15,621

California Department of Forestry and Fire Protection - Direct Protection Area
Emergency Activity Report

AC_STATE.WK4

ACRES BURNED - BY CAUSE, BY COUNTY
COAST AREA

RANGER UNIT COUNTY	TOTAL	UNDET.	LTNG.	CAMP-FIRE	SMOKING	DEBRIS BURNING	ARSON	EQUIP. USE	PLAY. W/FIRE	VEHICLE	RAILROAD	ELEC. POWER	MISC.
HUMBOLDT - DEL NORTE													
HUMBOLDT	493	259	0	0	2	72	20	50	1	3	0	1	85
DEL NORTE	15	3	0	2	0	0	0	1	0	7	0	0	2
TRINITY	0	0	0	0	0	0	0	0	0	0	0	0	0
RANGER UNIT TOTAL	**508**	262	0	2	2	72	20	51	1	10	0	1	87
LAKE NAPA													
LAKE	334	106	1	3	0	148	30	20	4	8	0	2	12
NAPA	536	1	0	310	0	2	8	41	0	2	100	29	43
COLUSA	39	0	0	0	0	11	0	28	0	0	0	0	0
SOLANO	264	80	0	5	0	0	3	13	0	4	0	49	110
YOLO	118	45	0	0	0	4	0	68	0	1	0	0	0
RANGER UNIT TOTAL	**1,291**	232	1	318	0	165	41	170	4	15	100	80	165
MENDOCINO													
MENDOCINO	513	28	0	1	1	141	2	121	16	21	154	10	18
RANGER UNIT TOTAL	**513**	28	0	1	1	141	2	121	16	21	154	10	18
SAN MATEO - SANTA CRUZ													
SAN MATEO	17	7	0	0	0	0	0	0	0	0	0	2	8
SANTA CRUZ	66	1	0	1	1	5	1	26	1	1	0	3	26
RANGER UNIT TOTAL	**83**	8	0	1	1	5	1	26	1	1	0	5	34
SANTA CLARA													
SANTA CLARA	329	28	0	0	1	2	0	19	0	137	15	3	124
ALAMEDA	480	19	0	0	2	0	8	77	0	208	32	16	118
CONTRA COSTA	736	479	0	0	0	7	1	38	0	0	0	1	210
SAN JOAQUIN	276	2	0	0	44	0	0	128	0	1	0	0	101
STANISLAUS	131	0	0	0	10	0	0	19	0	101	0	0	1
RANGER UNIT TOTAL	**1,952**	528	0	0	57	9	9	281	0	447	47	20	554
SONOMA													
SONOMA	284	50	0	1	1	24	23	26	0	6	0	138	15
RANGER UNIT TOTAL	**284**	50	0	1	1	24	23	26	0	6	0	138	15
COAST TOTAL	**4,631**	1,108	1	323	62	416	96	675	22	500	301	254	873

ACRES BURNED - BY CAUSE, BY COUNTY
CASCADE AREA

RANGER UNIT COUNTY	TOTAL	UNDET.	LTNG.	CAMP-FIRE	SMOKING	DEBRIS BURNING	ARSON	EQUIP. USE	PLAY. W/FIRE	VEHICLE	RAILROAD	ELEC. POWER	MISC.
BUTTE													
BUTTE	400	8	6	2	2	36	11	117	6	8	7	127	70
RANGER UNIT TOTAL	**400**	8	6	2	2	36	11	117	6	8	7	127	70
LASSEN-MODOC													
LASSEN	812	1	751	0	0	28	0	15	0	16	0	0	1
MODOC	32	4	27	0	0	0	0	0	0	1	0	0	0
PLUMAS	4	0	3	1	0	0	0	0	0	0	0	0	0
RANGER UNIT TOTAL	**848**	5	781	1	0	28	0	15	0	17	0	0	1
NEVADA-YUBA-PLACER													
NEVADA	93	2	0	0	1	25	2	7	0	46	0	0	10
YUBA	5,933	8	2	1	0	13	3	36	1	5,816	0	0	53
PLACER	127	3	0	2	0	9	2	47	1	2	0	1	60
SIERRA	0	0	0	0	0	0	0	0	0	0	0	0	0
RANGER UNIT TOTAL	**6,153**	13	2	3	1	47	7	90	2	5,864	0	1	123
SHASTA-TRINITY													
SHASTA	406	6	8	1	20	167	76	17	20	83	0	2	6
TRINITY	14	0	1	0	0	2	1	4	4	0	0	1	1
RANGER UNIT TOTAL	**420**	6	9	1	20	169	77	21	24	83	0	3	7
SISKIYOU													
SISKIYOU	120	1	19	1	2	12	0	29	12	0	35	7	2
RANGER UNIT TOTAL	**120**	1	19	1	2	12	0	29	12	0	35	7	2
TEHEMA-GLENN													
TEHEMA	1,721	51	4	20	5	78	1,164	323	4	38	0	10	24
GLENN	99	25	1	0	0	0	0	68	0	5	0	0	0
RANGER UNIT TOTAL	**1,820**	76	5	20	5	78	1,164	391	4	43	0	10	24
CASCADE TOTAL	**9,761**	109	822	28	30	370	1,259	663	48	6,015	42	148	227

California Department of Forestry and Fire Protection - Direct Protection Area
Emergency Activity Report

AC_RUR02.WK4

ACRES BURNED - BY CAUSE, BY COUNTY
SOUTH AREA

RANGER UNIT COUNTY	TOTAL	UNDET.	LTNG.	CAMP-FIRE	SMOKING	DEBRIS BURNING	ARSON	EQUIP. USE	PLAY. W/FIRE	VEHICLE	RAILROAD	ELEC. POWER	MISC.
RIVERSIDE													
RIVERSIDE	16,991	86	19	5	2,511	3	1,894	1,832	81	17	0	31	10,512
RANGER UNIT TOTAL	**16,991**	86	19	5	2,511	3	1,894	1,832	81	17	0	31	10,512
SAN BERNARDINO													
SAN BERNARDINO	2,898	22	2	0	4	4	538	1,240	4	8	0	1,071	5
INYO	300	0	0	3	0	126	0	1	0	0	0	0	170
MONO	2	0	0	0	0	0	0	0	0	2	0	0	0
RANGER UNIT TOTAL	**3,200**	22	2	3	4	130	538	1,241	4	10	0	1,071	175
SAN DIEGO													
SAN DIEGO	6,101	318	78	170	3	14	3,451	499	1	176	40	1,173	178
IMPERIAL	0	0	0	0	0	0	0	0	0	0	0	0	0
RANGER UNIT TOTAL	**6,101**	318	78	170	3	14	3,451	499	1	176	40	1,173	178
SAN LUIS OBISPO													
SAN LUIS OBISPO	1,508	96	26	376	307	69	4	550	3	57	5	7	8
RANGER UNIT TOTAL	**1,508**	96	26	376	307	69	4	550	3	57	5	7	8
SOUTH TOTAL	**27,800**	**522**	**125**	**554**	**2,825**	**216**	**5,887**	**4,122**	**89**	**260**	**45**	**2,282**	**10,873**

California Department of Forestry and Fire Protection - Direct Protection Area
Emergency Activity Report

AC_RUR03.WK4

ACRES BURNED - BY CAUSE, BY COUNTY
SIERRA AREA

RANGER UNIT COUNTY	TOTAL	UNDET.	LTNG.	CAMP-FIRE	SMOKING	DEBRIS BURNING	ARSON	EQUIP. USE	PLAY. W/FIRE	VEHICLE	RAILROAD	ELEC. POWER	MISC.
AMADOR - EL DORADO													
AMADOR	203	10	0	2	1	19	108	55	0	1	0	0	7
EL DORADO	461	29	2	4	4	21	1	78	5	4	0	8	305
SACRAMENTO	1	0	0	0	0	0	0	1	0	0	0	0	0
SAN JOAQUIN	121							120					1
RANGER UNIT TOTAL	**786**	39	2	6	5	40	109	254	5	5	0	8	313
FRESNO - KINGS													
FRESNO	1,661	21	16	0	0	14	30	311	3	6	0	1,242	18
KINGS	0	0	0	0	0	0	0	0	0	0	0	0	0
RANGER UNIT TOTAL	**1,661**	21	16	0	0	14	30	311	3	6	0	1,242	18
MADERA - MARIPOSA													
MADERA	1,639	2	0	218	12	7	76	76	0	5	0	0	1,243
MARIPOSA	58	25	1	0	0	17	0	13	0	0	0	1	1
MERCED	288	2	0	0	3	0	10	207	2	1	0	11	52
RANGER UNIT TOTAL	**1,985**	29	1	218	15	24	86	296	2	6	0	12	1,296
SAN BENITO - MONTEREY													
SAN BENITO	129	27	0	0	0	1	0	72	0	0	0	0	29
MONTEREY	4,882	1,902	27	50	0	20	1	429	5	456	0	55	1,937
RANGER UNIT TOTAL	**5,011**	1,929	27	50	0	21	1	501	5	456	0	55	1,966
TULARE													
TULARE	3,753	1	5	0	60	1	96	640	1	2,427	0	509	13
RANGER UNIT TOTAL	**3,753**	1	5	0	60	1	96	640	1	2,427	0	509	13
TUOLUMNE - CALAVERAS													
TUOLUMNE	1,463	26	0	0	0	17	1,005	135	40	113	91	20	16
CALAVERAS	913	56	3	5	21	184	74	479	8	31	0	27	25
STANISLAUS	22	0	0	0	0	0	0	0	0	22	0	0	0
SAN JOAQUIN	2	2	0	0	0	0	0	0	0	0	0	0	0
ALPINE	0												
RANGER UNIT TOTAL	**2,400**	84	3	5	21	201	1,079	614	48	166	91	47	41
SIERRA TOTAL	**15,596**	2,103	54	279	101	301	1,401	2,616	64	3,066	91	1,873	3,647

California Department of Forestry and Fire Protection - Direct Protection Area
Emergency Activity Reporting System

AC_RUR04.WK4

ACRES BURNED BY SIZE CLASS

STATEWIDE SUMMARY

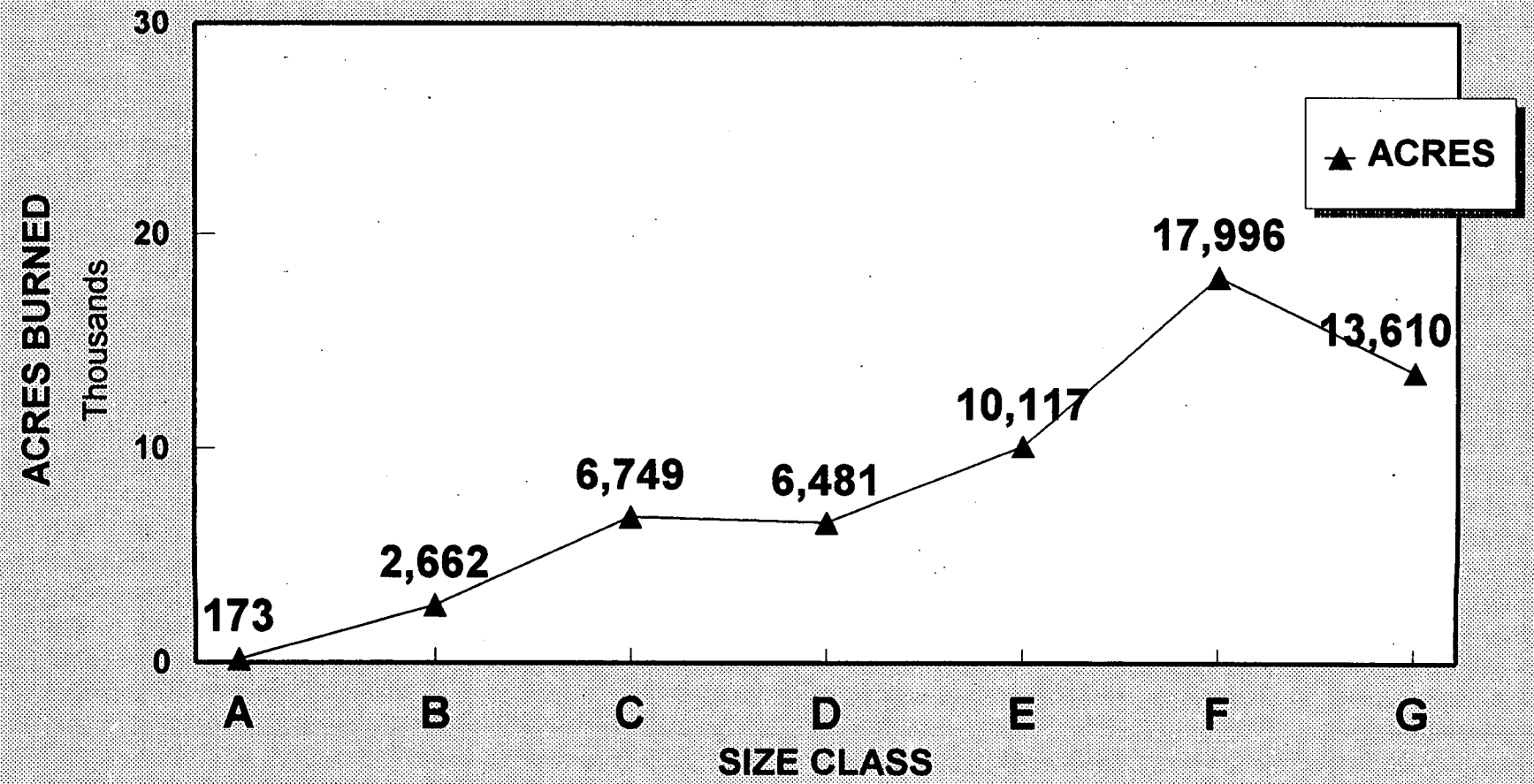

ACRES BURNED BY SIZE CLASS BY AREA

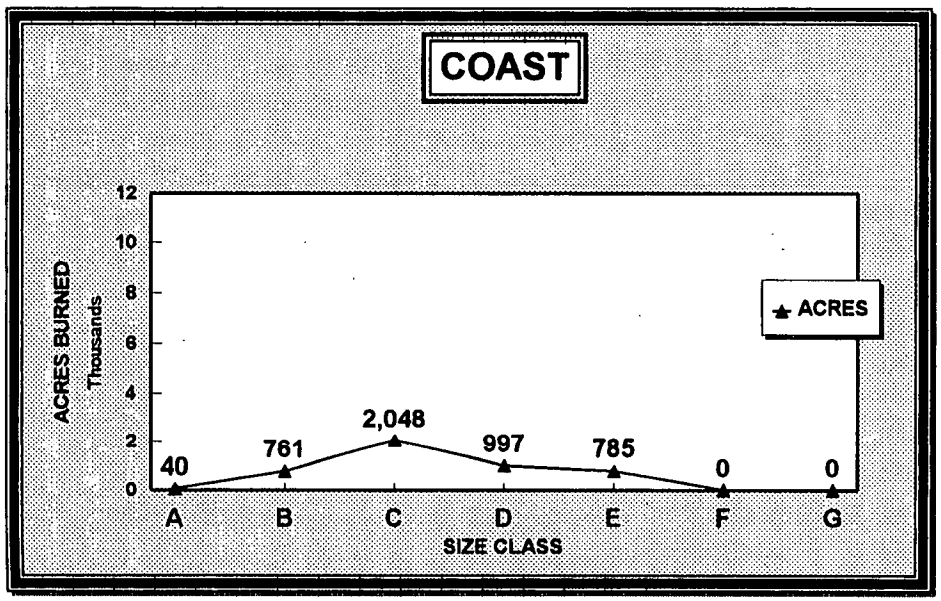

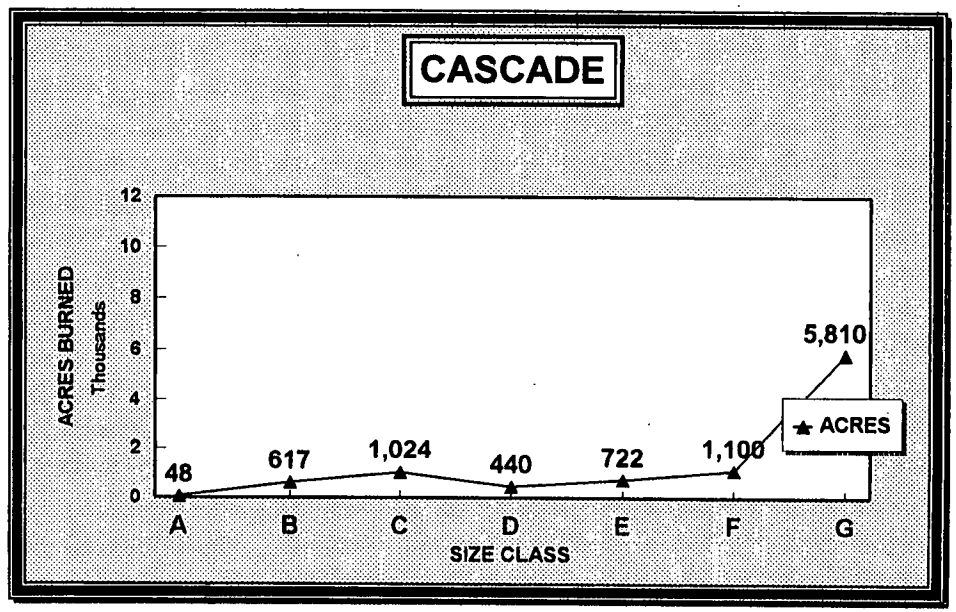

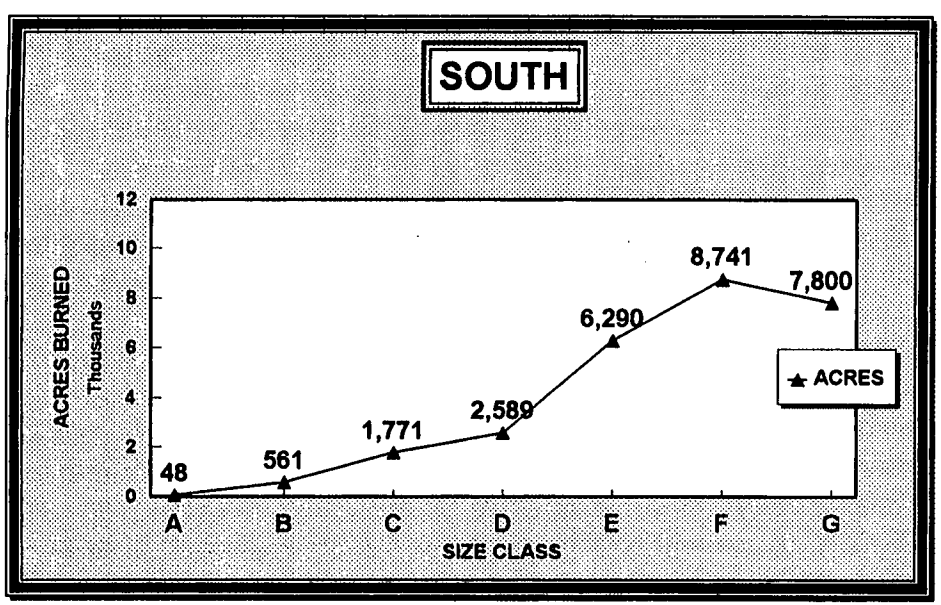

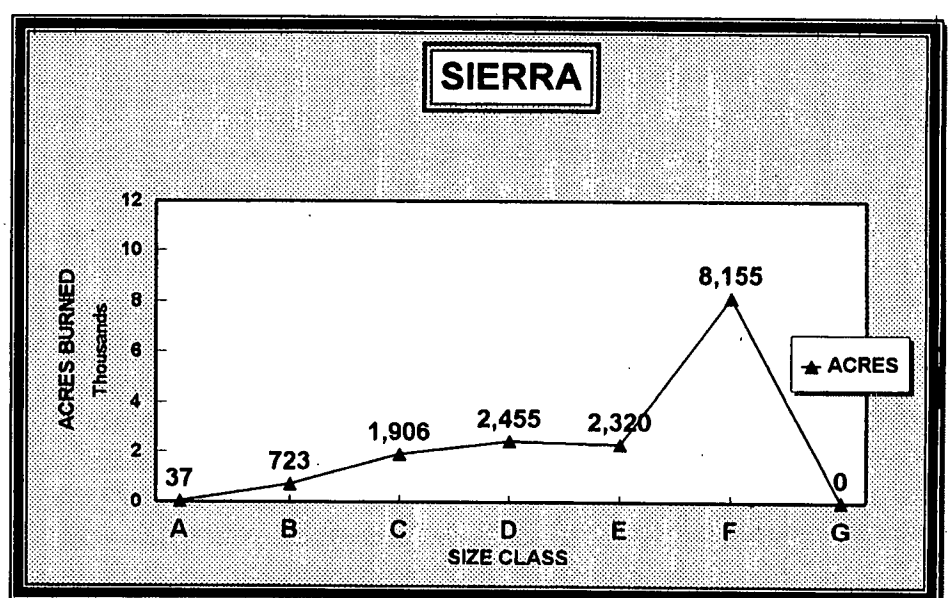

California Department of Forestry and Fire Protection - Direct Protection Area
Emergency Activity Report

ACRES BURNED - BY FIRE SIZE, BY RANGER UNIT
STATEWIDE

REGION	RANGER UNIT	TOTAL	FIRE SIZE A	B	C	D	E	F	G
COAST									
	HUMBOLDT - DEL NORTE	508	11	123	244	130	0	0	0
	LAKE NAPA	1,292	5	155	692	130	310	0	0
	MENDOCINO	513	7	89	316	101	0	0	0
	SAN MATEO - SANTA CRUZ	83	7	51	25	0	0	0	0
	SANTA CLARA	1,951	3	232	735	506	475	0	0
	SONOMA	284	7	111	36	130	0	0	0
COAST TOTAL		4,631	40	761	2,048	997	785	0	0
CASCADE									
	BUTTE	400	7	131	162	100	0	0	0
	LASSEN - MODOC	848	8	49	69	0	722	0	0
	NEVADA - YUBA - PLACER	6,153	15	121	207	0	0	0	5,810
	SHASTA - TRINITY	420	10	146	124	140	0	0	0
	SISKIYOU	120	5	56	59	0	0	0	0
	TEHAMA - GLENN	1,820	3	114	403	200	0	1,100	0
CASCADE TOTAL		9,761	48	617	1,024	440	722	1,100	5,810
SOUTH									
	RIVERSIDE	16,991	5	127	502	500	1,657	6,400	7,800
	SAN BERNARDINO	3,200	5	68	240	419	2,468	0	0
	SAN DIEGO	6,101	31	231	763	1,245	1,490	2,341	0
	SAN LUIS OBISPO	1,508	7	135	266	425	675	0	0
SOUTH TOTAL		27,800	48	561	1,771	2,589	6,290	8,741	7,800
SIERRA									
	AMADOR - EL DORADO	786	12	162	196	416	0	0	0
	FRESNO - KINGS	1,661	4	103	194	125	0	1,235	0
	MADERA - MARIPOSA	1,985	3	91	285	406	0	1,200	0
	SAN BENITO - MONTEREY	5,011	6	117	382	606	600	3,300	0
	TULARE	3,753	1	45	165	302	820	2,420	0
	TUOLUMNE - CALAVERAS	2,400	11	205	684	600	900	0	0
SIERRA TOTAL		15,596	37	723	1,906	2,455	2,320	8,155	0
STATEWIDE TOTALS		57,788	173	2,662	6,749	6,481	10,117	17,996	13,610

SIZE CLASS DEFINITIONS

A - .25 ACRE OR LESS
B - .26 ACRE THROUGH 9 ACRES
C - 10 ACRES THROUGH 99 ACRES
D - 100 ACRES THROUGH 299 ACRES
E - 300 ACRES THROUGH 999 ACRES
F - 1000 ACRES THROUGH 4999 ACRES
G - 5000 ACRES AND OVER

ADAM_STA.WK4

ACRES BURNED - BY FIRE SIZE, BY COUNTY
COAST AREA

RANGER UNIT / COUNTY	TOTAL	A	B	C	D	E	F	G
HUMBOLDT - DEL NORTE								
HUMBOLDT	493	8	111	244	130	0	0	0
DEL NORTE	15	3	12	0	0	0	0	0
TRINITY	0							
RANGER UNIT TOTAL	508	11	123	244	130	0	0	0
LAKE NAPA								
LAKE	334	2	67	135	130	0	0	0
NAPA	537	3	42	182	0	310	0	0
COLUSA	39	0	9	30	0	0	0	0
SOLANO	264	0	24	240	0	0	0	0
YOLO	118	0	13	105	0	0	0	0
RANGER UNIT TOTAL	1,292	5	155	692	130	310	0	0
MENDOCINO								
MENDOCINO	513	7	89	316	101	0	0	0
RANGER UNIT TOTAL	513	7	89	316	101	0	0	0
SAN MATEO - SANTA CRUZ								
SAN MATEO	17	1	16	0	0	0	0	0
SANTA CRUZ	66	6	35	25				
RANGER UNIT TOTAL	83	7	51	25	0	0	0	0
SANTA CLARA								
SANTA CLARA	329	1	49	162	117	0	0	0
ALAMEDA	481	1	117	250	113	0	0	0
CONTRA COSTA	736	1	44	41	175	475	0	0
SAN JOAQUIN	275	0	7	167	101	0	0	0
STANISLAUS	130	0	15	115	0	0	0	0
RANGER UNIT TOTAL	1,951	3	232	735	506	475	0	0
SONOMA								
SONOMA	284	7	111	36	130	0	0	0
RANGER UNIT TOTAL	284	7	111	36	130	0	0	0
COAST TOTAL	4,631	40	761	2,048	997	785	0	0

SIZE CLASS DEFINITIONS

A - .25 ACRE OR LESS
B - .26 ACRE THROUGH 9 ACRES
C - 10 ACRES THROUGH 99 ACRES
D - 100 ACRES THROUGH 299 ACRES
E - 300 ACRES THROUGH 999 ACRES
F - 1000 ACRES THROUGH 4999 ACRES
G - 5000 ACRES AND OVER

ADAM_R01.WK4

ACRES BURNED - BY FIRE SIZE BY COUNTY
CASCADE AREA

RANGER UNIT / COUNTY	TOTAL	A	B	C	D	E	F	G
BUTTE								
BUTTE	400	7	131	162	100	0	0	0
RANGER UNIT TOTAL	**400**	7	131	162	100	0	0	0
LASSEN - MODOC								
LASSEN	812	6	33	51	0	722	0	0
MODOC	32	1	13	18	0	0	0	0
PLUMAS	4	1	3	0	0	0	0	0
RANGER UNIT TOTAL	**848**	8	49	69	0	722	0	0
NEVADA - YUBA - PLACER								
NEVADA	93	5	33	55	0	0	0	0
YUBA	5,933	2	41	80	0	0	0	5,810
PLACER	127	8	47	72	0	0	0	0
SIERRA	0	0	0	0	0	0	0	0
RANGER UNIT TOTAL	**6,153**	15	121	207	0	0	0	5,810
SHASTA - TRINITY								
SHASTA	406	9	133	124	140	0	0	0
TRINITY	14	1	13	0	0	0	0	0
RANGER UNIT TOTAL	**420**	10	146	124	140	0	0	0
SISKIYOU								
SISKIYOU	120	5	56	59	0	0	0	0
RANGER UNIT TOTAL	**120**	5	56	59	0	0	0	0
TEHAMA - GLENN								
TEHAMA	1,721	3	101	317	200	0	1,100	0
GLENN	99	0	13	86	0	0	0	0
RANGER UNIT TOTAL	**1,820**	3	114	403	200	0	1,100	0
CASCADE TOTAL	**9,761**	48	617	1,024	440	722	1,100	5,810

SIZE CLASS DEFINITIONS

A - .25 ACRE OR LESS
B - .26 ACRE THROUGH 9 ACRES
C - 10 ACRES THROUGH 99 ACRES
D - 100 ACRES THROUGH 299 ACRES
E - 300 ACRES THROUGH 999 ACRES
F - 1000 ACRES THROUGH 4999 ACRES
G - 5000 ACRES AND OVER

ADAM_R02.WK4

ACRES BURNED - BY FIRE SIZE, BY COUNTY
SOUTH AREA

RANGER UNIT / COUNTY	TOTAL	A	B	C	D	E	F	G
RIVERSIDE								
RIVERSIDE	16,991	5	127	502	500	1,657	6,400	7,800
RANGER UNIT TOTAL	**16,991**	5	127	502	500	1,657	6,400	7,800
SAN BERNARDINO								
SAN BERNARDINO	2,899	4	62	240	125	2,468	0	0
INYO	299	1	4	0	294	0	0	0
MONO	2	0	2	0	0	0	0	0
RANGER UNIT TOTAL	**3,200**	5	68	240	419	2,468	0	0
SAN DIEGO								
SAN DIEGO	6,101	31	231	763	1,245	1,490	2,341	0
IMPERIAL	0	0	0	0	0	0	0	0
RANGER UNIT TOTAL	**6,101**	31	231	763	1,245	1,490	2,341	0
SAN LUIS OBISPO								
SAN LUIS OBISPO	1,508	7	135	266	425	675	0	0
RANGER UNIT TOTAL	**1,508**	7	135	266	425	675	0	0
SOUTH TOTAL	**27,800**	48	561	1,771	2,589	6,290	8,741	7,800

SIZE CLASS DEFINITIONS

A - .25 ACRE OR LESS
B - .26 ACRE THROUGH 9 ACRES
C - 10 ACRES THROUGH 99 ACRES
D - 100 ACRES THROUGH 299 ACRES
E - 300 ACRES THROUGH 999 ACRES
F - 1000 ACRES THROUGH 4999 ACRES
G - 5000 ACRES AND OVER

ADAM_R03.WK4

California Department of Forestry and Fire Protection - Direct Protection Area
Emergency Activity Report

ACRES BURNED - BY FIRE SIZE, BY COUNTY
SIERRA AREA

RANGER UNIT / COUNTY	TOTAL	A	B	C	D	E	F	G
AMADOR - EL DORADO								
AMADOR	203	3	72	128	0	0	0	0
EL DORADO	461	9	89	68	295	0	0	0
SACRAMENTO	1	0	1	0	0	0	0	0
SAN JOAQUIN	121	0	0	0	121	0	0	0
RANGER UNIT TOTAL	**786**	12	162	196	416	0	0	0
FRESNO - KINGS								
FRESNO	1,661	4	103	194	125	0	1,235	0
KINGS	0	0	0	0	0	0	0	0
RANGER UNIT TOTAL	**1,661**	4	103	194	125	0	1,235	0
MADERA - MARIPOSA								
MADERA	1,639	1	41	197	200	0	1,200	0
MARIPOSA	58	1	25	32	0	0	0	0
MERCED	288	1	25	56	206	0	0	0
RANGER UNIT TOTAL	**1,985**	3	91	285	406	0	1,200	0
SAN BENITO - MONTEREY								
SAN BENITO	129	1	14	114	0	0	0	0
MONTEREY	4,882	5	103	268	606	600	3,300	0
RANGER UNIT TOTAL	**5,011**	6	117	382	606	600	3,300	0
TULARE								
TULARE	3,753	1	45	165	302	820	2,420	0
RANGER UNIT TOTAL	**3,753**	1	45	165	302	820	2,420	0
TUOLUMNE - CALAVERAS								
TUOLUMNE	1,463	4	94	265	600	500	0	0
CALAVERAS	913	6	107	400	0	400	0	0
STANISLAUS	22	1	2	19	0	0	0	0
SAN JOAQUIN	2	0	2	0	0	0	0	0
ALPINE	0	0	0	0	0	0	0	0
RANGER UNIT TOTAL	**2,400**	11	205	684	600	900	0	0
SIERRA TOTAL	**15,596**	37	723	1,906	2,455	2,320	8,155	0

SIZE CLASS DEFINITIONS

A - .25 ACRE OR LESS
B - .26 ACRE THROUGH 9 ACRES
C - 10 ACRES THROUGH 99 ACRES
D - 100 ACRES THROUGH 299 ACRES
E - 300 ACRES THROUGH 999 ACRES
F - 1000 ACRES THROUGH 4999 ACRES
G - 5000 ACRES AND OVER

ADAM_R04.WK4

ACRES BURNED BY VEGETATION TYPE

STATEWIDE SUMMARY

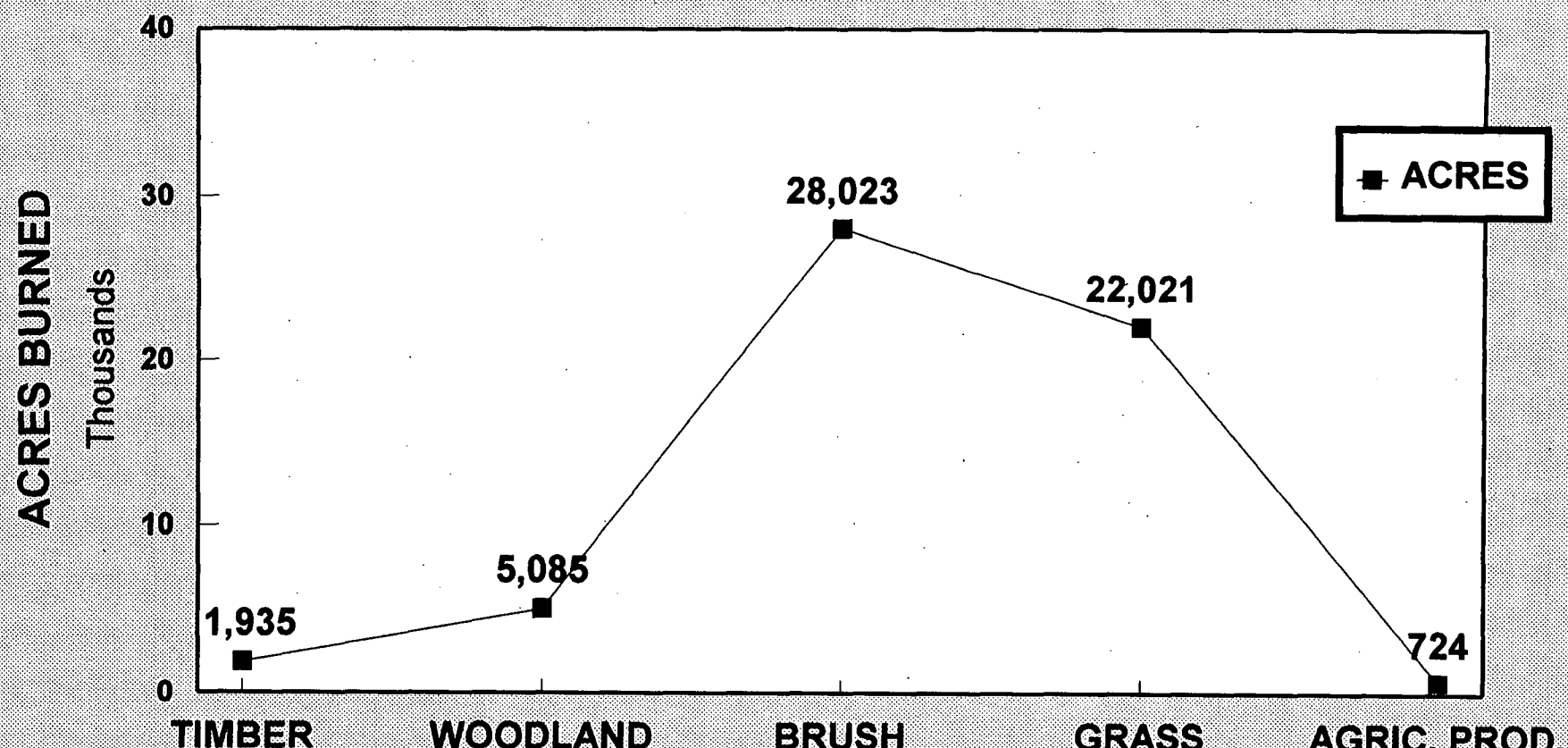

ACRES BURNED BY VEGETATION TYPE BY AREA

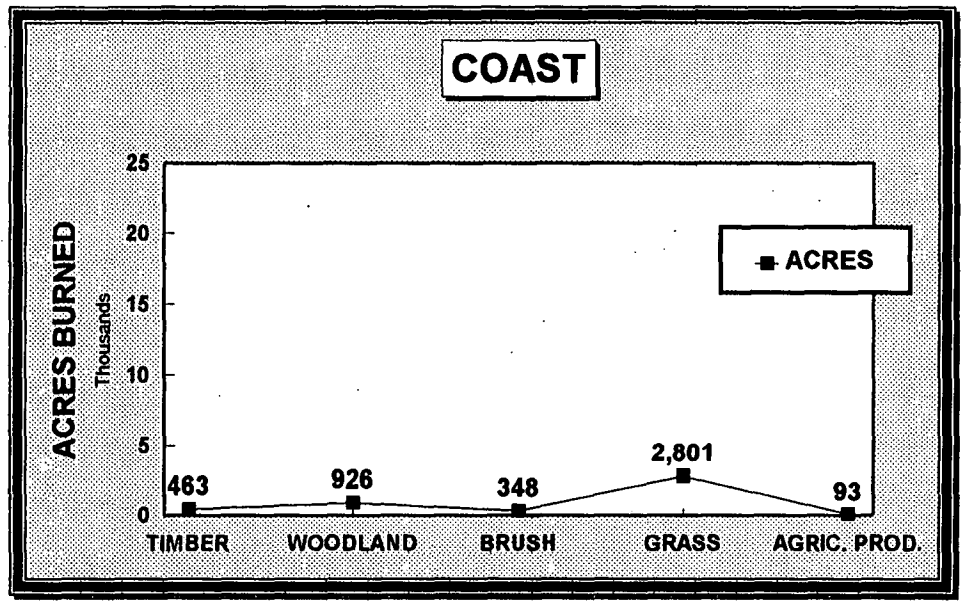

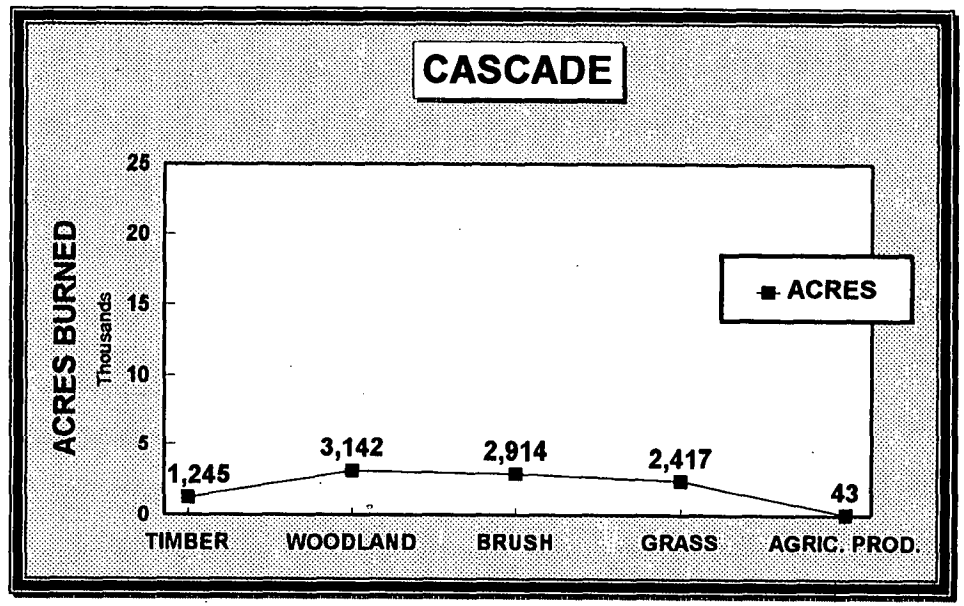

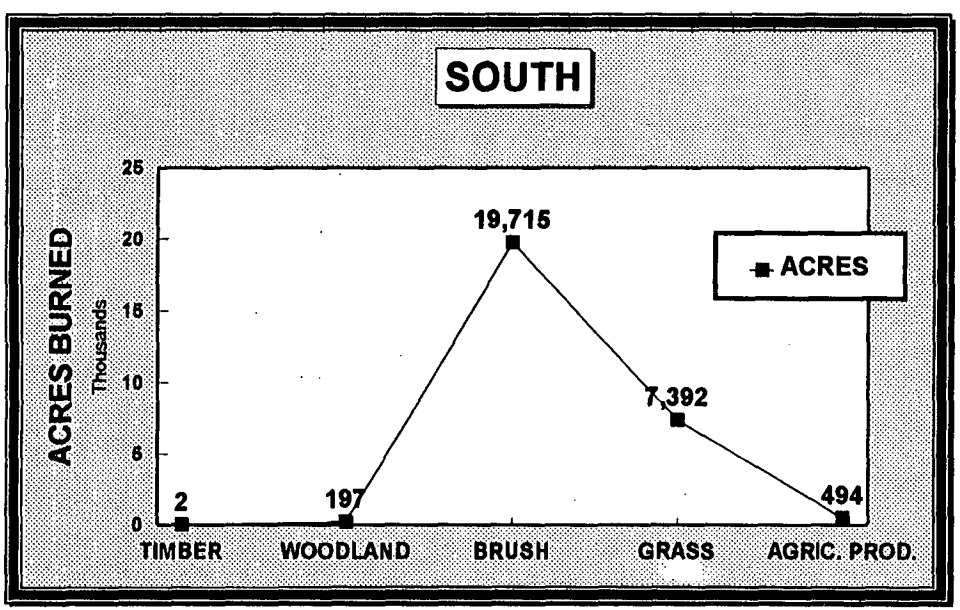

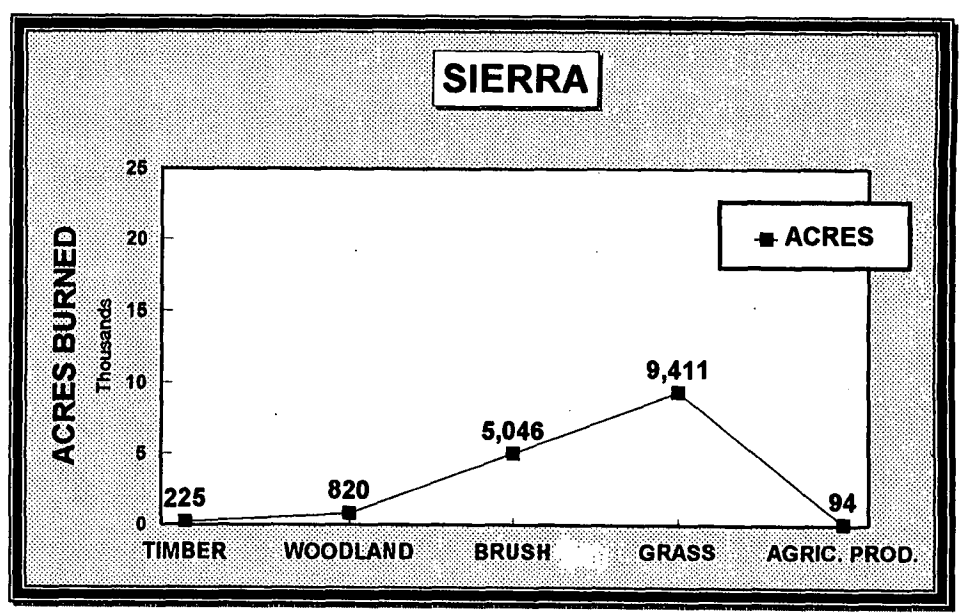

ACRES BURNED - BY VEGETATION TYPE, BY RANGER UNIT
STATEWIDE

AREA AND RANGER UNIT	TOTAL	TIMBER	WOODLAND	BRUSH	GRASS	AGRICULTURAL PRODUCTS
COAST						
HUMBOLDT - DEL NORTE	508	207	49	10	242	0
LAKE NAPA	1,291	1	473	179	565	73
MENDOCINO	513	100	190	53	169	1
SAN MATEO - SANTA CRUZ	83	7	20	12	44	0
SANTA CLARA	1,951	45	176	30	1,681	19
SONOMA	285	103	18	64	100	0
COAST TOTAL	**4,631**	463	926	348	2,801	93
CASCADE						
BUTTE	399	10	27	62	290	10
LASSEN - MODOC	847	737	19	45	46	0
NEVADA - YUBA - PLACER	6,154	334	2,991	1,604	1,223	2
SHASTA - TRINITY	420	153	81	46	140	0
SISKIYOU	120	9	15	34	61	1
TEHAMA - GLENN	1,821	2	9	1,123	657	30
CASCADE TOTAL	**9,761**	1,245	3,142	2,914	2,417	43
SOUTH						
RIVERSIDE	16,993	0	3	12,683	4,307	0
SAN BERNARDINO	3,199	0	145	1,352	1,682	20
SAN DIEGO	6,100	1	23	5,280	655	141
SAN LUIS OBISPO	1,508	1	26	400	748	333
SOUTH TOTAL	**27,800**	2	197	19,715	7,392	494
SIERRA						
AMADOR - EL DORADO	785	22	41	471	251	0
FRESNO - KINGS	1,661	6	1	17	1,637	0
MADERA - MARIPOSA	1,986	1	47	9	1,929	0
SAN BENITO - MONTEREY	5,011	0	613	1,017	3,287	94
TULARE	3,753	3	0	2,420	1,330	0
TUOLUMNE - CALAVERAS	2,400	193	118	1,112	977	0
SIERRA TOTAL	**15,596**	225	820	5,046	9,411	94
STATEWIDE TOTALS	**57,788**	1,935	5,085	28,023	22,021	724

California Department of Forestry and Fire Protection - Direct Protection Area
Emergency Activity Report

VEGSTAT.WK4

ACRES BURNED - BY VEGETATION TYPE, BY COUNTY
COAST AREA

RANGER UNIT / COUNTY	TOTAL	TIMBER	WOODLAND	BRUSH	GRASS	AGRICULTURAL PRODUCTS
HUMBOLDT - DEL NORTE						
HUMBOLDT	493	206	49	9	229	0
DEL NORTE	15	1	1	1	12	0
TRINITY	0	0	0	0	0	0
RANGER UNIT TOTAL	508	207	50	10	241	0
LAKE NAPA						
LAKE	334	1	167	34	132	0
NAPA	537	0	251	115	171	0
COLUSA	39	0	0	0	39	0
SOLANO	264	0	54	25	178	7
YOLO	117	0	1	5	45	66
RANGER UNIT TOTAL	1,291	1	473	179	565	73
MENDOCINO						
MENDOCINO	513	100	190	53	169	1
RANGER UNIT TOTAL	513	100	190	53	169	1
SAN MATEO - SANTA CRUZ						
SAN MATEO	17	0	6	3	8	0
SANTA CRUZ	66	7	15	9	35	0
RANGER UNIT TOTAL	83	7	21	12	43	0
SANTA CLARA						
SANTA CLARA	327	1	19	4	303	0
ALAMEDA	481	0	9	8	460	4
CONTRA COSTA	736	0	148	18	570	0
SAN JOAQUIN	276	0	0	0	276	0
STANISLAUS	131	45	0	0	71	15
RANGER UNIT TOTAL	1,951	46	176	30	1,680	19
SONOMA						
SONOMA	285	103	18	64	100	0
RANGER UNIT TOTAL	285	103	18	64	100	0
COAST TOTAL	4,631	464	928	348	2,798	93

California Department of Forestry and Fire Protection - Direct Protection Area
Emergency Activity Report

VEG_RO1.WK4

ACRES BURNED - BY VEGETATION TYPE, BY COUNTY
CASCADE AREA

RANGER UNIT / COUNTY	TOTAL	TIMBER	WOODLAND	BRUSH	GRASS	AGRICULTURAL PRODUCTS
BUTTE						
BUTTE	399	10	27	62	290	10
RANGER UNIT TOTAL	**399**	10	27	62	290	10
LASSEN - MODOC						
LASSEN	812	730	19	44	19	0
MODOC	32	4	0	1	27	0
PLUMAS	3	3	0	0	0	0
RANGER UNIT TOTAL	**847**	737	19	45	46	0
NEVADA - YUBA - PLACER						
NEVADA	93	3	6	9	75	0
YUBA	5,935	331	2,976	1,577	1,049	2
PLACER	126	0	9	18	99	0
SIERRA	0	0	0	0	0	0
RANGER UNIT TOTAL	**6,154**	334	2,991	1,604	1,223	2
SHASTA - TRINITY						
SHASTA	406	151	80	45	130	0
TRINITY	14	2	1	1	10	0
RANGER UNIT TOTAL	**420**	153	81	46	140	0
SISKIYOU						
SISKIYOU	120	9	15	34	61	1
RANGER UNIT TOTAL	**120**	9	15	34	61	1
TEHAMA - GLENN						
TEHAMA	1,721	2	9	1,123	584	3
GLENN	100	0	0	0	73	27
RANGER UNIT TOTAL	**1,821**	2	9	1,123	657	30
CASCADE TOTAL	**9,761**	1,245	3,142	2,914	2,417	43

California Department of Forestry and Fire Protection - Direct Protection Area
Emergency Activity Report

VEG_RO2.WK4

ACRES BURNED - BY VEGETATION TYPE, BY COUNTY
SOUTH AREA

RANGER UNIT / COUNTY	TOTAL	TIMBER	WOODLAND	BRUSH	GRASS	AGRICULTURAL PRODUCTS
RIVERSIDE						
RIVERSIDE	16,993	0	3	12,683	4,307	0
RANGER UNIT TOTAL	**16,993**	0	3	12,683	4,307	0
SAN BERNARDINO						
SAN BERNARDINO	2,898	0	0	1,243	1,655	0
INYO	299	0	145	108	26	20
MONO	2	0	0	1	1	0
RANGER UNIT TOTAL	**3,199**	0	145	1,352	1,682	20
SAN DIEGO						
SAN DIEGO	6,100	1	23	5,280	655	141
IMPERIAL	0	0	0	0	0	0
RANGER UNIT TOTAL	**6,100**	1	23	5,280	655	141
SAN LUIS OBISPO						
SAN LUIS OBISPO	1,508	1	26	400	748	333
RANGER UNIT TOTAL	**1,508**	1	26	400	748	333
SOUTH TOTAL	**27,800**	2	197	19,715	7,392	494

California Department of Forestry and Fire Protection - Direct Protection Area
Emergency Activity Report

VEG_RO3.WK4

ACRES BURNED - BY VEGETATION TYPE, BY COUNTY
SIERRA AREA

RANGER UNIT / COUNTY	TOTAL	TIMBER	WOODLAND	BRUSH	GRASS	AGRICULTURAL PRODUCTS
AMADOR - EL DORADO						
AMADOR	201	4	11	45	141	0
EL DORADO	583	18	30	426	109	0
SACRAMENTO	1	0	0	0	1	0
RANGER UNIT TOTAL	785	22	41	471	251	0
FRESNO - KINGS						
FRESNO	1,661	6	1	17	1,637	0
KINGS	0	0	0	0	0	0
RANGER UNIT TOTAL	1,661	6	1	17	1,637	0
MADERA - MARIPOSA						
MADERA	1,639	1	13	2	1,623	0
MARIPOSA	59	0	34	3	22	0
MERCED	288	0	0	4	284	0
RANGER UNIT TOTAL	1,986	1	47	9	1,929	0
SAN BENITO - MONTEREY						
SAN BENITO	128	0	0	26	102	0
MONTEREY	4,883	0	613	991	3,185	94
RANGER UNIT TOTAL	5,011	0	613	1,017	3,287	94
TULARE						
TULARE	3,753	3	0	2,420	1,330	0
RANGER UNIT TOTAL	3,753	3	0	2,420	1,330	0
TUOLUMNE - CALAVERAS						
TUOLUMNE	1,461	117	4	1,044	296	0
CALAVERAS	915	76	114	68	657	0
STANISLAUS	22	0	0	0	22	0
SAN JOAQUIN	2	0	0	0	2	0
ALPINE	0	0	0	0	0	0
RANGER UNIT TOTAL	2,400	193	118	1,112	977	0
SIERRA TOTAL	15,596	225	820	5,046	9,411	94

DOLLAR DAMAGE BY CAUSE

STATEWIDE SUMMARY

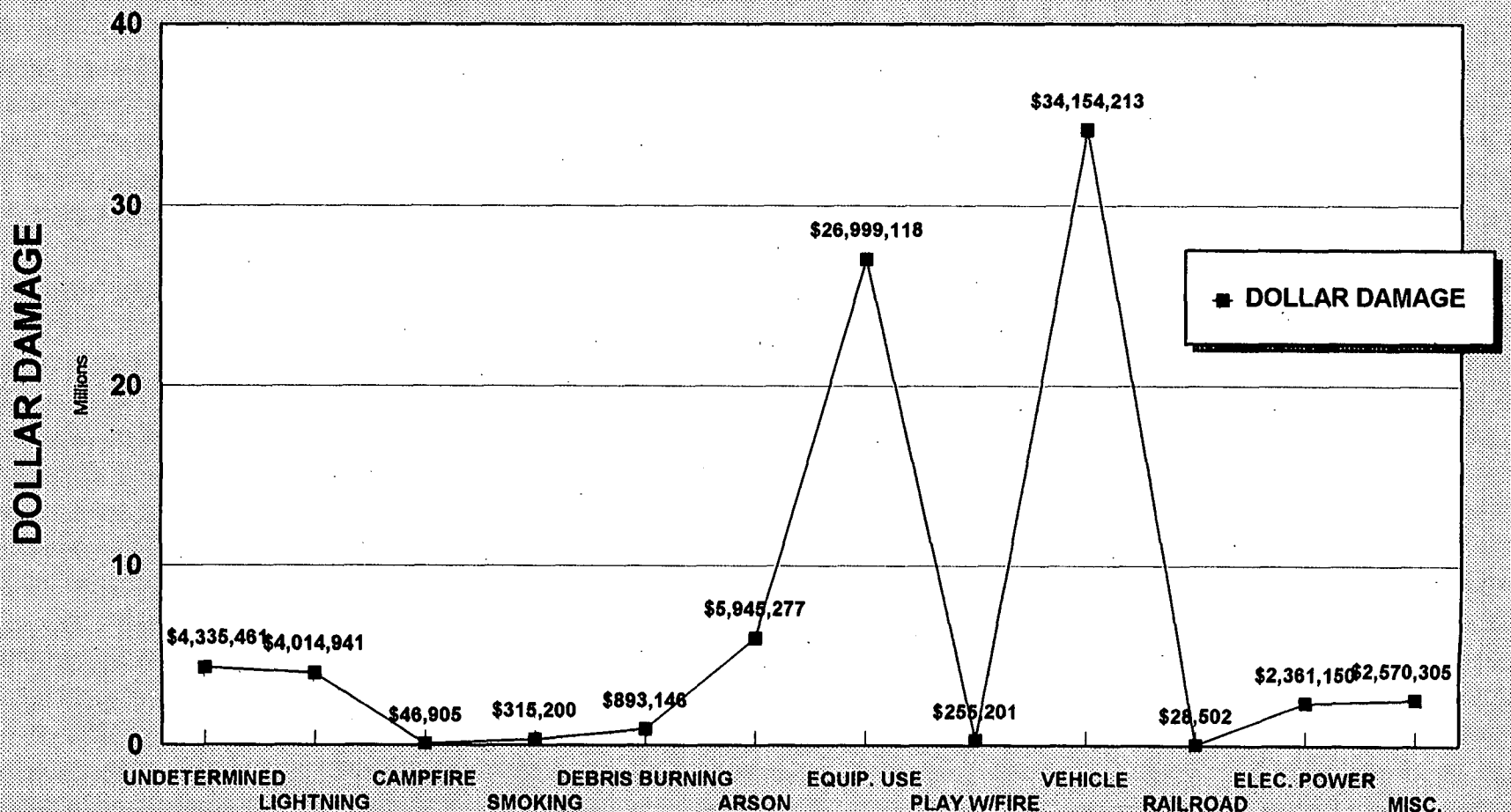

DOLLAR DAMAGE BY CAUSE BY AREA

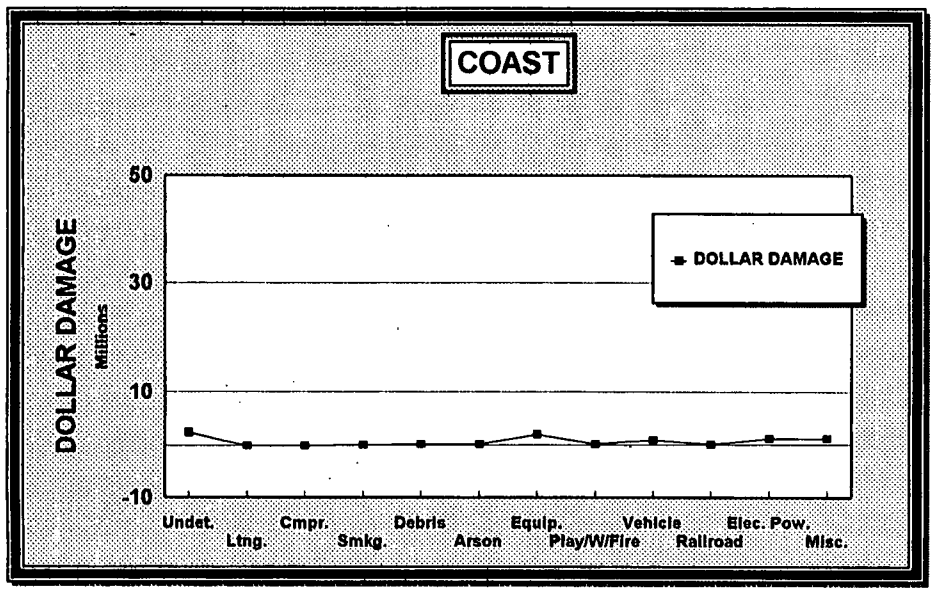

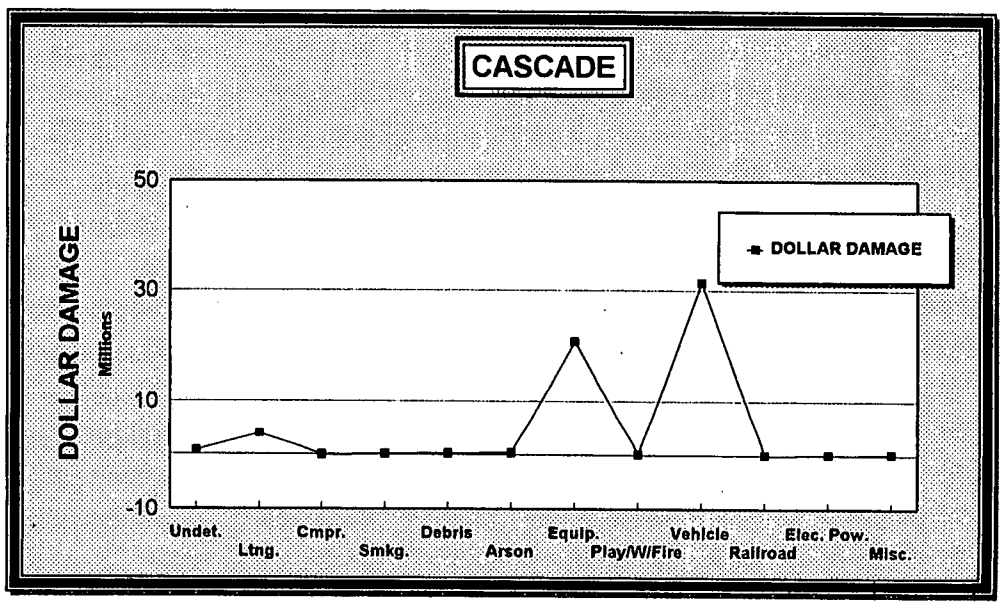

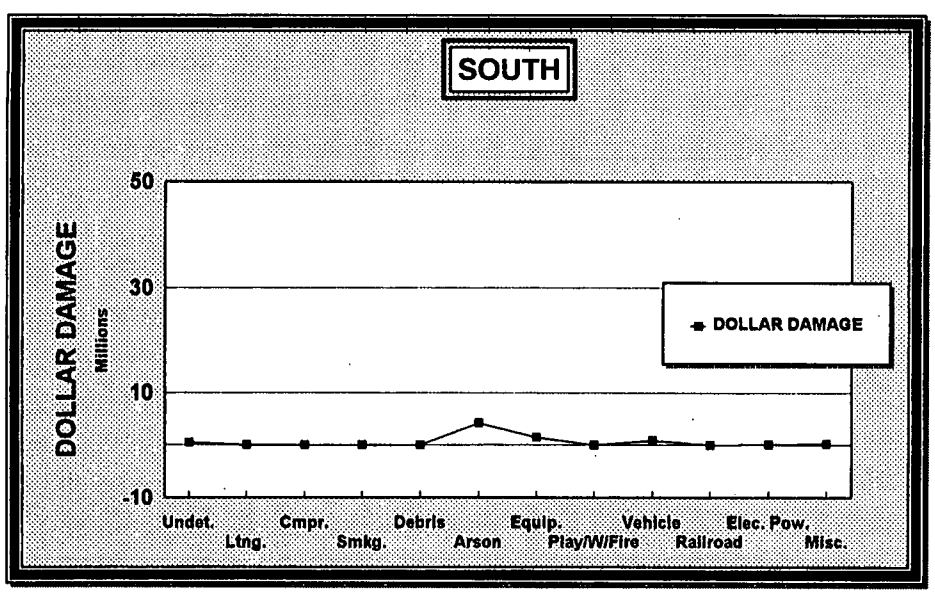

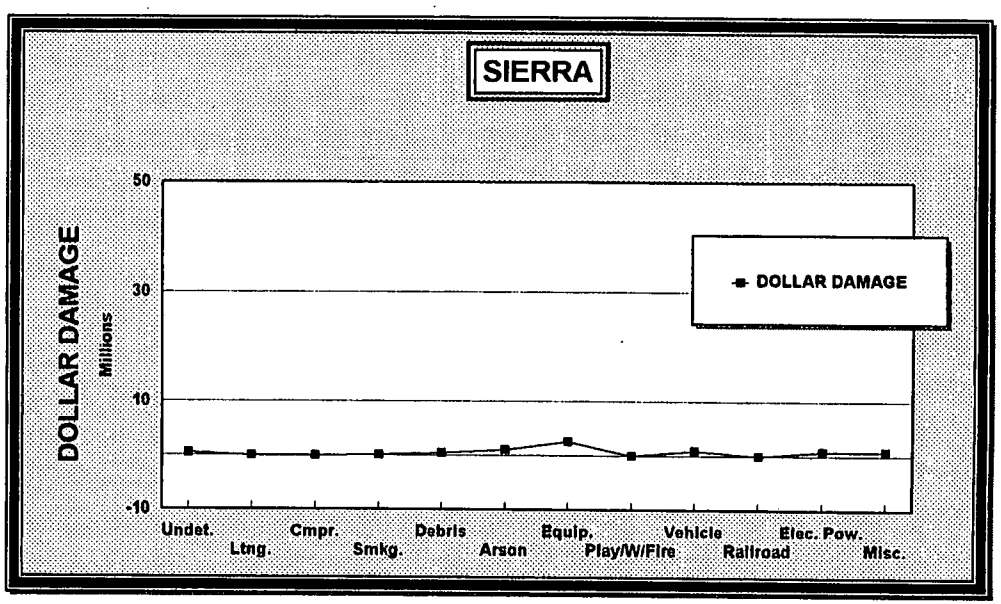

DOLLAR DAMAGE - BY CAUSE, BY RANGER UNIT
STATEWIDE

AREA AND RANGER UNIT	TOTAL	UNDET.	LTNG.	CAMP-FIRE	SMOKING	DEBRIS BURNING	ARSON	EQUIP. USE	PLAY. W/FIRE	VEHICLE	RAILROAD	ELEC. POWER	MISC.
COAST													
HUMBOLDT - DEL NORTE	$1,930,688	$1,080,300	$0	$5	$7,100	$34,030	$10,203	$552,600	$151,200	$82,850	$0	$0	$12,400
LAKE NAPA	$1,992,570	$354,800	$30	$2,000	$15,100	$3,600	$50,100	$1,034,300	$800	$331,100	$0	$76,000	$124,740
MENDOCINO	$1,063,701	$458,000	$0	$0	$800	$10,000	$6,100	$95,800	$50	$137,151	$4,000	$1,200	$350,600
SAN MATEO - SANTA CRUZ	$337,956	$32,200	$0	$0	$500	$203	$8,100	$87,350	$0	$188,803	$0	$1,300	$19,500
SANTA CLARA	$1,917,686	$557,320	$0	$500	$4,000	$300	$138,400	$190,606	$10,000	$215,055	$4,400	$400,600	$396,505
SONOMA	$1,686,380	$85,105	$0	$0	$0	$178,000	$2,000	$216,200	$0	$16,300	$0	$825,000	$363,775
COAST TOTALS	$8,928,881	$2,567,725	$30	$2,605	$27,500	$226,133	$214,903	$2,176,856	$162,050	$971,259	$8,400	$1,304,100	$1,267,520
CASCADE													
BUTTE	$337,792	$116,590	$0	$800	$30,100	$601	$8,500	$88,701	$40,000	$29,800	$0	$13,200	$9,500
LASSEN - MODOC	$4,118,833	$200	$4,007,500	$400	$0	$550	$0	$12,600	$0	$94,983	$0	$200	$2,400
NEVADA - YUBA - PLACER	$50,959,485	$238,751	$0	$700	$200	$52,510	$50,700	$19,681,537	$2,100	$30,876,437	$0	$5,250	$53,300
SHASTA - TRINITY	$1,909,121	$270,001	$1,250	$0	$106,500	$101,900	$286,320	$761,350	$5,000	$220,900	$0	$3,500	$162,400
SISKIYOU	$84,804	$0	$2,100	$0	$0	$1,000	$2,500	$6,600	$20,450	$46,252	$1,902	$2,000	$2,000
TEHAMA - GLENN	$389,100	$81,500	$0	$0	$1,000	$1,000	$0	$198,500	$10,000	$70,200	$0	$22,200	$4,700
CASCADE TOTALS	$57,799,135	$705,042	$4,010,850	$1,900	$137,800	$157,661	$348,020	$20,739,288	$77,550	$31,338,572	$1,902	$46,350	$234,300
SOUTH													
RIVERSIDE	$1,241,283	$106,583	$1,000	$300	$1,200	$0	$352,350	$418,600	$0	$265,600	$0	$500	$95,150
SAN BERNARDINO	$331,650	$1,000	$100	$30,000	$3,000	$2,700	$32,100	$148,100	$500	$106,150	$0	$8,000	$2,000
SAN DIEGO	$5,567,138	$343,758	$1	$10,000	$30,000	$30,500	$3,878,775	$783,000	$200	$367,350	$0	$85,700	$37,854
SAN LUIS OBISPO	$602,973	$54,053	$2,500	$2,000	$4,300	$1,000	$30,008	$164,080	$1	$148,831	$200	$100,100	$95,900
SOUTH TOTALS	$7,743,044	$505,394	$3,601	$42,300	$38,500	$34,200	$4,293,233	$1,513,780	$701	$887,931	$200	$192,300	$230,904
SIERRA													
AMADOR - EL DORADO	$682,202	$4,800	$0	$0	$0	$154,352	$10,100	$268,450	$0	$221,500	$0	$0	$3,000
FRESNO - KINGS	$821,451	$352,450	$0	$0	$200	$5,500	$11,200	$37,901	$200	$70,200	$0	$278,700	$65,100
MADERA - MARIPOSA	$1,087,251	$9,800	$0	$0	$4,800	$200	$189,000	$533,151	$0	$282,650	$0	$400	$67,250
SAN BENITO - MONTEREY	$914,121	$39,000	$0	$0	$0	$700	$10,000	$519,892	$500	$190,300	$0	$100,600	$53,128
TULARE	$322,181	$2,100	$60	$100	$900	$0	$30,921	$225,300	$0	$47,400	$0	$7,500	$7,900
TUOLUMNE - CALAVERAS	$3,641,053	$149,150	$400	$100	$105,500	$314,500	$837,900	$984,500	$14,200	$144,401	$18,000	$431,200	$641,202
SIERRA TOTALS	$7,448,259	$557,300	$460	$200	$111,400	$476,252	$1,089,121	$2,569,194	$14,900	$956,451	$18,000	$818,400	$837,581
STATEWIDE TOTALS	$81,919,419	$4,335,461	$4,014,941	$46,905	$315,200	$893,146	$5,945,277	$26,999,118	$255,201	$34,154,213	$28,502	$2,361,150	$2,570,305

California Department of Forestry and Fire Protection - Direct Protection Area
Emergency Activity Report

DD_STATE.WK4

DOLLAR DAMAGE - BY CAUSE, BY COUNTY
COAST AREA

RANGER UNIT COUNTY	TOTAL	UNDET.	LTNG.	CAMP-FIRE	SMOKING	DEBRIS BURNING	ARSON	EQUIP. USE	PLAY. W/FIRE	VEHICLE	RAILROAD	ELEC. POWER	MISC.
HUMBOLDT - DEL NORTE													
HUMBOLDT	$1,707,688	$1,079,800	$0	$5	$7,100	$34,030	$10,203	$350,100	$151,200	$62,850	$0	$0	$12,400
DEL NORTE	$223,000	$500	$0	$0	$0	$0	$0	$202,500	$0	$20,000	$0	$0	$0
TRINITY	$0	$0	$0	$0	$0	$0	$0	$0	$0	$0	$0	$0	$0
RANGER UNIT TOTAL	$1,930,688	$1,080,300	$0	$5	$7,100	$34,030	$10,203	$552,600	$151,200	$82,850	$0	$0	$12,400
LAKE NAPA													
LAKE	$562,570	$36,200	$30	$0	$15,100	$3,000	$50,000	$75,700	$800	$285,500	$0	$11,000	$105,240
NAPA	$612,900	$305,000	$0	$1,500	$0	$100	$0	$182,100	$0	$62,600	$0	$60,500	$1,100
COLUSA	$1,200	$0	$0	$0	$0	$0	$0	$1,200	$0	$0	$0	$0	$0
SOLANO	$783,400	$6,600	$0	$500	$0	$0	$100	$750,300	$0	$3,000	$0	$4,500	$18,400
YOLO	$32,500	$7,000	$0	$0	$0	$500	$0	$25,000	$0	$0	$0	$0	$0
RANGER UNIT TOTAL	$1,992,570	$354,800	$30	$2,000	$15,100	$3,600	$50,100	$1,034,300	$800	$331,100	$0	$76,000	$124,740
MENDOCINO													
MENDOCINO	$1,063,701	$458,000	$0	$0	$800	$10,000	$6,100	$95,800	$50	$137,151	$4,000	$1,200	$350,600
RANGER UNIT TOTAL	$1,063,701	$458,000	$0	$0	$800	$10,000	$6,100	$95,800	$50	$137,151	$4,000	$1,200	$350,600
SAN MATEO - SANTA CRUZ													
SAN MATEO	$31,053	$0	$0	$0	$0	$200	$0	$15,300	$0	$15,553	$0	$0	$0
SANTA CRUZ	$306,903	$32,200	$0	$0	$500	$3	$8,100	$72,050	$0	$173,250	$0	$1,300	$19,500
RANGER UNIT TOTAL	$337,956	$32,200	$0	$0	$500	$203	$8,100	$87,350	$0	$188,803	$0	$1,300	$19,500
SANTA CLARA													
SANTA CLARA	$1,501,422	$522,820	$0	$500	$200	$300	$25,500	$89,000	$10,000	$78,800	$1,500	$400,000	$372,802
ALAMEDA	$244,058	$15,800	$0	$0	$100	$0	$112,900	$26,400	$0	$73,855	$2,900	$500	$11,603
CONTRA COSTA	$130,206	$18,500	$0	$0	$0	$0	$0	$60,606	$0	$49,000	$0	$100	$2,000
SAN JOAQUIN	$22,600	$200	$0	$0	$3,500	$0	$0	$8,800	$0	$0	$0	$0	$10,100
STANISLAUS	$19,400	$0	$0	$0	$200	$0	$0	$5,800	$0	$13,400	$0	$0	$0
RANGER UNIT TOTAL	$1,917,686	$557,320	$0	$500	$4,000	$300	$138,400	$190,606	$10,000	$215,055	$4,400	$400,600	$396,505
SONOMA													
SONOMA	$1,686,380	$85,105	$0	$0	$0	$178,000	$2,000	$216,200	$0	$16,300	$0	$825,000	$363,775
RANGER UNIT TOTAL	$1,686,380	$85,105	$0	$0	$0	$178,000	$2,000	$216,200	$0	$16,300	$0	$825,000	$363,775
COAST TOTAL	$8,928,981	$2,567,725	$30	$2,505	$27,500	$226,133	$214,903	$2,176,856	$162,050	$971,259	$8,400	$1,304,100	$1,267,520

DOLLAR DAMAGE - BY CAUSE, BY COUNTY
CASCADE AREA

RANGER UNIT COUNTY	TOTAL	UNDET.	LTNG.	CAMP-FIRE	SMOKING	DEBRIS BURNING	ARSON	EQUIP. USE	PLAY. W/FIRE	VEHICLE	RAILROAD	ELEC. POWER	MISC.
BUTTE													
BUTTE	$337,792	$116,590	$0	$800	$30,100	$601	$8,500	$88,701	$40,000	$29,800	$0	$13,200	$9,500
RANGER UNIT TOTAL	$337,792	$116,590	$0	$800	$30,100	$601	$8,500	$88,701	$40,000	$29,800	$0	$13,200	$9,500
LASSEN-MODOC													
LASSEN	$4,088,933	$200	$4,005,500	$200	$0	$550	$0	$1,600	$0	$80,583	$0	$0	$300
MODOC	$17,500	$0	$0	$0	$0	$0	$0	$1,000	$0	$14,400	$0	$0	$2,100
PLUMAS	$12,400	$0	$2,000	$200	$0	$0	$0	$10,000	$0	$0	$0	$200	$0
RANGER UNIT TOTAL	$4,118,833	$200	$4,007,500	$400	$0	$550	$0	$12,600	$0	$94,983	$0	$200	$2,400
NEVADA-YUBA-PLACER													
NEVADA	$124,501	$5,001	$0	$200	$200	$300	$32,500	$26,400	$0	$58,300	$0	$0	$1,600
YUBA	$50,202,984	$59,100	$0	$500	$0	$1,310	$5,000	$19,416,837	$1,500	$30,717,187	$0	$50	$1,500
PLACER	$632,000	$172,650	$0	$0	$0	$50,900	$13,200	$238,300	$600	$100,950	$0	$5,200	$50,200
SIERRA	$0	$0	$0	$0	$0	$0	$0	$0	$0	$0	$0	$0	$0
RANGER UNIT TOTAL	$50,959,485	$236,751	$0	$700	$200	$52,510	$50,700	$19,681,537	$2,100	$30,876,437	$0	$5,250	$53,300
SHASTA-TRINITY													
SHASTA	$1,806,320	$170,000	$1,250	$0	$106,300	$101,800	$286,320	$751,350	$5,000	$218,400	$0	$3,500	$162,400
TRINITY	$102,801	$100,001	$0	$0	$200	$100	$0	$0	$0	$2,500	$0	$0	$0
RANGER UNIT TOTAL	$1,909,121	$270,001	$1,250	$0	$106,500	$101,900	$286,320	$751,350	$5,000	$220,900	$0	$3,500	$162,400
SISKIYOU													
SISKIYOU	$84,804	$0	$2,100	$0	$0	$1,000	$2,500	$6,600	$20,450	$46,252	$1,902	$2,000	$2,000
RANGER UNIT TOTAL	$84,804	$0	$2,100	$0	$0	$1,000	$2,500	$6,600	$20,450	$46,252	$1,902	$2,000	$2,000
TEHEMA-GLENN													
TEHEMA	$365,000	$81,500	$0	$0	$1,000	$0	$0	$198,400	$10,000	$67,200	$0	$2,200	$4,700
GLENN	$24,100	$0	$0	$0	$0	$1,000	$0	$100	$0	$3,000	$0	$20,000	$0
RANGER UNIT TOTAL	$389,100	$81,500	$0	$0	$1,000	$1,000	$0	$198,500	$10,000	$70,200	$0	$22,200	$4,700
CASCADE TOTAL	$57,799,135	$705,042	$4,010,850	$1,900	$137,800	$157,561	$348,020	$20,739,288	$77,550	$31,338,572	$1,902	$46,350	$234,300

California Department of Forestry and Fire Protection - Direct Protection Area
Emergency Activity Report

DD_RU02.WK4

DOLLAR DAMAGE - BY CAUSE, BY COUNTY
SOUTH AREA

RANGER UNIT COUNTY	TOTAL	UNDET.	LTNG.	CAMP-FIRE	SMOKING	DEBRIS BURNING	ARSON	EQUIP. USE	PLAY. W/FIRE	VEHICLE	RAILROAD	ELEC. POWER	MISC.
RIVERSIDE													
RIVERSIDE	$1,241,283	$106,583	$1,000	$300	$1,200	$0	$352,350	$418,600	$0	$265,600	$0	$500	$95,150
RANGER UNIT TOTAL	$1,241,283	$106,583	$1,000	$300	$1,200	$0	$352,350	$418,600	$0	$265,600	$0	$500	$95,150
SAN BERNARDINO													
SAN BERNARDINO	$223,600	$1,000	$100	$30,000	$3,000	$0	$32,100	$148,100	$500	$2,800	$0	$6,000	$0
INYO	$8,050	$0	$0	$0	$0	$2,700	$0	$0	$0	$3,350	$0	$0	$2,000
MONO	$100,000	$0	$0	$0	$0	$0	$0	$0	$0	$100,000	$0	$0	$0
RANGER UNIT TOTAL	$331,650	$1,000	$100	$30,000	$3,000	$2,700	$32,100	$148,100	$500	$106,150	$0	$6,000	$2,000
SAN DIEGO													
SAN DIEGO	$5,567,138	$343,758	$1	$10,000	$30,000	$30,500	$3,878,775	$783,000	$200	$367,350	$0	$85,700	$37,854
IMPERIAL	$0	$0	$0	$0	$0	$0	$0	$0	$0	$0	$0	$0	$0
RANGER UNIT TOTAL	$5,567,138	$343,758	$1	$10,000	$30,000	$30,500	$3,878,775	$783,000	$200	$367,350	$0	$85,700	$37,854
SAN LUIS OBISPO													
SAN LUIS OBISPO	$602,973	$54,053	$2,500	$2,000	$4,300	$1,000	$30,008	$164,080	$1	$148,831	$200	$100,100	$95,900
RANGER UNIT TOTAL	$602,973	$54,053	$2,500	$2,000	$4,300	$1,000	$30,008	$164,080	$1	$148,831	$200	$100,100	$95,900
SOUTH TOTAL	$7,743,044	$505,394	$3,601	$42,300	$38,500	$34,200	$4,293,233	$1,513,780	$701	$887,931	$200	$192,300	$230,904

California Department of Forestry and Fire Protection - Direct Protection Area
Emergency Activity Report

DD_RU03.WK4

DOLLAR DAMAGE - BY CAUSE, BY COUNTY
SIERRA AREA

RANGER UNIT COUNTY	TOTAL	UNDET.	LTNG.	CAMP-FIRE	SMOKING	DEBRIS BURNING	ARSON	EQUIP. USE	PLAY. W/FIRE	VEHICLE	RAILROAD	ELEC. POWER	MISC.
AMADOR - EL DORADO													
AMADOR	$104,200	$750	$0	$0	$0	$500	$10,050	$90,400	$0	$1,500	$0	$0	$1,000
EL DORADO	$557,952	$4,050	$0	$0	$0	$153,852	$50	$178,000	$0	$220,000	$0	$0	$2,000
SACRAMENTO	$50	$0	$0	$0	$0	$0	$0	$50	$0	$0	$0	$0	$0
RANGER UNIT TOTAL	$662,202	$4,800	$0	$0	$0	$154,352	$10,100	$268,450	$0	$221,500	$0	$0	$3,000
FRESNO - KINGS													
FRESNO	$821,451	$352,450	$0	$0	$200	$5,500	$11,200	$37,901	$200	$70,200	$0	$278,700	$65,100
KINGS	$0	$0	$0	$0	$0	$0	$0	$0	$0	$0	$0	$0	$0
RANGER UNIT TOTAL	$821,451	$352,450	$0	$0	$200	$5,500	$11,200	$37,901	$200	$70,200	$0	$278,700	$65,100
MADERA - MARIPOSA													
MADERA	$795,300	$9,100	$0	$0	$4,500	$200	$57,500	$492,100	$0	$181,650	$0	$0	$50,250
MARIPOSA	$53,651	$700	$0	$0	$300	$0	$0	$14,051	$0	$38,600	$0	$0	$0
MERCED	$238,300	$0	$0	$0	$0	$0	$131,500	$27,000	$0	$62,400	$0	$400	$17,000
RANGER UNIT TOTAL	$1,087,251	$9,800	$0	$0	$4,800	$200	$189,000	$533,151	$0	$282,650	$0	$400	$67,250
SAN BENITO - MONTEREY													
SAN BENITO	$189,400	$3,000	$0	$0	$0	$200	$0	$185,700	$0	$0	$0	$500	$0
MONTEREY	$724,721	$36,000	$0	$0	$0	$500	$10,000	$334,192	$500	$190,300	$0	$100,100	$53,129
RANGER UNIT TOTAL	$914,121	$39,000	$0	$0	$0	$700	$10,000	$519,892	$500	$190,300	$0	$100,600	$53,129
TULARE													
TULARE	$322,181	$2,100	$60	$100	$900	$0	$30,921	$225,300	$0	$47,400	$0	$7,500	$7,900
RANGER UNIT TOTAL	$322,181	$2,100	$60	$100	$900	$0	$30,921	$225,300	$0	$47,400	$0	$7,500	$7,900
TUOLUMNE-CALAVERAS													
TUOLUMNE	$2,457,701	$113,700	$0	$100	$100,000	$17,200	$829,100	$547,600	$8,000	$82,501	$18,000	$139,300	$602,200
CALAVERAS	$1,176,902	$35,000	$400	$0	$5,500	$297,300	$8,800	$436,900	$6,200	$55,900	$0	$291,900	$39,002
STANISLAUS	$6,050	$50	$0	$0	$0	$0	$0	$0	$0	$6,000	$0	$0	$0
SAN JOAQUIN	$400	$400	$0	$0	$0	$0	$0	$0	$0	$0	$0	$0	$0
ALPINE	$0	$0	$0	$0	$0	$0	$0	$0	$0	$0	$0	$0	$0
RANGER UNIT TOTAL	$3,641,053	$149,150	$400	$100	$105,500	$314,500	$837,900	$984,500	$14,200	$144,401	$18,000	$431,200	$641,202
SIERRA TOTAL	$7,448,259	$557,300	$460	$200	$111,400	$475,252	$1,089,121	$2,569,194	$14,900	$956,451	$18,000	$818,400	$837,581

DOLLAR DAMAGE BY SIZE CLASS

STATEWIDE SUMMARY

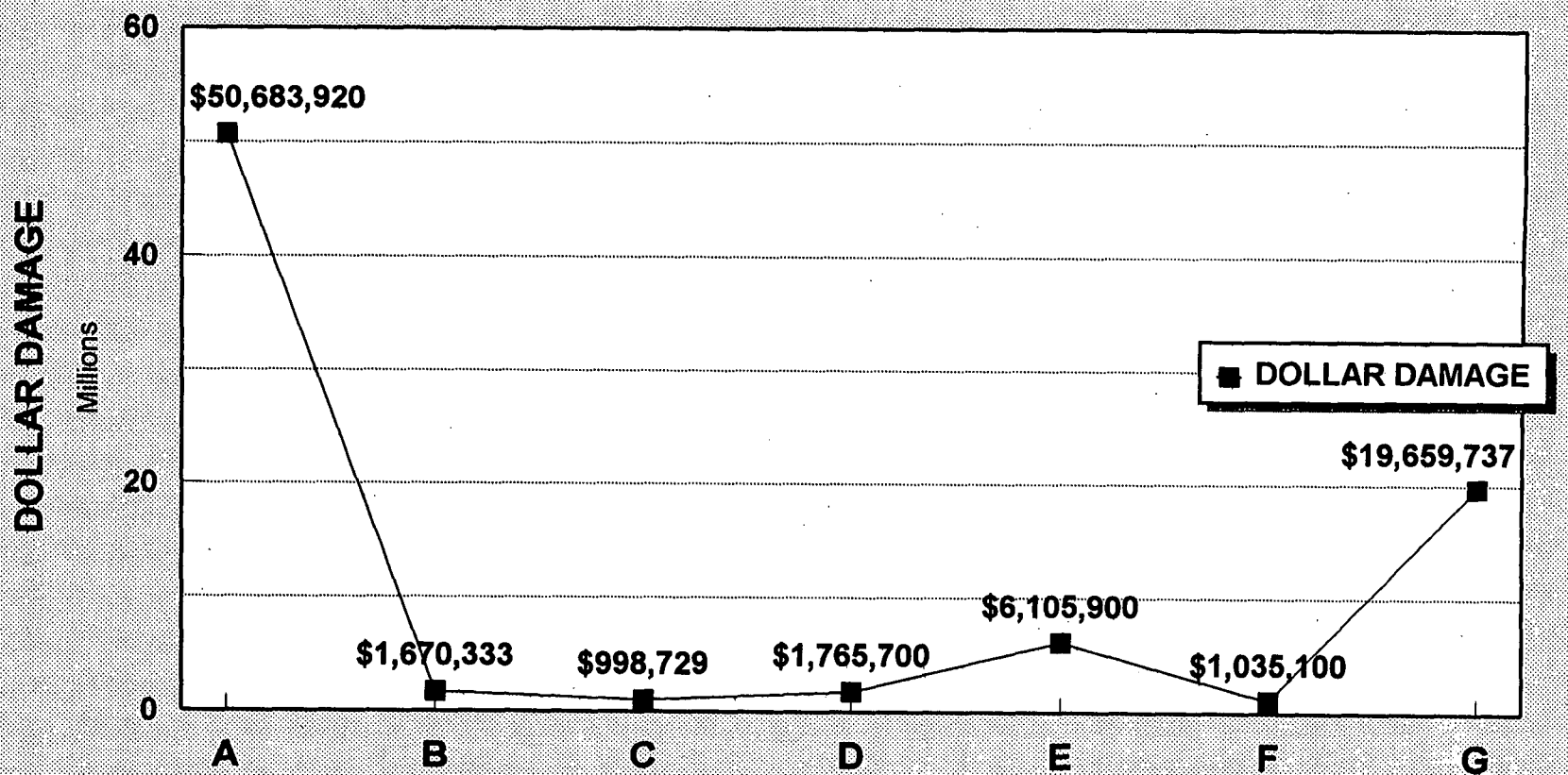

DOLLAR DAMAGE BY SIZE CLASS BY AREA

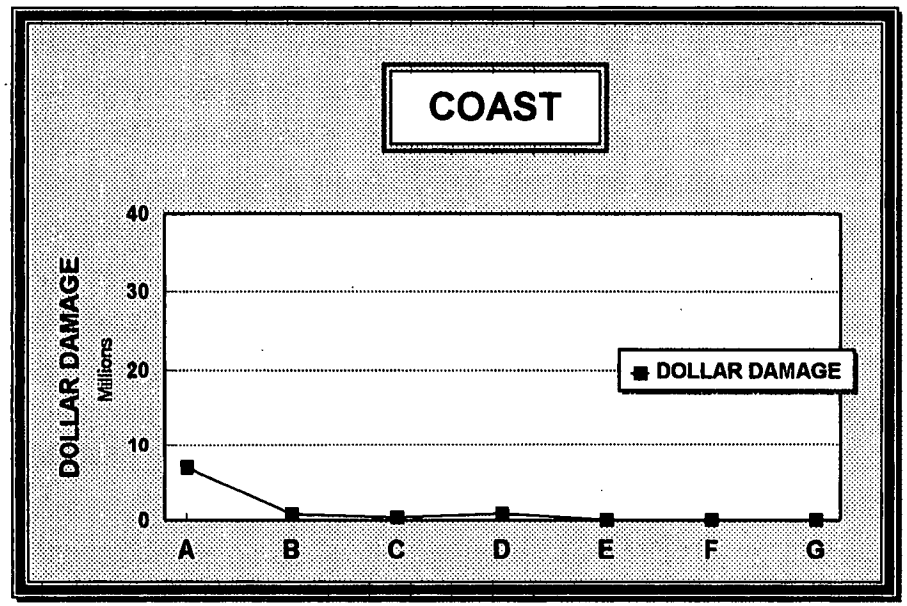

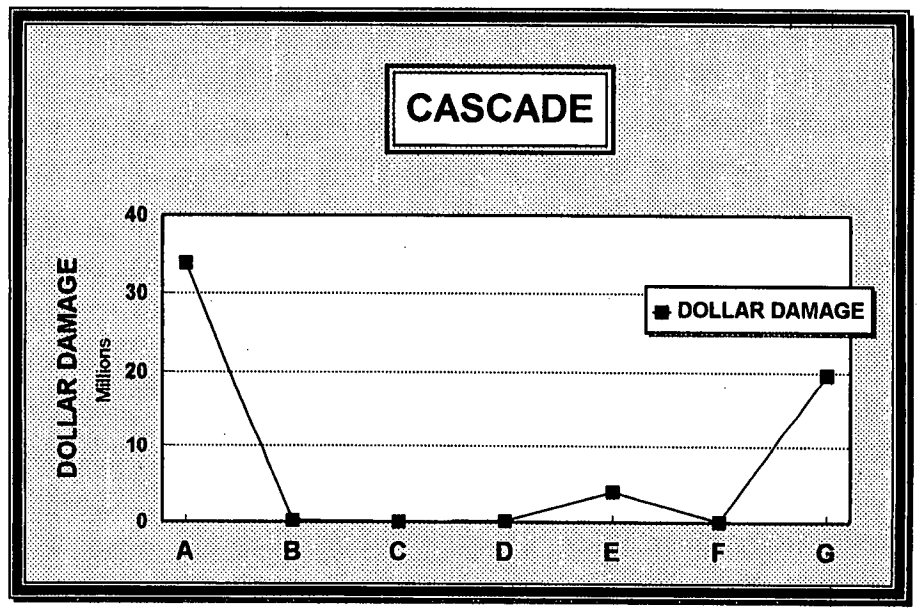

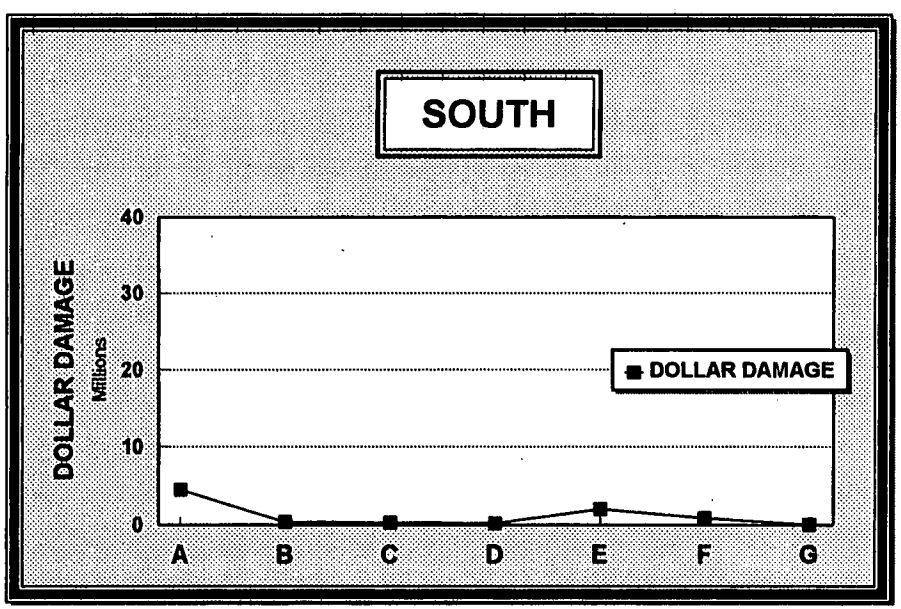

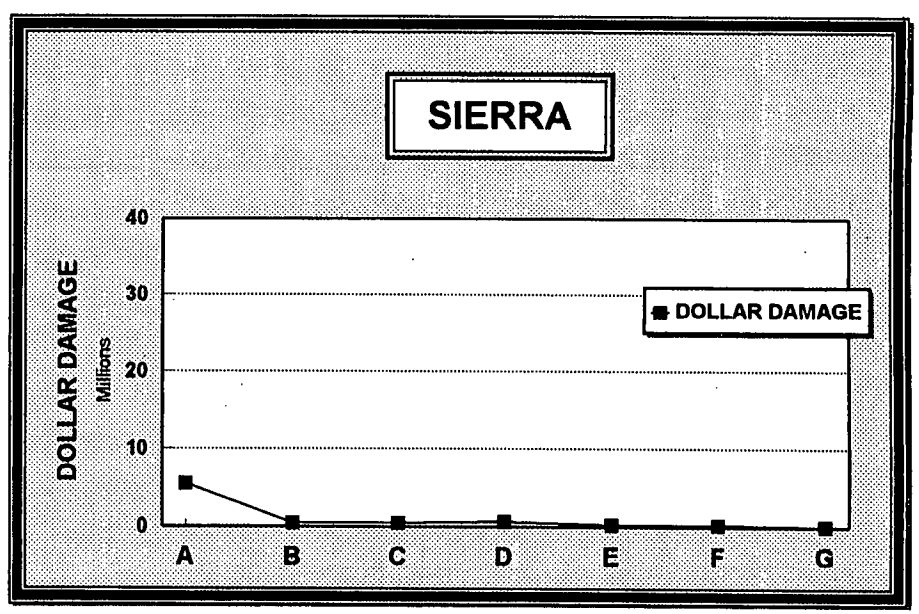

DOLLAR DAMAGE - BY SIZE CLASS, BY RANGER UNIT
STATEWIDE

AREA AND RANGER UNIT	TOTAL	FIRE SIZE A	B	C	D	E	F	G
COAST								
HUMBOLDT - DEL NORTE	$1,930,688	$1,357,555	$329,633	$223,000	$20,500	$0	$0	$0
LAKE NAPA	$1,992,570	$1,872,250	$65,020	$51,800	$2,000	$1,500	$0	$0
MENDOCINO	$1,063,701	$816,851	$233,650	$12,200	$1,000	$0	$0	$0
SAN MATEO - SANTA CRUZ	$337,956	$296,156	$41,800	$0	$0	$0	$0	$0
SANTA CLARA	$1,917,686	$1,761,450	$75,636	$56,500	$24,100	$0	$0	$0
SONOMA	$1,686,380	$851,875	$9,505	$0	$825,000	$0	$0	$0
COAST TOTAL	$8,928,981	$6,956,137	$755,244	$343,500	$872,600	$1,500	$0	$0
CASCADE								
BUTTE	$337,792	$299,652	$15,640	$12,500	$10,000	$0	$0	$0
LASSEN - MODOC	$4,118,833	$116,733	$2,100	$0	$0	$4,000,000	$0	$0
NEVADA - YUBA - PLACER	$50,959,485	$31,156,248	$143,200	$300	$0	$0	$0	$19,659,737
SHASTA - TRINITY	$1,909,121	$1,799,971	$3,450	$5,700	$100,000	$0	$0	$0
SISKIYOU	$84,804	$78,152	$5,902	$750	$0	$0	$0	$0
TEHAMA - GLENN	$389,100	$382,500	$2,100	$4,500	$0	$0	$0	$0
CASCADE TOTAL	$57,799,135	$33,833,256	$172,392	$23,750	$110,000	$4,000,000	$0	$19,659,737
SOUTH								
RIVERSIDE	$1,241,283	$1,135,983	$8,050	$2,250	$0	$70,000	$25,000	$0
SAN BERNARDINO	$331,650	$220,450	$100,500	$0	$4,700	$6,000	$0	$0
SAN DIEGO	$5,567,138	$2,501,529	$159,009	$200,000	$100,100	$1,822,000	$784,500	$0
SAN LUIS OBISPO	$602,973	$508,522	$24,351	$9,800	$55,300	$5,000	$0	$0
SOUTH TOTAL	$7,743,044	$4,366,484	$291,910	$212,050	$160,100	$1,903,000	$809,500	$0
SIERRA								
AMADOR - EL DORADO	$662,202	$432,000	$218,652	$11,550	$0	$0	$0	$0
FRESNO - KINGS	$821,451	$661,950	$4,501	$6,300	$0	$0	$148,700	$0
MADERA - MARIPOSA	$1,087,251	$1,035,651	$6,900	$9,700	$2,000	$0	$33,000	$0
SAN BENITO - MONTEREY	$914,121	$750,820	$66,622	$33,779	$11,100	$7,900	$43,900	$0
TULARE	$322,181	$299,421	$1,460	$3,100	$4,700	$13,500	$0	$0
TUOLUMNE - CALAVERAS	$3,641,053	$2,348,201	$152,652	$355,000	$605,200	$180,000	$0	$0
SIERRA TOTAL	$7,448,259	$5,528,043	$450,787	$419,429	$623,000	$201,400	$225,600	$0
STATEWIDE TOTALS	$81,919,419	$50,683,920	$1,670,333	$998,729	$1,765,700	$6,105,900	$1,035,100	$19,659,737

California Department of Forestry and Fire Protection - Direct Protection Area
Emergency Activity Report

DDSC_STA.WK4

DOLLAR DAMAGE - BY SIZE CLASS, BY COUNTY
COAST AREA

RANGER UNIT / COUNTY	TOTAL	FIRE SIZE A	B	C	D	E	F	G
HUMBOLDT - DEL NORTE								
HUMBOLDT	$1,707,688	$1,154,555	$309,633	$223,000	$20,500	$0	$0	$0
DEL NORTE	$223,000	$203,000	$20,000	$0	$0	$0	$0	$0
TRINITY	$0	$0	$0	$0	$0	$0	$0	$0
RANGER UNIT TOTAL	$1,930,688	$1,357,555	$329,633	$223,000	$20,500	$0	$0	$0
LAKE NAPA								
LAKE	$562,570	$501,250	$59,320	$0	$2,000	$0	$0	$0
NAPA	$612,900	$608,300	$3,100	$0	$0	$1,500	$0	$0
COLUSA	$1,200	$1,200	$0	$0	$0	$0	$0	$0
SOLANO	$783,400	$754,500	$2,100	$26,800	$0	$0	$0	$0
YOLO	$32,500	$7,000	$500	$25,000	$0	$0	$0	$0
RANGER UNIT TOTAL	$1,992,570	$1,872,250	$65,020	$51,800	$2,000	$1,500	$0	$0
MENDOCINO								
MENDOCINO	$1,063,701	$816,851	$233,650	$12,200	$1,000	$0	$0	$0
RANGER UNIT TOTAL	$1,063,701	$816,851	$233,650	$12,200	$1,000	$0	$0	$0
SAN MATEO - SANTA CRUZ								
SAN MATEO	$31,053	$31,053	$0	$0	$0	$0	$0	$0
SANTA CRUZ	$306,903	$265,103	$41,800	$0	$0	$0	$0	$0
RANGER UNIT TOTAL	$337,956	$296,156	$41,800	$0	$0	$0	$0	$0
SANTA CLARA								
SANTA CLARA	$1,501,422	$1,475,600	$8,822	$7,000	$10,000	$0	$0	$0
ALAMEDA	$244,058	$203,750	$21,208	$17,100	$2,000	$0	$0	$0
CONTRA COSTA	$130,206	$67,900	$40,306	$20,000	$2,000	$0	$0	$0
SAN JOAQUIN	$22,600	$0	$1,800	$10,700	$10,100	$0	$0	$0
STANISLAUS	$19,400	$14,200	$3,500	$1,700	$0	$0	$0	$0
RANGER UNIT TOTAL	$1,917,686	$1,761,450	$75,636	$56,500	$24,100	$0	$0	$0
SONOMA								
SONOMA	$1,686,380	$851,875	$9,505	$0	$825,000	$0	$0	$0
RANGER UNIT TOTAL	$1,686,380	$851,875	$9,505	$0	$825,000	$0	$0	$0
COAST TOTAL	$8,928,981	$6,956,137	$755,244	$343,500	$872,600	$1,500	$0	$0

California Department of Forestry and Fire Protection - Direct Protection Area

DD SC_R1.WK4

DOLLAR DAMAGE - BY SIZE CLASS, BY COUNTY
CASCADE AREA

RANGER UNIT / COUNTY	TOTAL	A	B	C	D	E	F	G
BUTTE								
BUTTE	$337,792	$299,652	$15,640	$12,500	$10,000	$0	$0	$0
RANGER UNIT TOTAL	**$337,792**	$299,652	$15,640	$12,500	$10,000	$0	$0	$0
LASSEN - MODOC								
LASSEN	$4,088,933	$87,033	$1,900	$0	$0	$4,000,000	$0	$0
MODOC	$17,500	$17,500	$0	$0	$0	$0	$0	$0
PLUMAS	$12,400	$12,200	$200	$0	$0	$0	$0	$0
RANGER UNIT TOTAL	**$4,118,833**	$116,733	$2,100	$0	$0	$4,000,000	$0	$0
NEVADA - YUBA - PLACER								
NEVADA	$124,501	$59,401	$65,000	$100	$0	$0	$0	$0
YUBA	$50,202,984	$30,530,047	$13,200	$0	$0	$0	$0	$19,659,737
PLACER	$632,000	$566,800	$65,000	$200	$0	$0	$0	$0
SIERRA	$0	$0	$0	$0	$0	$0	$0	$0
RANGER UNIT TOTAL	**$50,959,485**	$31,156,248	$143,200	$300	$0	$0	$0	$19,659,737
SHASTA - TRINITY								
SHASTA	$1,806,320	$1,697,170	$3,450	$5,700	$100,000	$0	$0	$0
TRINITY	$102,801	$102,801	$0	$0	$0	$0	$0	$0
RANGER UNIT TOTAL	**$1,909,121**	$1,799,971	$3,450	$5,700	$100,000	$0	$0	$0
SISKIYOU								
SISKIYOU	$84,804	$78,152	$5,902	$750	$0	$0	$0	$0
RANGER UNIT TOTAL	**$84,804**	$78,152	$5,902	$750	$0	$0	$0	$0
TEHAMA - GLENN								
TEHAMA	$365,000	$362,500	$2,000	$500	$0	$0	$0	$0
GLENN	$24,100	$20,000	$100	$4,000	$0	$0	$0	$0
RANGER UNIT TOTAL	**$389,100**	$382,500	$2,100	$4,500	$0	$0	$0	$0
CASCADE TOTAL	**$57,799,135**	$33,833,256	$172,392	$23,750	$110,000	$4,000,000	$0	$19,659,737

California Department of Forestry and Fire Protection - Direct Protection Area

DDSC_R2.WK4

DOLLAR DAMAGE - BY SIZE CLASS, BY COUNTY
SOUTH AREA

RANGER UNIT / COUNTY	TOTAL	FIRE SIZE A	B	C	D	E	F	G
RIVERSIDE								
RIVERSIDE	$1,241,283	$1,135,983	$8,050	$2,250	$0	$70,000	$25,000	$0
RANGER UNIT TOTAL	**$1,241,283**	$1,135,983	$8,050	$2,250	$0	$70,000	$25,000	$0
SAN BERNARDINO								
SAN BERNARDINO	$223,600	$217,100	$500	$0	$0	$6,000	$0	$0
INYO	$8,050	$3,350	$0	$0	$4,700	$0	$0	$0
MONO	$100,000	$0	$100,000	$0	$0	$0	$0	$0
RANGER UNIT TOTAL	**$331,650**	$220,450	$100,500	$0	$4,700	$6,000	$0	$0
SAN DIEGO								
SAN DIEGO	$5,567,138	$2,501,529	$159,009	$200,000	$100,100	$1,822,000	$784,500	$0
IMPERIAL	$0	$0	$0	$0	$0	$0	$0	$0
RANGER UNIT TOTAL	**$5,567,138**	$2,501,529	$159,009	$200,000	$100,100	$1,822,000	$784,500	$0
SAN LUIS OBISPO								
SAN LUIS OBISPO	$602,973	$508,522	$24,351	$9,800	$55,300	$5,000	$0	$0
RANGER UNIT TOTAL	**$602,973**	$508,522	$24,351	$9,800	$55,300	$5,000	$0	$0
SOUTH TOTAL	**$7,743,044**	$4,366,484	$291,910	$212,050	$160,100	$1,903,000	$809,500	$0

DDSC_R3.WK4

DOLLAR DAMAGE - BY SIZE CLASS, BY COUNTY
SIERRA AREA

RANGER UNIT COUNTY	TOTAL	A	B	C	D	E	F	G
AMADOR - EL DORADO								
AMADOR	$104,200	$83,450	$10,700	$10,050	$0	$0	$0	$0
EL DORADO	$557,952	$348,550	$207,902	$1,500	$0	$0	$0	$0
SACRAMENTO	$50	$0	$50	$0	$0	$0	$0	$0
RANGER UNIT TOTAL	**$662,202**	$432,000	$218,652	$11,550	$0	$0	$0	$0
FRESNO - KINGS								
FRESNO	$821,451	$661,950	$4,501	$6,300	$0	$0	$148,700	$0
KINGS	$0	$0	$0	$0	$0	$0	$0	$0
RANGER UNIT TOTAL	**$821,451**	$661,950	$4,501	$6,300	$0	$0	$148,700	$0
MADERA - MARIPOSA								
MADERA	$795,300	$752,300	$6,300	$3,700	$0	$0	$33,000	$0
MARIPOSA	$53,651	$53,451	$200	$0	$0	$0	$0	$0
MERCED	$238,300	$229,900	$400	$6,000	$2,000	$0	$0	$0
RANGER UNIT TOTAL	**$1,087,251**	$1,035,651	$6,900	$9,700	$2,000	$0	$33,000	$0
SAN BENITO - MONTEREY								
SAN BENITO	$189,400	$188,500	$400	$500	$0	$0	$0	$0
MONTEREY	$724,721	$562,320	$66,222	$33,279	$11,100	$7,900	$43,900	$0
RANGER UNIT TOTAL	**$914,121**	$750,820	$66,622	$33,779	$11,100	$7,900	$43,900	$0
TULARE								
TULARE	$322,181	$299,421	$1,460	$3,100	$4,700	$13,500	$0	$0
RANGER UNIT TOTAL	**$322,181**	$299,421	$1,460	$3,100	$4,700	$13,500	$0	$0
TUOLUMNE - CALAVERAS								
TUOLUMNE	$2,457,701	$1,652,401	$47,100	$53,000	$605,200	$100,000	$0	$0
CALAVERAS	$1,176,902	$693,750	$105,152	$298,000	$0	$80,000	$0	$0
STANISLAUS	$6,050	$2,050	$0	$4,000	$0	$0	$0	$0
SAN JOAQUIN	$400	$0	$400	$0	$0	$0	$0	$0
ALPINE	$0	$0	$0	$0	$0	$0	$0	$0
RANGER UNIT TOTAL	**$3,641,053**	$2,348,201	$152,652	$355,000	$605,200	$180,000	$0	$0
SIERRA TOTAL	**$7,448,259**	$5,528,043	$450,787	$419,429	$623,000	$201,400	$225,600	$0

FIRE ACTIVITY

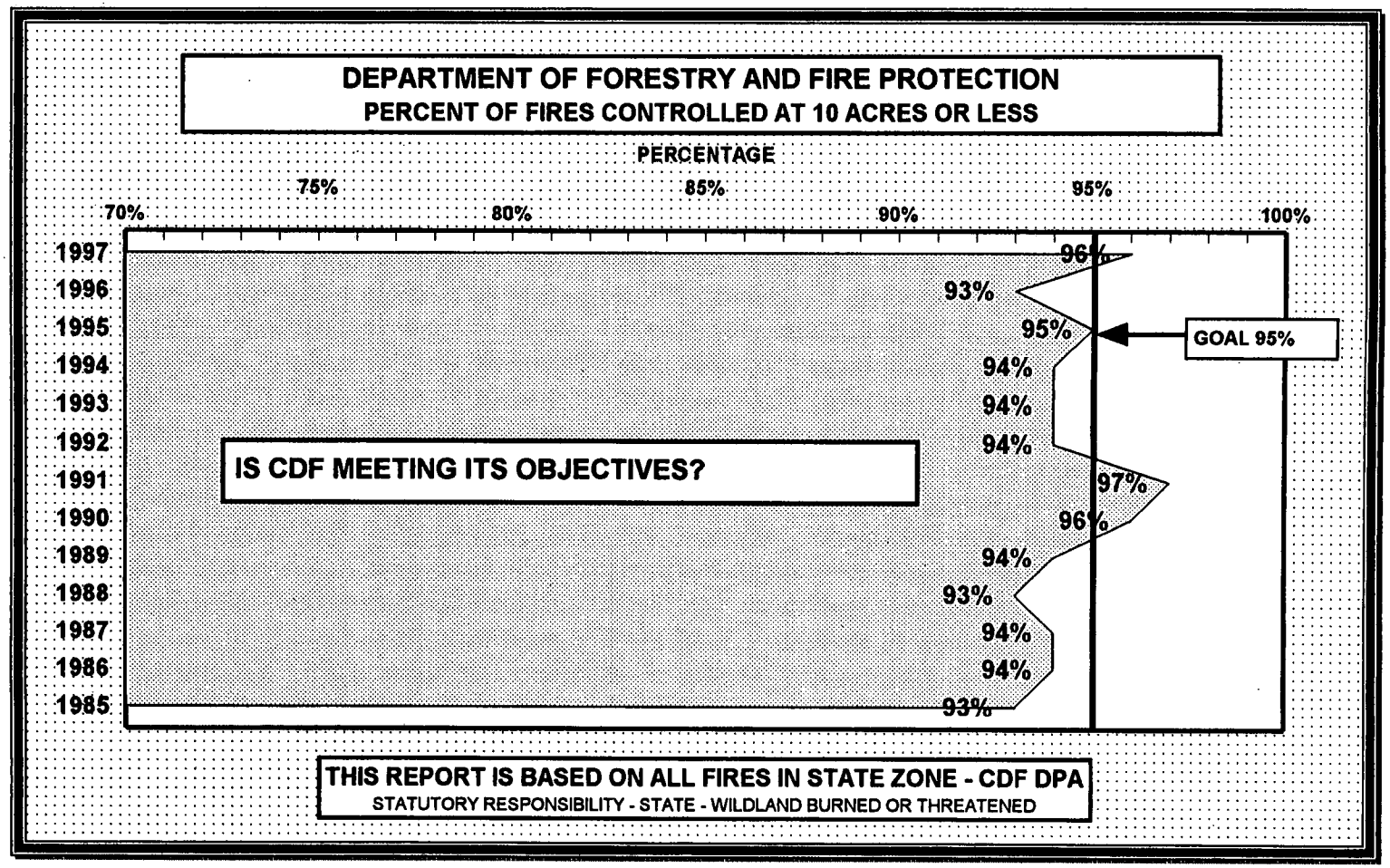

CDF's objective is to - "on a statewide basis, control 95% of all initial attack fires at less than 10 acres in size, and if the fire escapes initial attack, assemble and organize sufficient resources to implement a suitable strategy to control, contain, or confine the fire within economic limits."

goal.wk4

NUMBER OF FIRES BY CAUSE

1997 STATEWIDE TOTALS

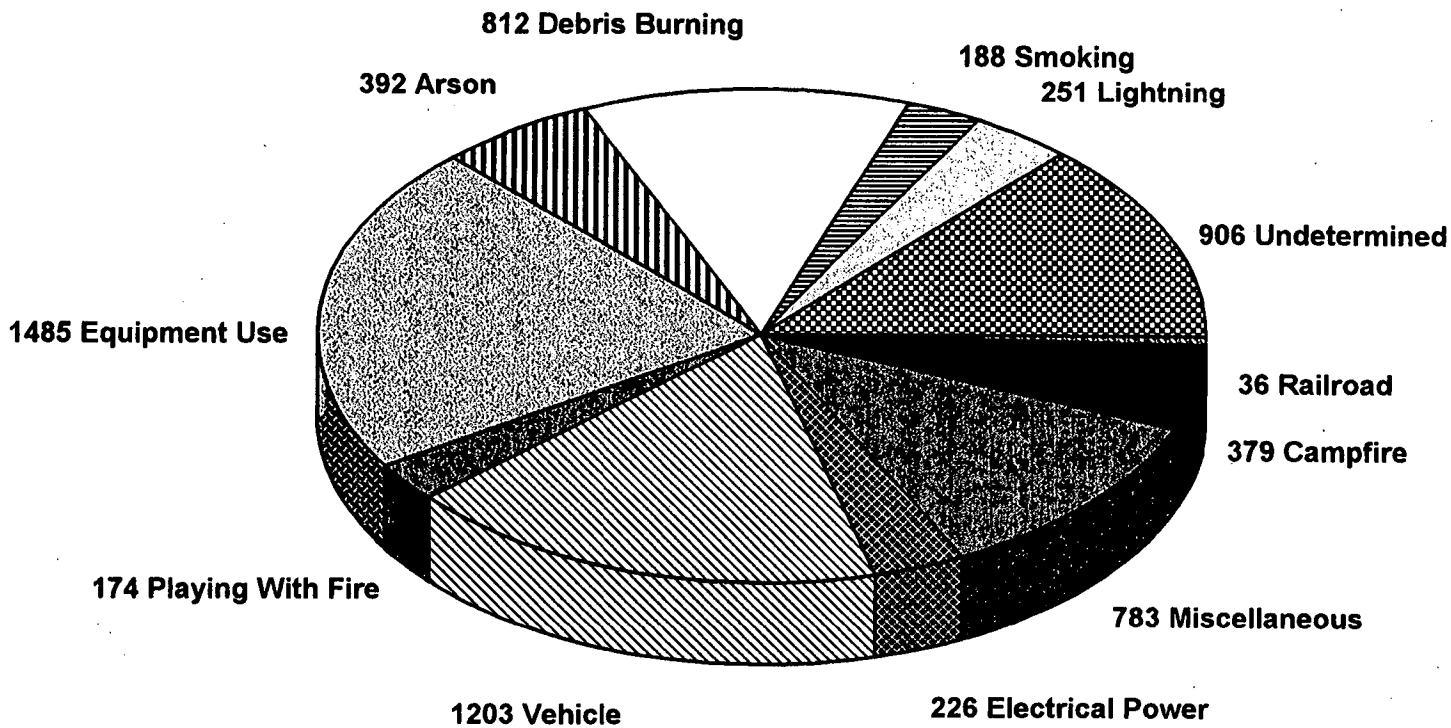

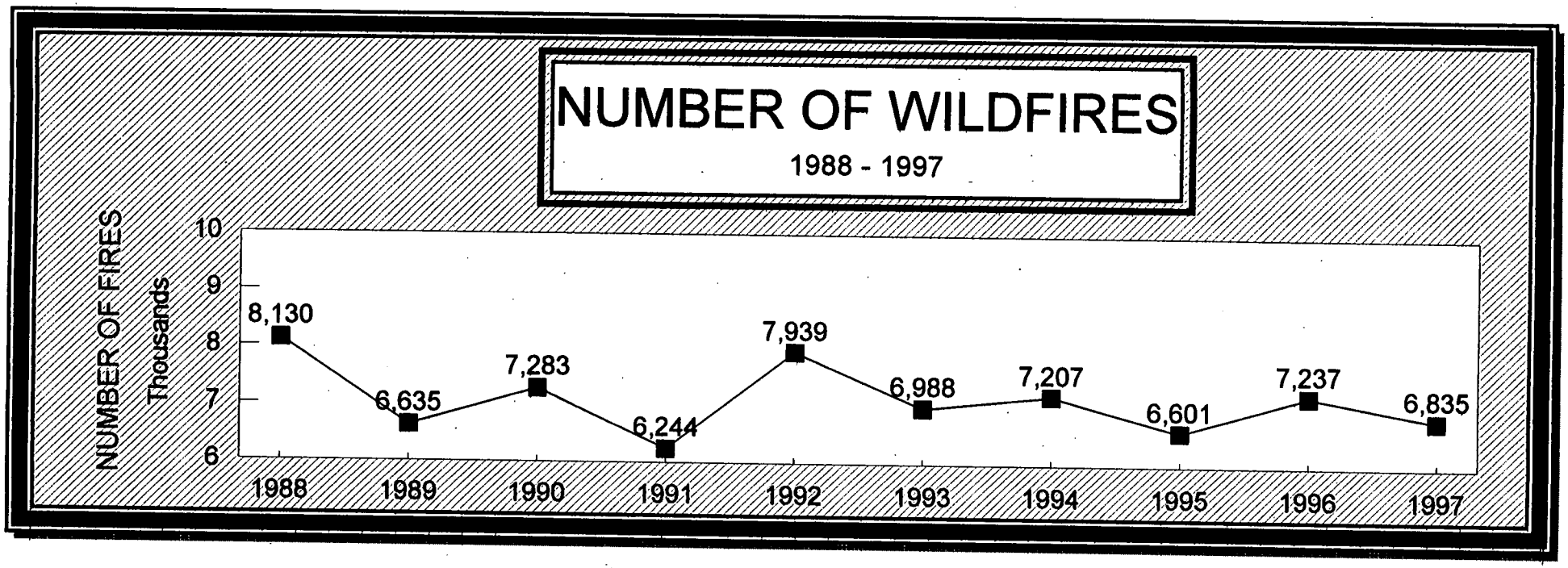
NUMBER OF WILDFIRES
1988 - 1997
NUMBER OF FIRES
Thousands
10
9
8
7
6
8,130
6,635
7,283
6,244
7,939
6,988
7,207
6,601
7,237
6,835
1988
1989
1990
1991
1992
1993
1994
1995
1996
1997

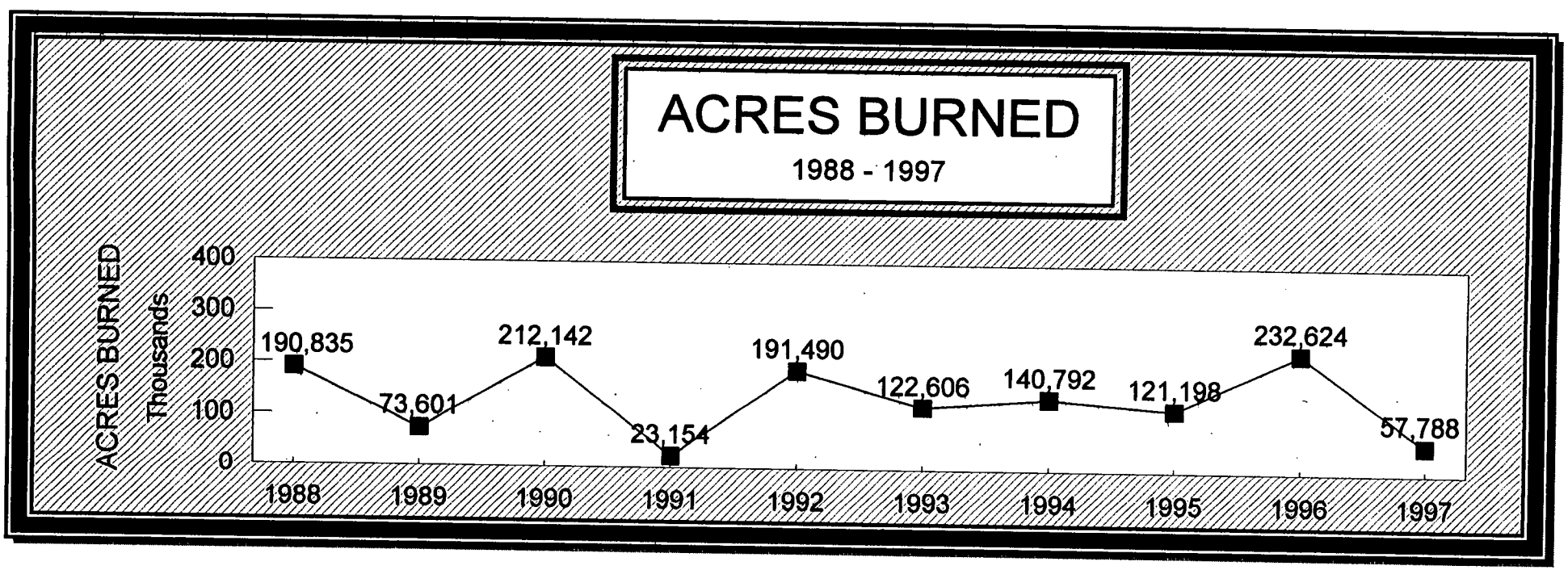
ACRES BURNED
1988 - 1997
ACRES BURNED
Thousands
400
300
200
100
0
190,835
73,601
212,142
23,154
191,490
122,606
140,792
121,198
232,624
57,788
1988
1989
1990
1991
1992
1993
1994
1995
1996
1997

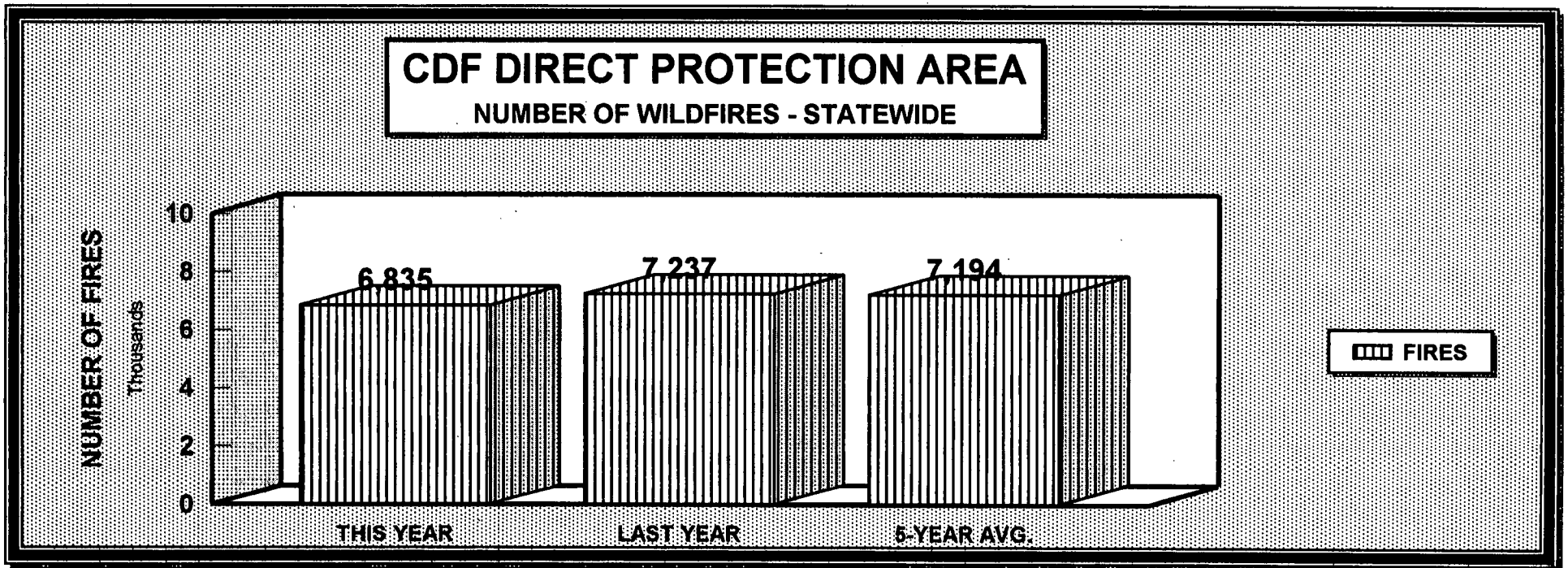
CDF DIRECT PROTECTION AREA
NUMBER OF WILDFIRES - STATEWIDE
NUMBER OF FIRES
Thousands
10
8
6
4
2
0
6,835
7,237
7,194
THIS YEAR
LAST YEAR
5-YEAR AVG.
FIRES

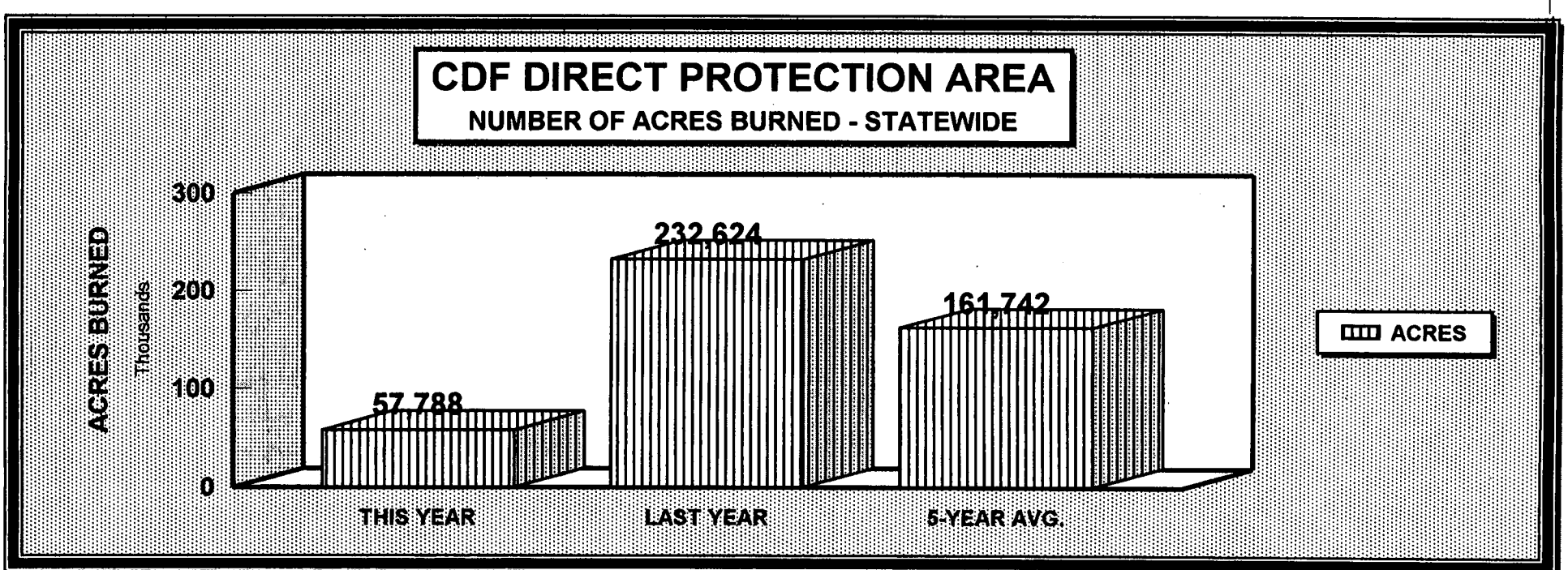
CDF DIRECT PROTECTION AREA
NUMBER OF ACRES BURNED - STATEWIDE
ACRES BURNED
Thousands
300
200
100
0
57,788
232,624
161,742
THIS YEAR
LAST YEAR
5-YEAR AVG.
ACRES

CDF - DIRECT PROTECTION AREA

WILDFIRES BY CAUSE

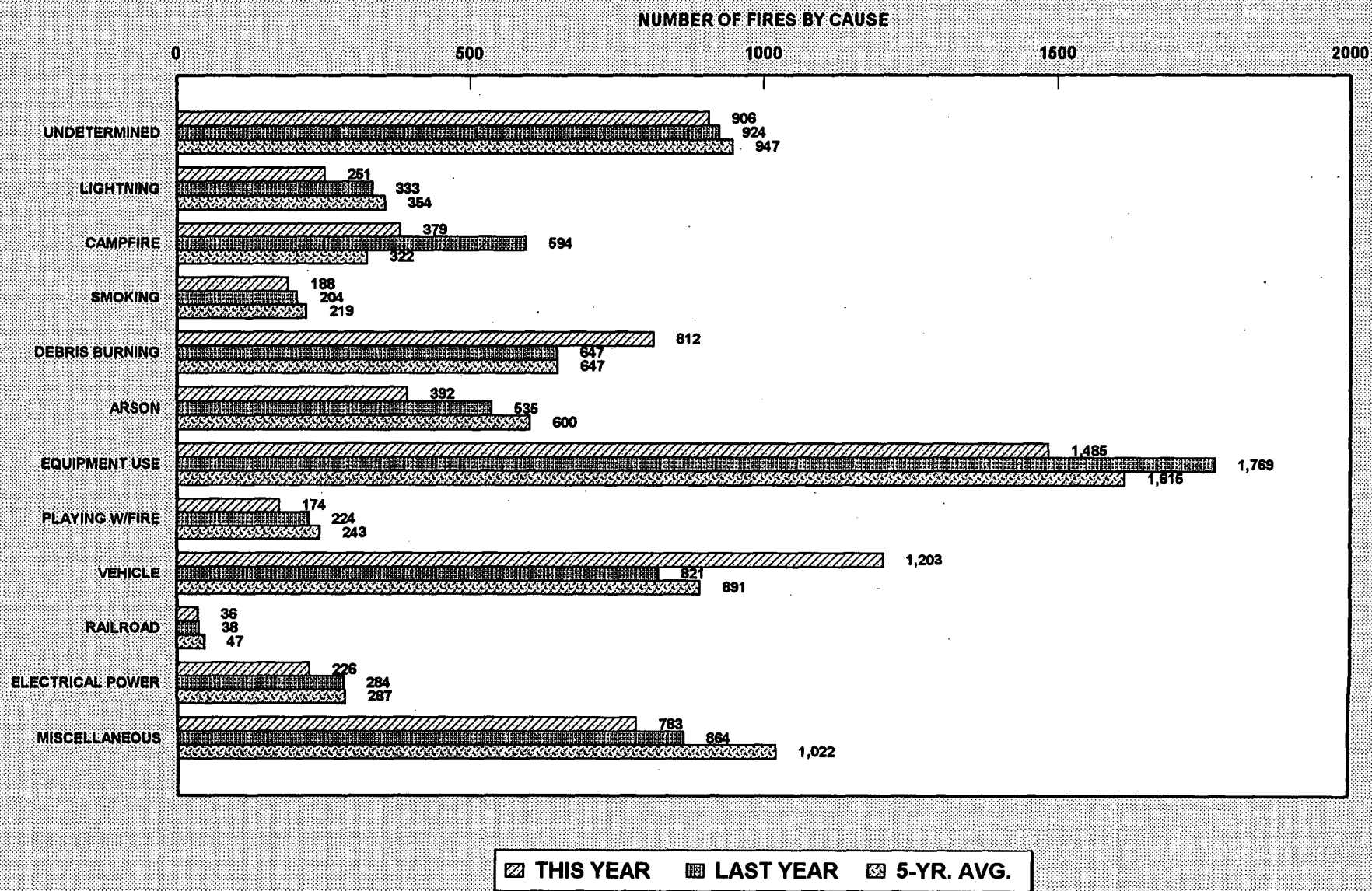

CDF - DIRECT PROTECTION AREA

ACRES BURNED - BY AREA

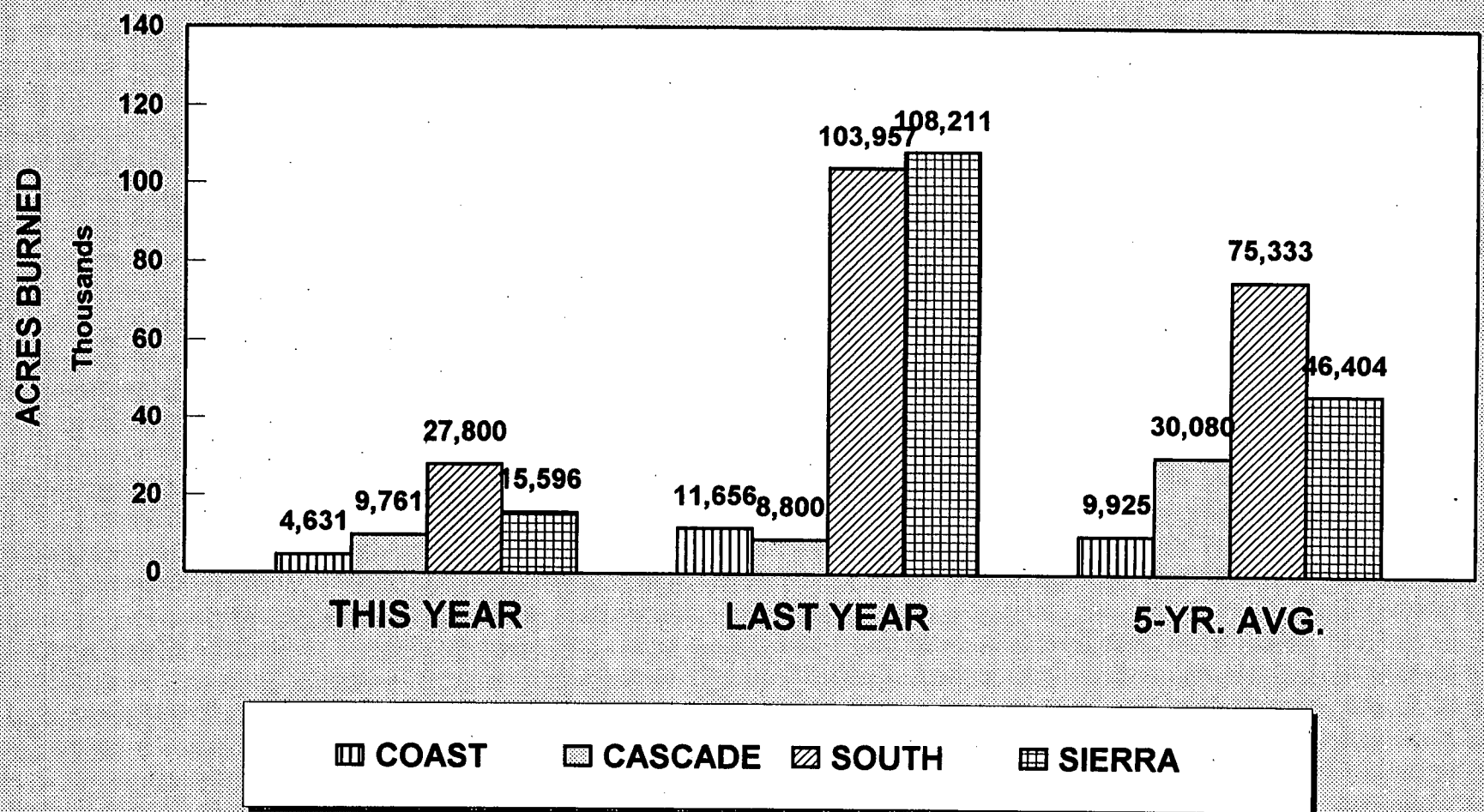

CDF - DIRECT PROTECTION AREA

NUMBER OF WILDFIRES BY AREA

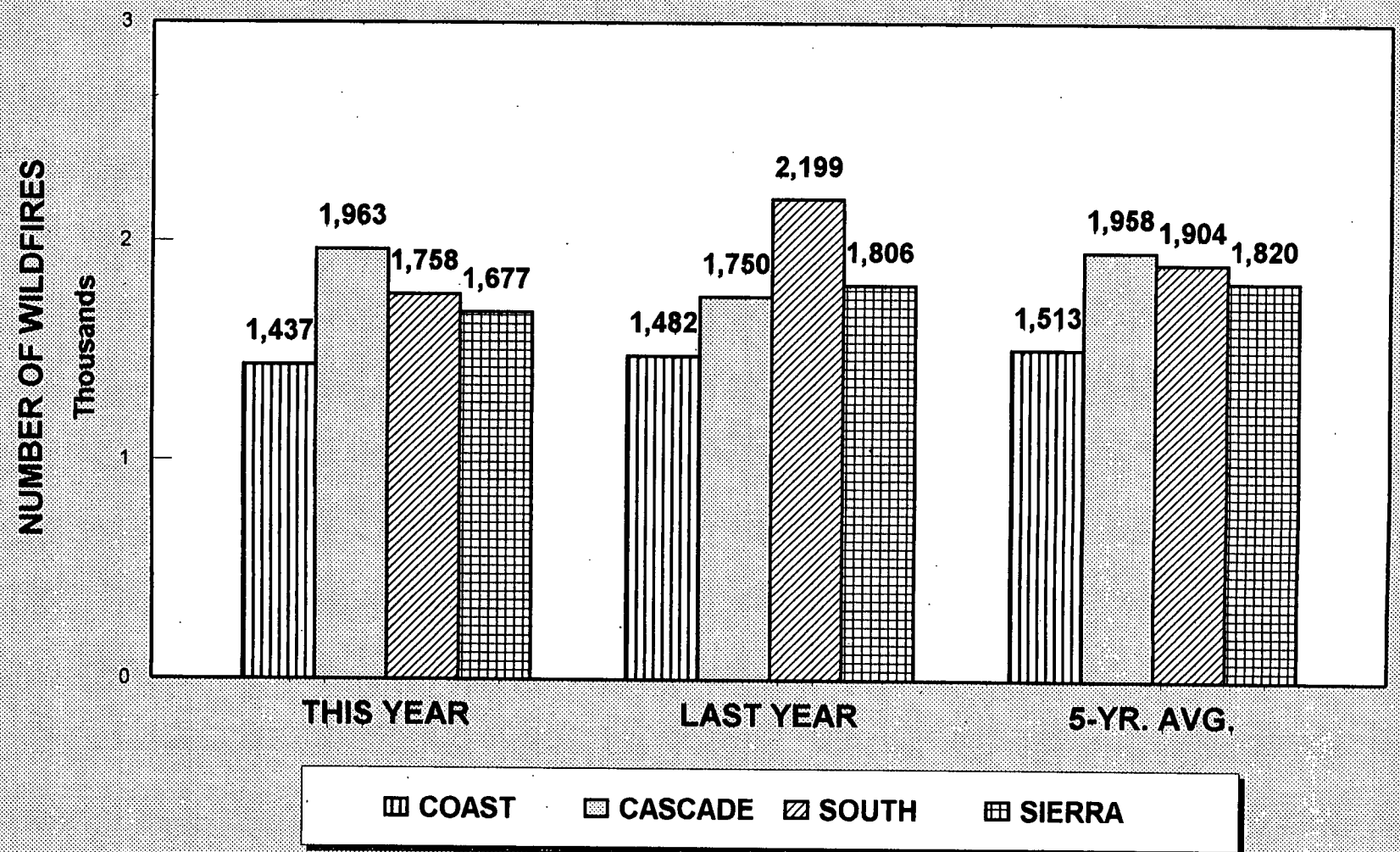

NUMBER OF FIRES BY DAY OF THE WEEK

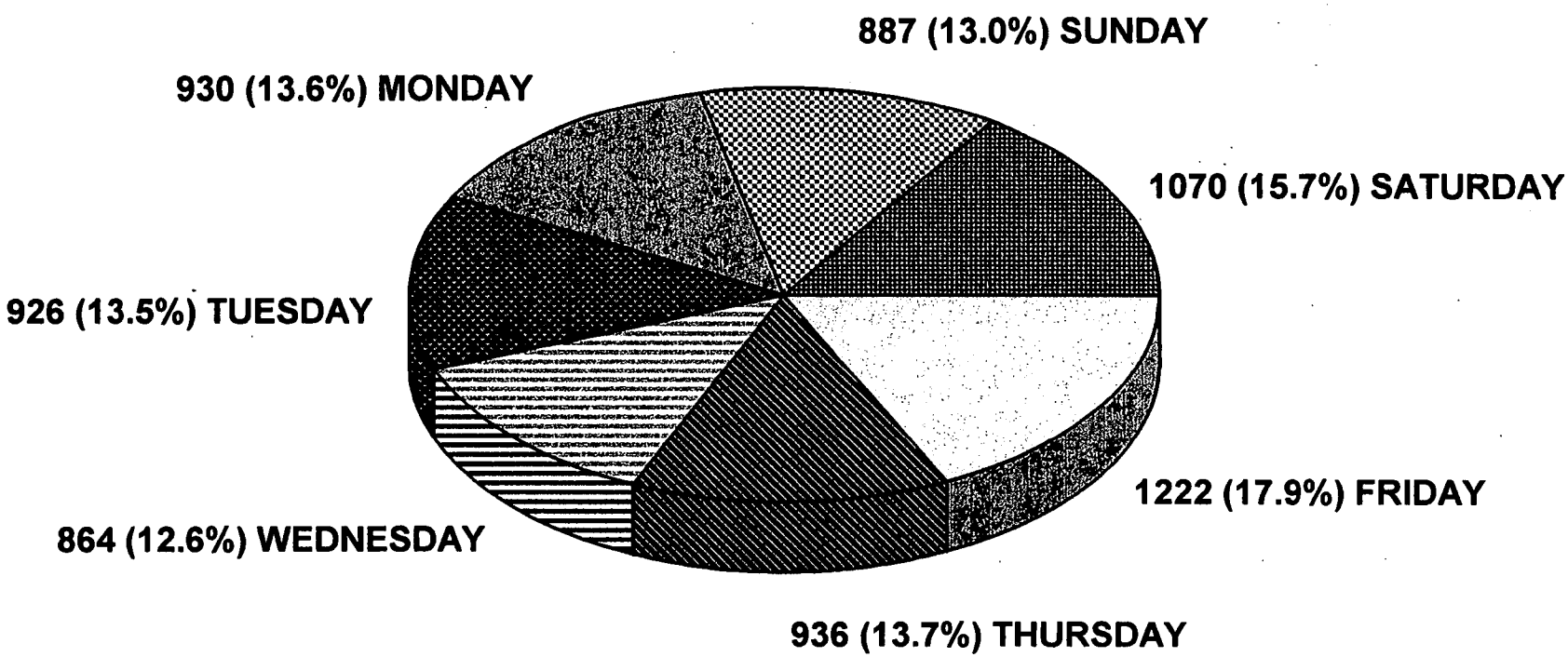

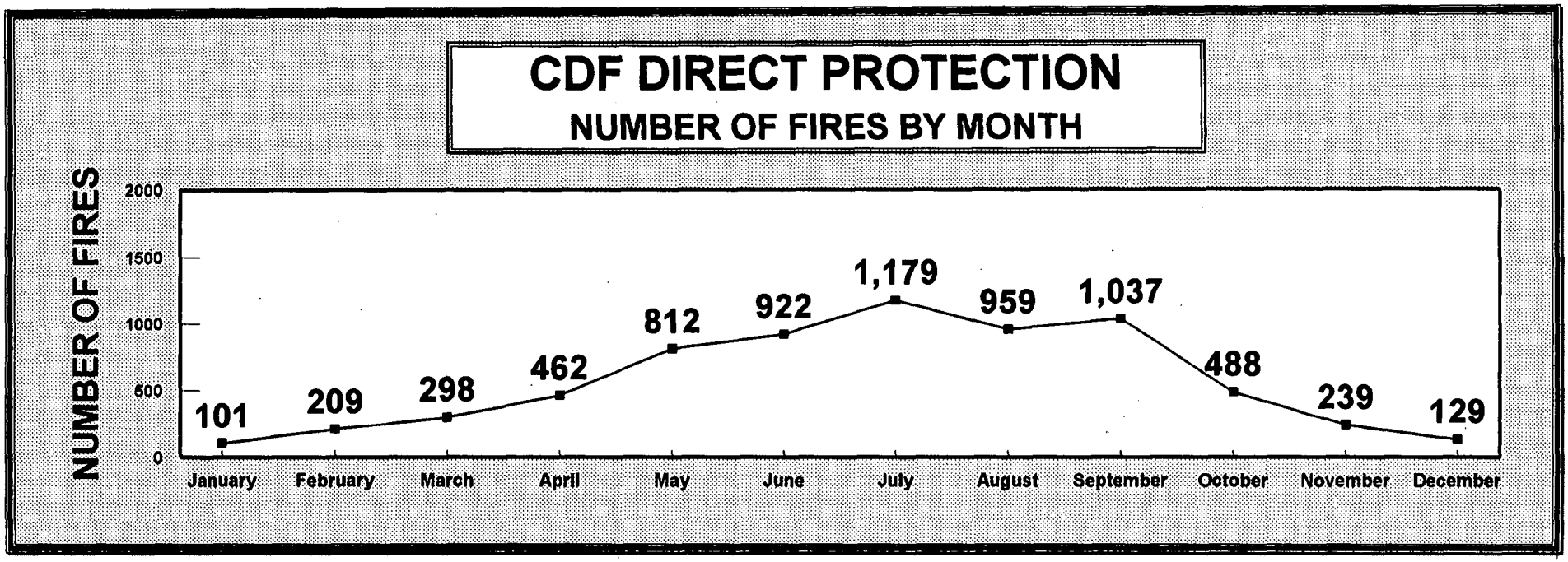
CDF DIRECT PROTECTION
NUMBER OF FIRES BY MONTH
NUMBER OF FIRES
2000
1500
1000
500
0
101
209
298
462
812
922
1,179
959
1,037
488
239
129
January
February
March
April
May
June
July
August
September
October
November
December

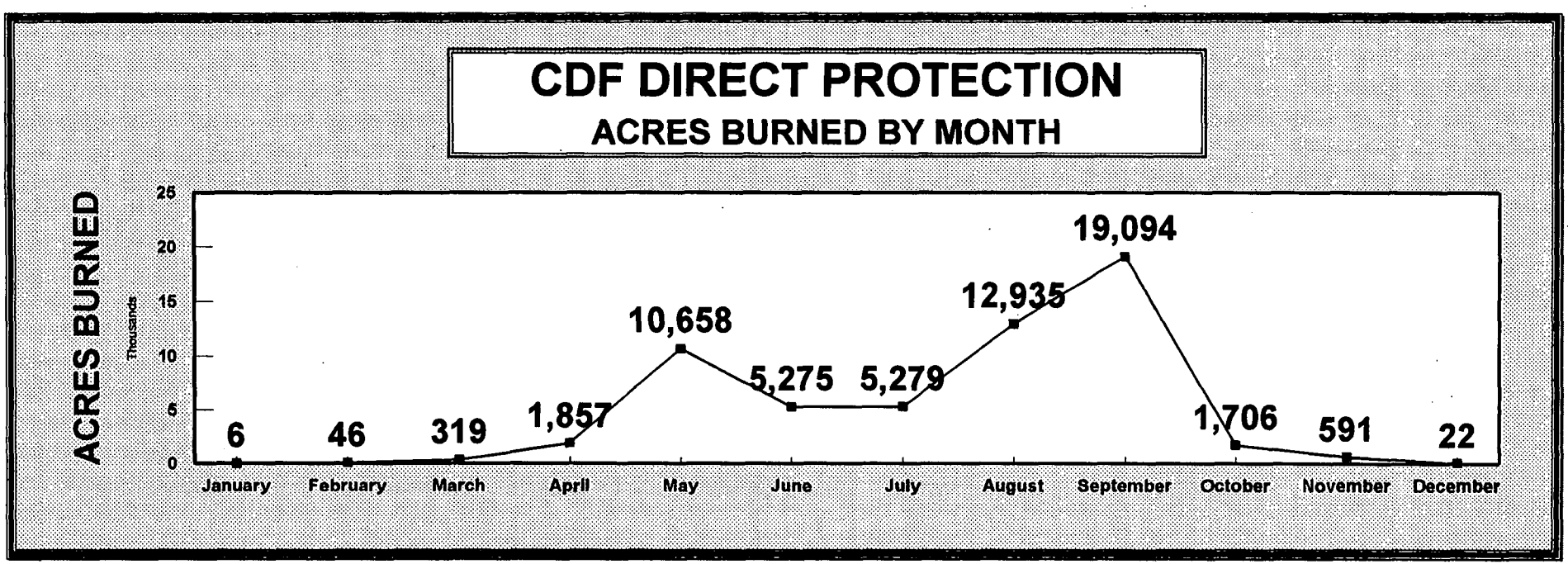
CDF DIRECT PROTECTION
ACRES BURNED BY MONTH
ACRES BURNED
Thousands
25
20
15
10
5
0
6
46
319
1,857
10,658
5,275
5,279
12,935
19,094
1,706
591
22
January
February
March
April
May
June
July
August
September
October
November
December

CDF DIRECT PROTECTION

NUMBER OF FIRES BY TIME

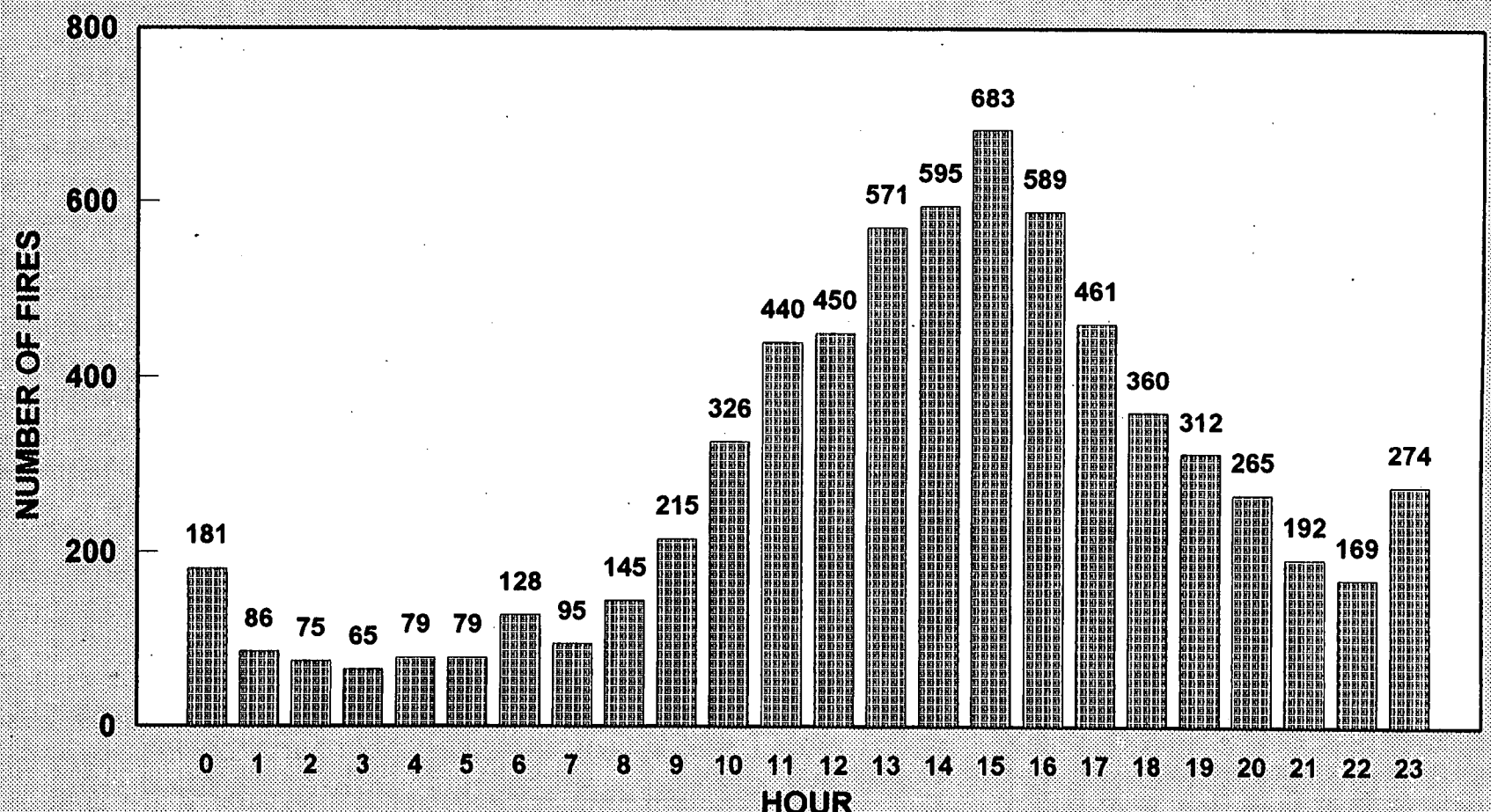

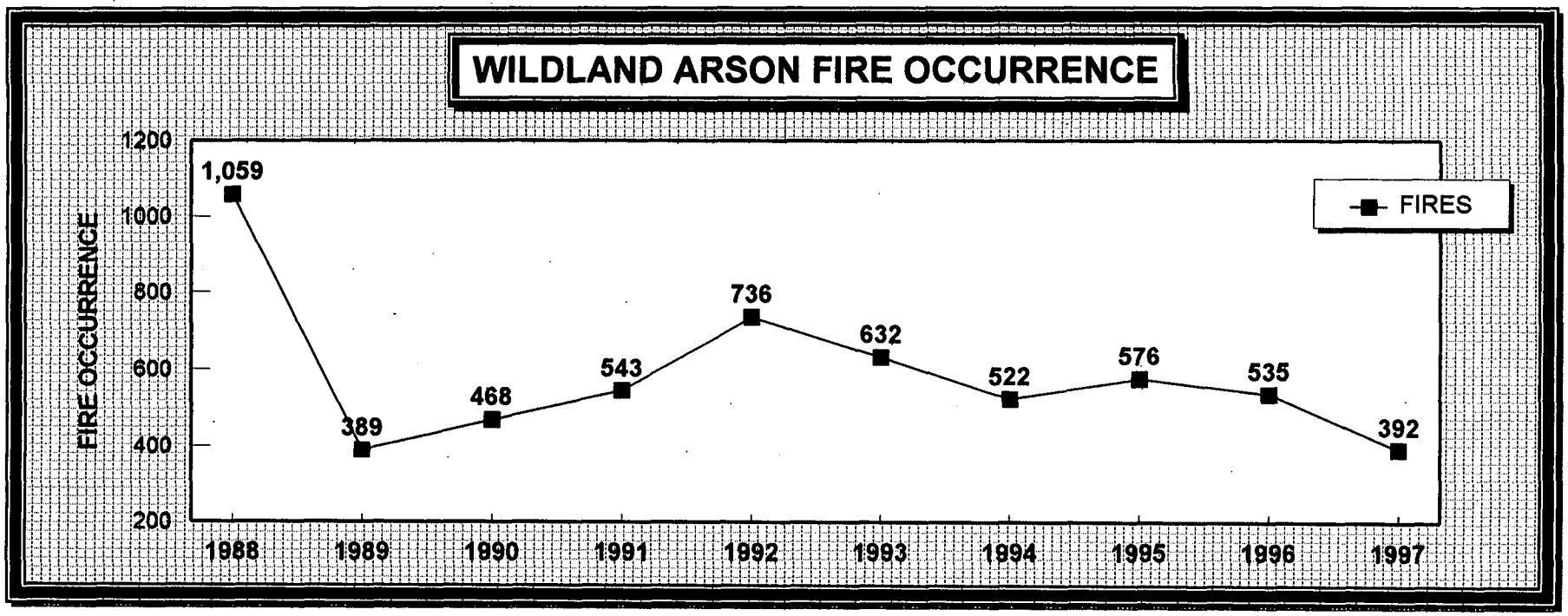
WILDLAND ARSON FIRE OCCURRENCE
FIRE OCCURRENCE
1200
1000
800
600
400
200
1,059
389
468
543
736
632
522
576
535
392
1988
1989
1990
1991
1992
1993
1994
1995
1996
1997
FIRES

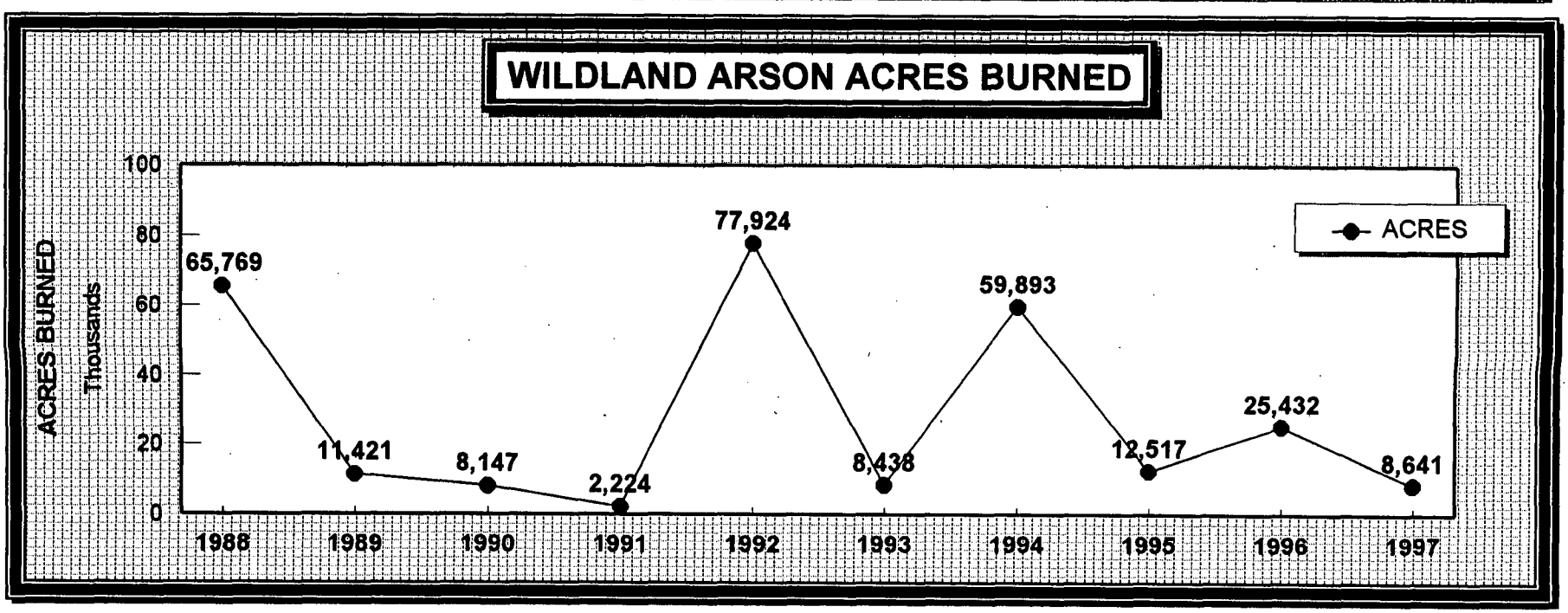
WILDLAND ARSON ACRES BURNED
ACRES BURNED
Thousands
100
80
60
40
20
0
65,769
11,421
8,147
2,224
77,924
8,438
59,893
12,517
25,432
8,641
1988
1989
1990
1991
1992
1993
1994
1995
1996
1997
ACRES

STRUCTURES DESTROYED

CDF DIRECT PROTECTION 1989-1997

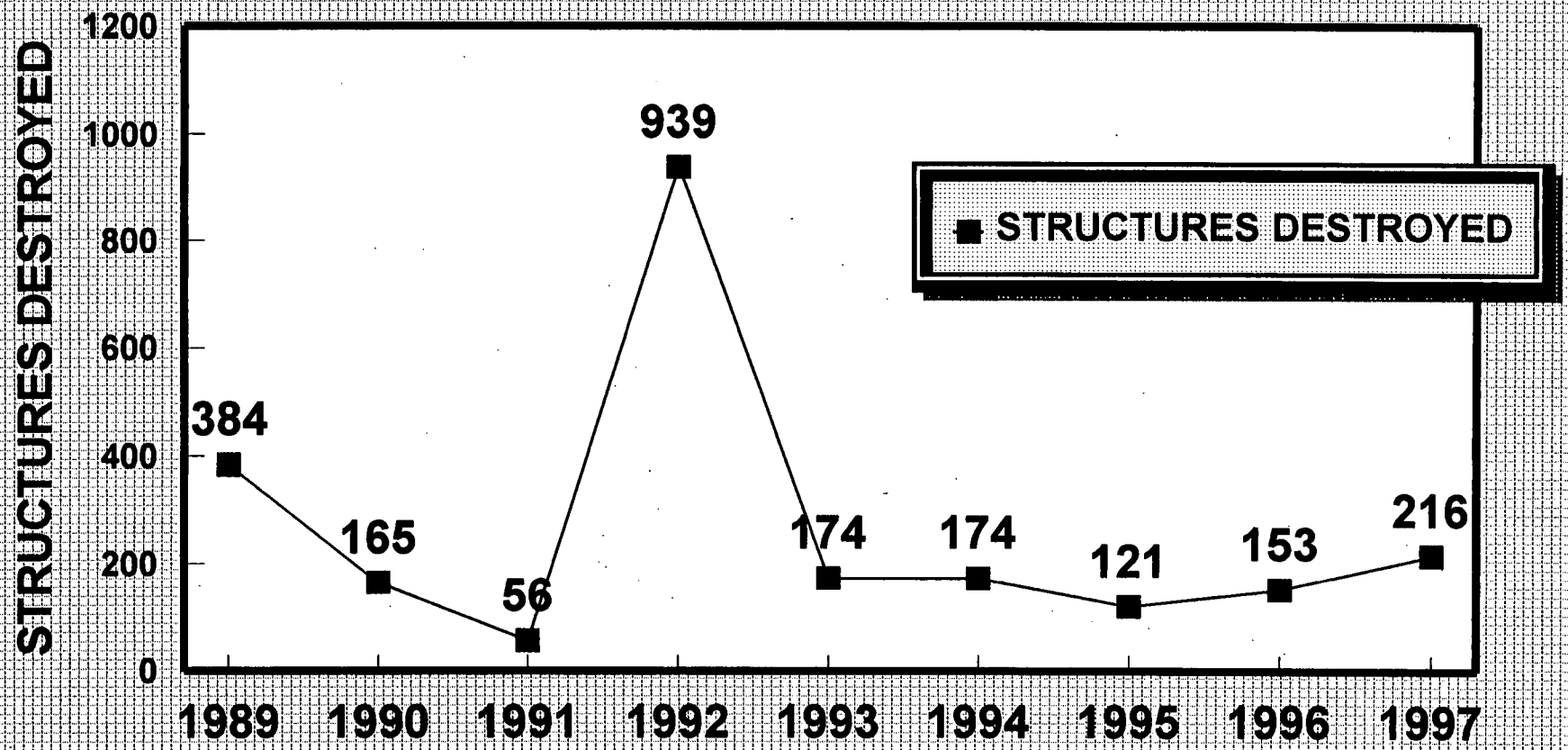

FIRE SUPPRESSION ACTIVITY
CDF LOOKOUT ACTIVITY
STATEWIDE SUMMARY

		STATE FIRES	
CDF LOOKOUT LOCATION	AREA	FIRST REPORT	SECOND REPORT
	COAST	29	9
	CASCADE	443	61
	SOUTH	0	0
	SIERRA	234	45
Number of Fires First Reported by CDF Lookouts		706	115
Percent of Total Fires		10%	
Number of Fires First Reported by Individuals or Other Lookouts		6,129	
Percent of Total Fires		90%	

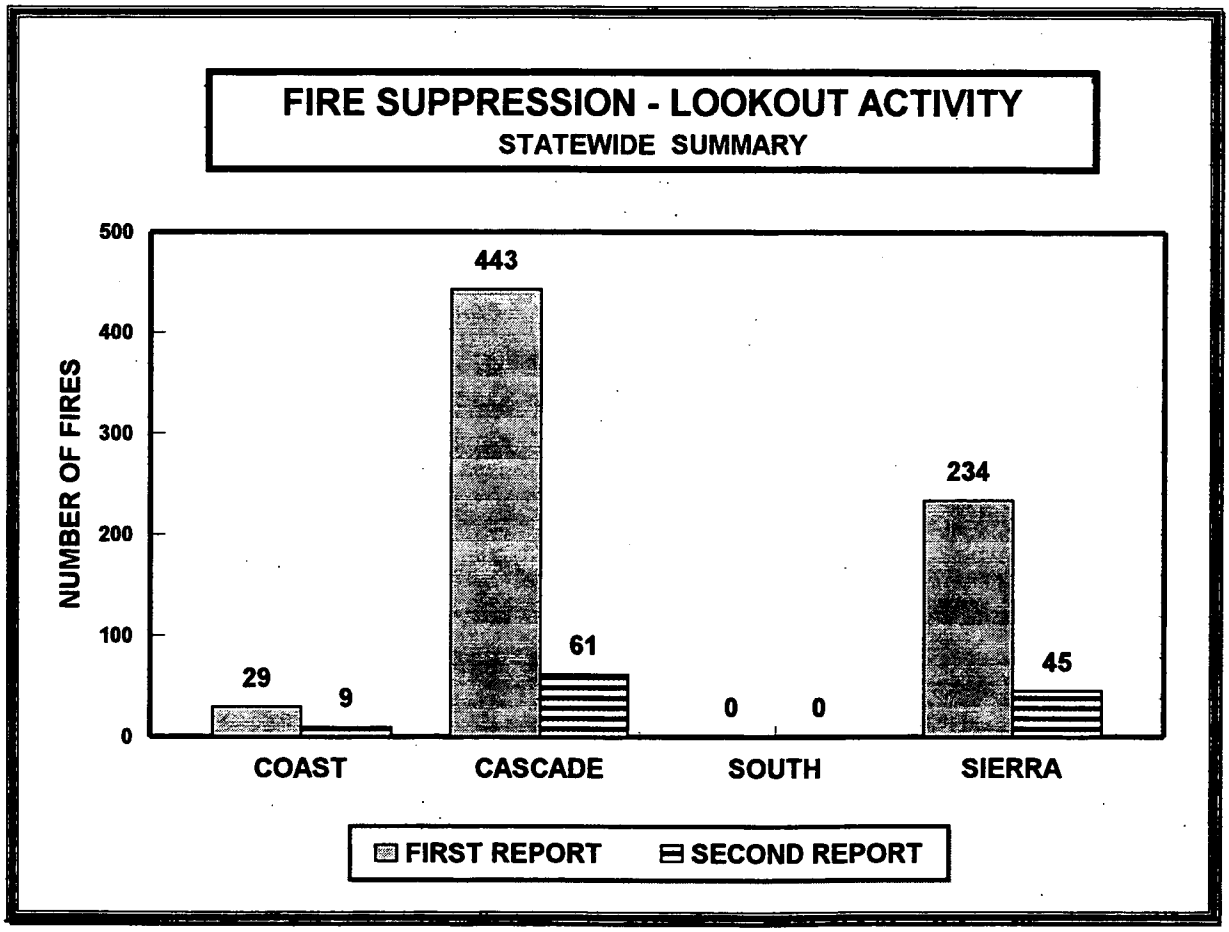

FIRE SUPPRESSION ACTIVITY
CDF LOOKOUT ACTIVITY
BY COUNTY, BY LOOKOUT

CDF LOOKOUT LOCATION / CDF LOOKOUT NAME	COAST	
	FIRST REPORT	SECOND REPORT
HUMBOLDT COUNTY		
Pratt Mountain	5	1
Schoolhouse Peak	2	0
LAKE COUNTY		
Mt. Konocti	34	5
MENDOCINO COUNTY		
Iron Peak	0	0
NAPA COUNTY		
Berryessa Peak	6	3
Number of Fires First Reported by CDF Lookouts	47	9
Percent of Total Fires	3%	
Number of Fires First Reported by Individuals or Other Lookouts	1,390	
Percent of Total Fires	97%	

CDF LOOKOUT LOCATION / CDF LOOKOUT NAME	CASCADE	
	FIRST REPORT	SECOND REPORT
BUTTE COUNTY		
Bald Mountain	85	0
*Bloomer Hill	57	7
Sawmill Peak	18	3
Sunset Hill	12	2
LASSEN COUNTY		
Don Landon	4	0
Fredonyer Peak	18	1
Likely Mountain	10	0
Pegleg	9	0
MODOC COUNTY		
Hayden Hill	2	0
NEVADA COUNTY		
Banner Mountain	15	1
*Howell Mountain	14	5
*Oregon Peak	17	4
Wolf Creek Mountain	41	13
SHASTA COUNTY		
Bullychoop	11	0
Hogback	0	0
Latour Butte	9	4
Shasta Bear	56	10
Soldier Mountain	30	5
SISKIYOU COUNTY		
Quartz Hill	27	4
TEHAMA COUNTY		
Eagle Peak	3	0
Inskip Hill	5	2
Number of Fires First Reported by CDF Lookouts	443	61
Percent of Total Fires	23%	
Number of Fires First Reported by Individuals or Other Lookouts	1,520	
Percent of Total Fires	77%	

* Staffed through VIP's or redirected dollars.

FIRE SUPPRESSION ACTIVITY
CDF LOOKOUT ACTIVITY
BY COUNTY, BY LOOKOUT

CDF LOOKOUT LOCATION	SOUTH	
CDF LOOKOUT NAME	FIRST REPORT	SECOND REPORT
Number of Fires First Reported by CDF Lookouts	0	0
Percent of Total Fires	0	
Number of Fires First Reported by Individuals	1,758	
Percent of Total Fires	100%	

FIRE SUPPRESSION ACTIVTY
CDF LOOKOUT ACTIVITY
BY COUNTY, BY LOOKOUT

CDF LOOKOUT LOCATION	SIERRA	
CDF LOOKOUT NAME	FIRST REPORT	SECOND REPORT
AMADOR COUNTY		
Mt. Zion	58	11
EL DORADO COUNTY		
Pilot Peak	74	21
Pine Hill	0	0
CALAVERAS COUNTY		
Blue Mountain	51	13
Fowler Peak	0	0
MADERA COUNTY		
Deadwood Peak	50	0
MARIPOSA COUNTY		
Penon Blanco	0	0
MONTEREY COUNTY		
Chews Ridge/Sid Ormsbee	0	0
Smith Mountain	1	0
Number of Fires First Reported by CDF Lookouts	234	45
Percent of Total Fires	14%	
Number of Fires First Reported by Individuals or Other Lookouts	1,443	
Percent of Total Fires	86%	

TOTAL INCIDENTS

STATEWIDE

1997 INCIDENT TOTALS
STATEWIDE

NUMBER OF INCIDENTS

AREA / RANGER UNIT	TOTAL INCIDENTS		VEGETATION FIRES		STRUCTURE FIRES		OTHER FIRES		MEDICAL AIDS		HAZARDOUS MATERIALS		PUBLIC SERVICE OR OTHER	
	SRA	OTHER	SRA	OTHER	SRA	OTHER	SRA	OTHER	SRA	OTHER	SRA	OTHER	SRA	OTHER
COAST														
HUMBOLDT - DEL NORTE	1,314	2,730	271	42	40	65	105	122	198	2,277	8	27	692	197
LAKE NAPA	2,385	3,194	277	49	43	41	99	63	976	874	30	37	960	2,130
MENDOCINO	1,533	4,098	214	36	39	28	87	15	176	112	4	2	1,013	3,905
SAN MATEO - SANTA CRUZ	3,334	3,744	172	33	41	21	272	227	1,622	2,848	52	34	1,175	581
SANTA CLARA	1,657	2,598	300	177	29	214	201	417	520	1,141	24	0	583	649
SONOMA	336	1,646	203	0	45	37	88	145	0	676	0	54	0	734
COAST TOTAL	10,559	18,010	1,437	337	237	406	852	989	3,492	7,928	118	154	4,423	8,196
CASCADE														
BUTTE	4,430	8,541	337	201	81	146	526	827	2,222	5,435	38	57	1,226	1,875
LASSEN - MODOC	1,098	2,766	166	12	11	5	36	3	70	55	2	0	813	2,691
NEVADA - YUBA - PLACER	5,205	9,114	719	93	222	337	1,405	325	1,232	6,869	50	289	1,577	1,201
SHASTA - TRINITY	1,713	5,614	400	118	65	128	222	335	370	4,439	9	13	647	581
SISKIYOU	635	2,577	162	29	17	90	91	123	285	2,090	4	28	76	217
TEHAMA - GLENN	1,677	2,016	179	188	40	113	61	96	643	1,085	5	3	749	531
CASCADE TOTAL	14,758	30,628	1,963	641	436	819	2,341	1,709	4,822	19,973	108	390	5,088	7,096
SOUTH														
RIVERSIDE	10,125	60,507	384	1,464	592	3,524	724	2,727	7,172	44,872	118	374	1,135	7,546
SAN BERNARDINO	858	22,170	167	411	88	418	603	883	0	11,420	0	19	0	9,019
SAN DIEGO	2,264	7,418	916	50	97	123	532	358	125	5,109	20	101	574	1,677
SAN LUIS OBISPO	3,223	1,868	291	65	41	78	237	93	1,587	993	0	1	1,067	638
SOUTH TOTAL	16,470	91,963	1,758	1,990	818	4,143	2,096	4,061	8,884	62,394	138	495	2,776	18,880
SIERRA														
AMADOR - EL DORADO	10,592	2,548	309	27	452	44	1,200	124	7,127	2,000	0	3	1,504	350
FRESNO - KINGS	1,438	54,267	196	804	63	870	53	1,055	864	5,498	2	20	260	46,020
MADERA - MARIPOSA	4,580	14,238	306	963	87	467	361	1,488	2,968	10,045	6	72	852	1,203
SAN BENITO - MONTEREY	1,409	2,649	199	97	60	136	233	217	372	1,617	4	17	541	565
TULARE	1,323	11,176	108	520	35	350	93	1,528	613	5,638	1	9	473	3,131
TUOLUMNE - CALAVERAS	6,963	1,236	559	75	185	45	492	127	3,721	788	20	5	1,986	196
SIERRA TOTAL	26,305	86,114	1,677	2,486	882	1,912	2,432	4,539	15,665	25,586	33	126	5,616	51,465
STATEWIDE TOTALS	68,092	226,715	6,835	5,454	2,373	7,280	7,721	11,298	32,863	115,881	397	1,165	17,903	85,637

INCIDENT.WK4

1997 TOTAL INCIDENTS
STATEWIDE SUMMARY

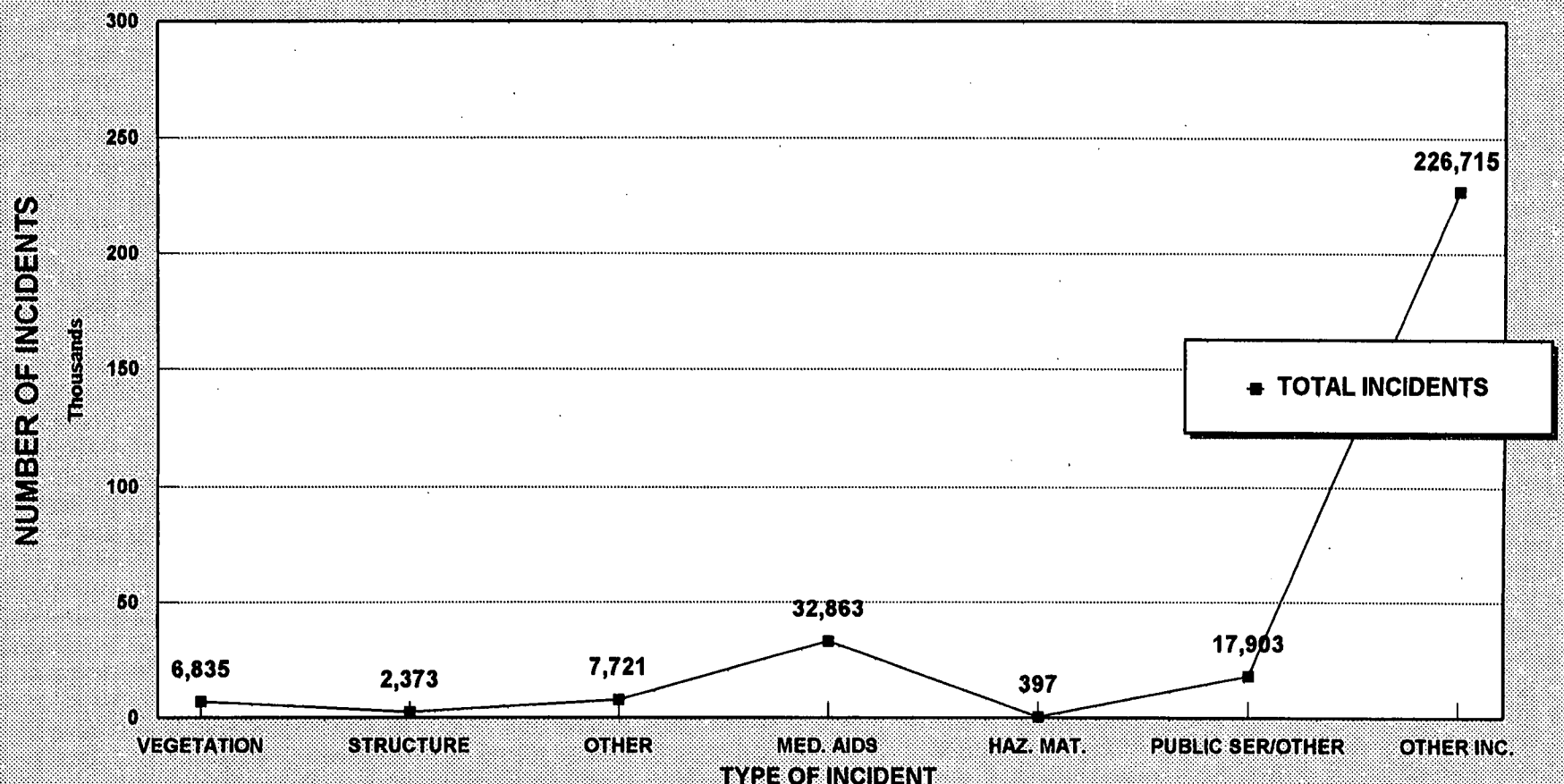

294,807 TOTAL INCIDENTS STATEWIDE
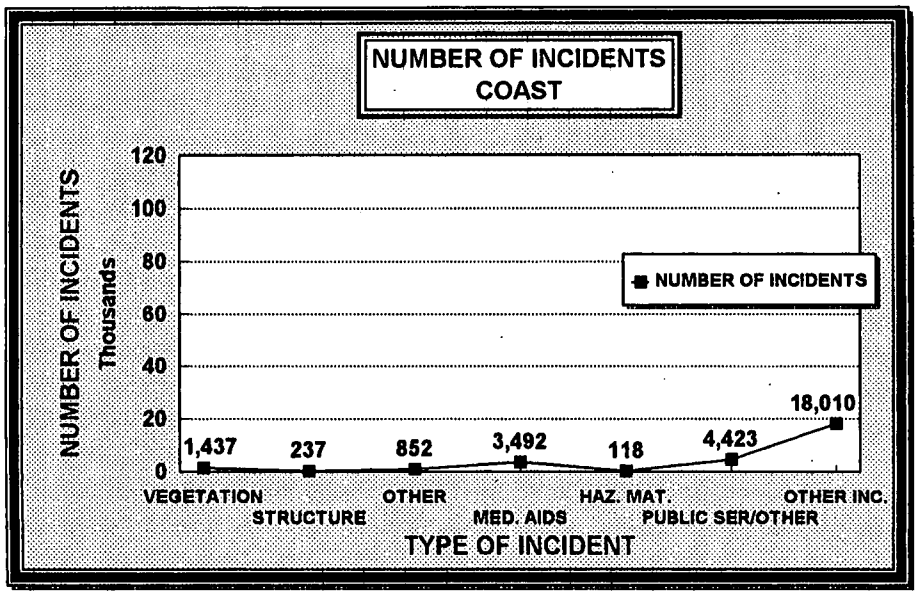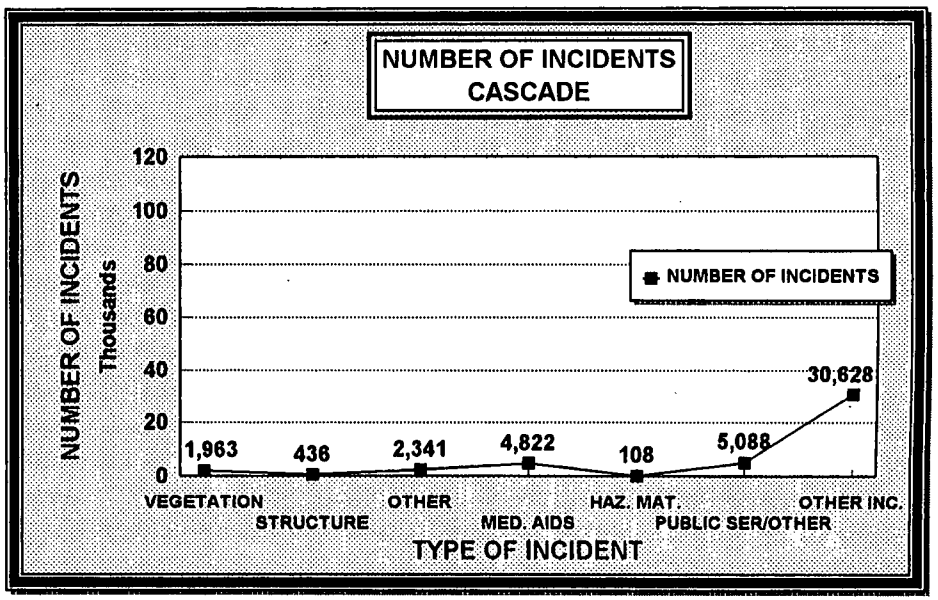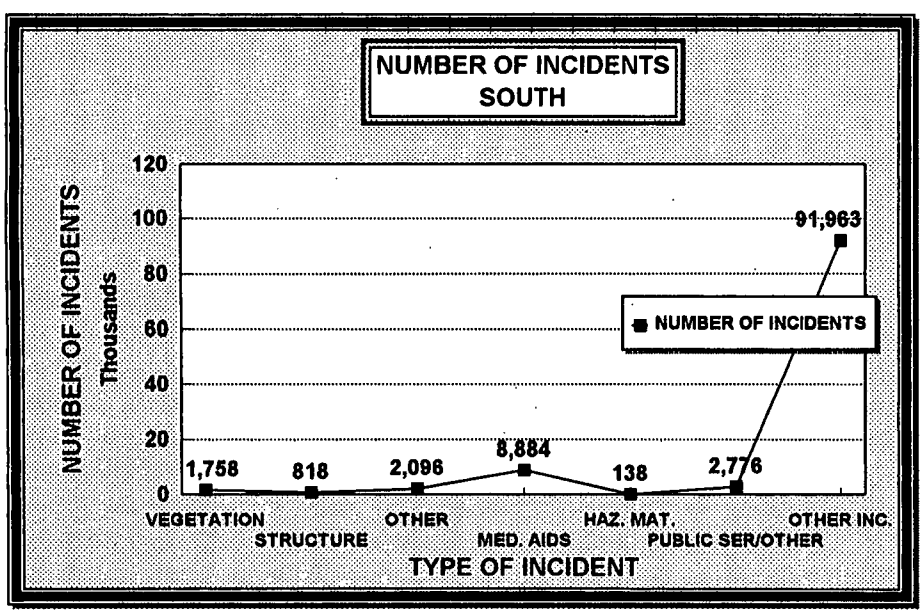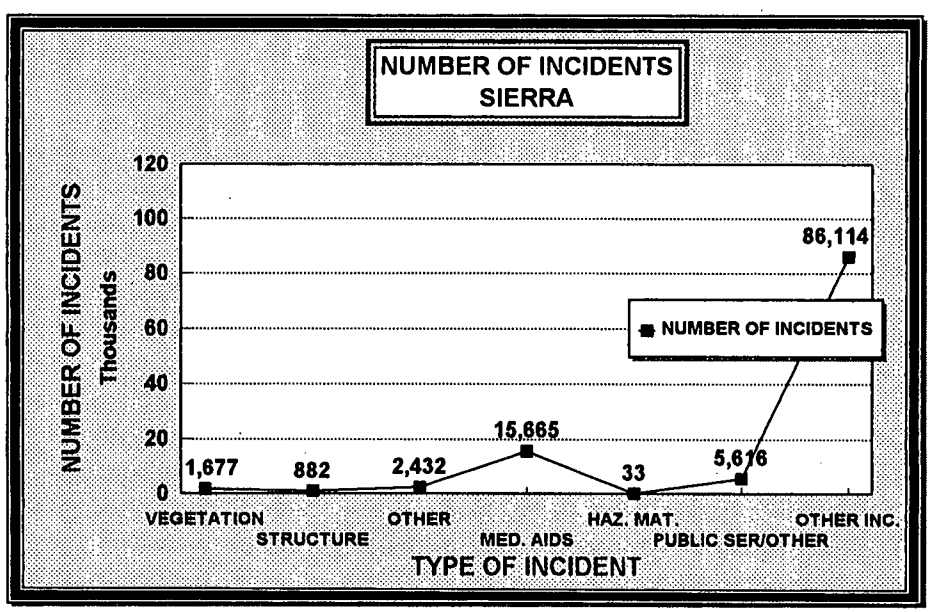
TOTAL INCIDENTS BY TYPE BY AREA